DAVID LOCK ASSOCIATES

Land North of the A420, South Marston and Rowborough, NEV, Swindon

Phasing Details

On behalf of
Hallam Land Management, Hannick Homes, and **Taylor Wimpey UK**

Submitted by
David Lock Associates

July 2022

CONTENTS

1.0 Introduction 4

Purpose of Document 4
How to use the Document 5
Assumptions 5

2.0 Conditions 6

Site Wide Conditions 6
Phase/Sub-Phase Conditions 6

3.0 Identification Of Phases 7

Scope of Phases & Sub-Phases 7
Phasing Principles 8
Figure A: Phases of the Development 9
Figure B: Infrastructure Phasing Plan Definitions 11
Highways and Movement 12
Landscape 12
Drainage infrastructure 13

4.0 Broad Sequence Of Development 14

Phase 1: South Marston East 14
Phase 1: Rowborough Central 18
Phase 2: Rowborough Noth 20
Phase 3: Rowborough East 22
Phase 4: Rowborough South 24
Phase 2: South Marston West 26

5.0 Indicative Completion Rates 28

1.0 Introduction

Purpose of Document

1.1 This document sets out the Phasing Details for development proposals approved under outline planning LPA ref S/OUT/13/1555 in relation to Land at South Marston and Rowborough and is prepared on behalf of Hallam Land Management Ltd, Hannick Homes and Developments Ltd and Taylor Wimpey UK Ltd (the Consortium).

1.2 Condition 6 of the outline consent requires a phasing plan to guide the phasing of the development proposals to illustrate the timely implementation of the development and delivery of associated infrastructure, including off-site works as required; and to ensure a steady progression of development that responds to market trends.

Condition 6

Prior to the submission of the first reserved matters application, a phasing plan shall be submitted to and approved in writing by the Local Planning Authority to show how the development shall be implemented in phases. The phasing plan shall include the following elements:

a) The development phases;
b) Major distributor roads/routes within the site, including a defined hierarchy of the road network;
c) Phased access strategy delivery and associated phased housing delivery;
d) Pedestrian / cycle connectivity to committed and emerging parcels of development within the New Eastern Villages;
e) Local centres and community facilities;
f) Strategic foul and surface water features and sustainable drainage systems; and,
g) Strategic landscaping, recreation and open space.

1.3 Land at South Marston and Rowborough comprises part of the New Eastern Villages (NEV), allocated within the Swindon Borough Local Plan (March 2015) as part of a mixed use urban extension of some 8,000 homes. The New Eastern Villages Planning Obligations SPD (October 2016) outlines the Council's approach to securing the provision and implementation of infrastructure associated with the delivery of the NEV. The policy framework seeks to ensure the successful integration and delivery of individual development proposals that reinforce the objectives of the NEV as a whole.

1.4 The Phasing Details set out in this document reflects agreed triggers (condition and s106) relating to the progression of development to demonstrate how each broad phase of the proposals will be

delivered alongside the necessary infrastructure. This approach underpins HHT's clear intent for early commencement of the development through an approach that ensures a self-sustaining form of development, avoiding further constraints being placed on subsequent phases of the development and the wider NEV, as required by Local Plan Policy NC3.

1.5 The phasing principles and triggers are based upon current expectations regarding the progression of development of the site and will need to be kept under review. This might result in some amendments to the Phasing Strategy to ensure the document remains effective in co-ordinating development across a number of phases to avoid piecemeal provision of disparate and under-utilised infrastructure.

How to use the Document

1.6 The Phasing Details establish the broad sequence for development across the site and is to be read in conjunction with the Strategic Design Code which includes further detail in relation to the design approach for the overall site and its principal land uses as well as for individual character areas within the site, that will respond to smaller sub-phases of development.

1.7 An Indicative Phasing Programme is provided for each phase including triggers that relate to each development phase, reflecting infrastructure provision and timings for delivery as set out in the section 106 agreement. For the avoidance of doubt, the provisions of the section 106 take precedence over this document where there is inconsistency between the two.

Assumptions

1.8 Indicative rates of development and resultant unit numbers within each phase are included to help illustrate the phasing of the development. These are to be used as a working example and may be higher or lower. These are illustrative only, and to be regarded in the context of understanding the progressive and timely implementation of development alongside the infrastructure identified to be required to support each phase. Indicative completions do not form part of the Phasing Details commitments.

2.0 Conditions

Site Wide Conditions

2.1 The Phasing Details sits alongside the conditions attached to the outline planning permission and covenants in the agreed Section 106.

2.2 In addition, and prior to the submission of reserved matters, the following documents will be prepared and approved:

- Strategic Design Code (Condition 8);
- Framework, Landscape, Ecology, and Arboriculture Management Plan (FLEAMP) South Marston (Condition 10);
- Framework, Landscape, Ecology, and Arboriculture Management Plan (FLEAMP) Rowborough (Condition 10);
- Open Space Parameter Plan (s106); and
- Public Art Scheme (s106)

2.3 Prior to the commencement of development the following site wide strategies will be prepared and approved.

- Flood Mitigation Details (Condition 40)
- Surface Water Management Strategy (Condition 41)

Phase/Sub-Phase Conditions

2.4 Prior to the progression of development or the construction of dwellings and buildings within each part of the site the following documents will be prepared and approved:

- Relevant Character Area Design Code (C9);
- Biodiversity Mitigation Measures as part of Reserved Matters (C11);
- Bat Roost Survey (C17);
- Construction Management Plan (C35);
- Archaeological WSI / Management Plan (C38, C39);
- Detailed SUDS Scheme (C42); and
- Open Space Strategy (s106)

2.5 In addition, prior to the commencement of development or occupation of dwellings within each phase or sub phase the following details will be submitted and approved:

- Relevant drainage basin and swale/pipe for the disposal of water for that parcel as part of an overarching SUDS strategy; and
- Details of the disposal of sewage for that parcel as part of an overarching foul drainage strategy

3.0 Identification of Phasing

Scope of Phases & Sub-Phases

3.1 The Phasing Plan (Figure A) identifies broad phases of development across the site, which comprise groups of development parcels, including infrastructure elements (streets; foot/cycle paths; social, community, retail and education facilities); and areas of open space (including recreation, connectivity and drainage network) to be delivered within and as part of that grouping of parcels, within the broad phase.

3.2 There will be smaller sub-phases within each phase, which may vary in size significantly in response to the timely delivery of infrastructure and/or housebuilder implementation strategies to be in part dictated by the market.

3.3 The term 'sub-phase' is defined within the conditions and S106 as "part of the site within a Phase for which a reserved matters application is submitted".

South Marston

3.4 There will be two broad phases of development at **South Marston**. The **East** phase comprises the first phase of development and the **West** phase comprises the final phase of the development. The rationale for the later sequencing for areas closer to the Thornhill Industrial Estate (for which contributions towards noise mitigation at source have been secured by this development), is to allow the Council a period over which to secure the appropriate mechanism to deliver the works, if required.

3.5 If noise mitigation is secured at a point in the construction programme where it supports the sequential phasing of development at South Marston, a revised Phasing approach could be discussed and agreed with the LPA.

- South Marston East
- South Marston West

Rowborough

3.6 There will be four broad development phases at **Rowborough**, with development commencing initially from the west and focusing within the **central** part of Rowborough where the primary streets converge at the neighbourhood centre and primary school. Development phases are also identified **north** of the primary school; **east** towards Nightingale Wood, and then areas **south** of the brook and towards the River Cole.

- Rowborough Central
- Rowborough North
- Rowborough East
- Rowborough South

Phasing Principles

3.7 Figure A provides a plan to show Indicative Phases and illustrates the intended progression of development across the site. The six phases comprise a number of smaller development parcels but also include those other infrastructure elements and areas of open space to be delivered within, and as part of, that grouping of development parcels.

3.8 There is likely to be some overlap in the delivery of the phases. For example, early/advance infrastructure works may be underway to open up development in a future phase, in parallel with works required to complete obligations within a preceding phase. This approach is common when implementing a strategic site to balance delivery of required infrastructure to meet agreed delivery triggers, and to ensure site mobilisation and provision of early infrastructure to support stable onward delivery of development, responding to demand and delivering choice in the market. The s106 provides a mechanism to secure timely completion of works within each phase, such as in respect to delivery of all areas of open space. This certainty together with a commercially practical approach to the sequencing of development works will ensure development across the site progresses in a co-ordinated manner.

3.9 Figure A provides a spatial reference as to the anticipated progression of the development. This Phasing cannot be prescriptive in relation to dates or completion rates, as the applicants/ housebuilders cannot secure full control over delivery rates and dates of implementation where external factors are at play and third-party delivery of infrastructure is required. However, where the applicant/ developer is able to control the delivery of development (for example provision of open space, infrastructure etc.), these have been identified within this document.

3.10 Plan Definitions (LHL005 / 186 / Rev C) is appended to the S106 of the outline consent and demonstrates the key infrastructure present in each phase, such as schools, mixed use areas including community facilities and public open space.

Figure A: Phases of the Development

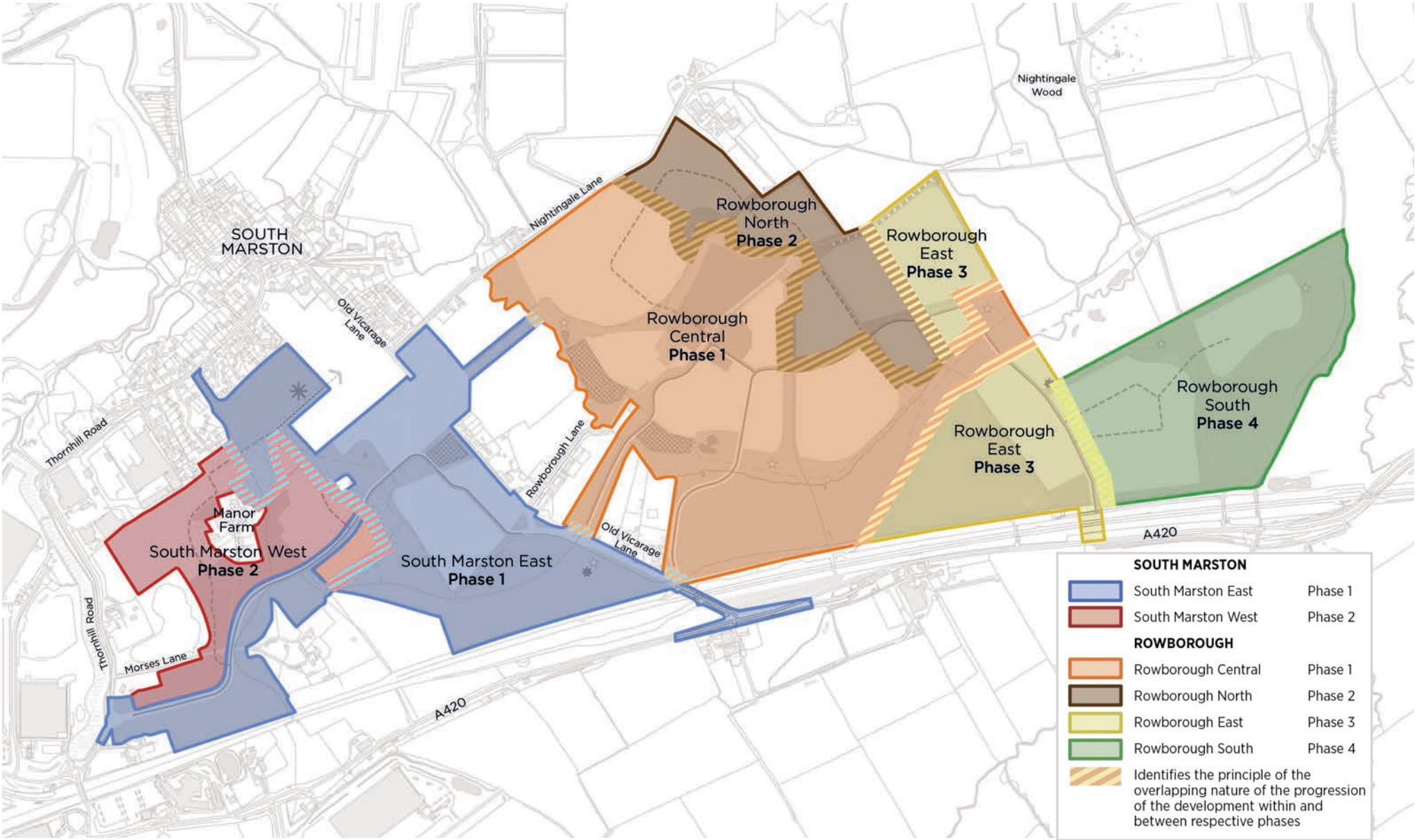

3.11 Figure B Infrastructure Phasing Plan Definitions re-presents the s106 plan, aligned with the phasing proposed in this document, and identifies the sequencing of infrastructure within each phase, consistent with the provisions in the s106.

3.12 The Consortium intend to implement the strategic infrastructure within the development directing and co-ordinating the design, approval process and delivery of specific elements.

3.13 The strategic infrastructure for which the Consortium will be responsible for implementing includes site accesses and primary streets; strategic open space & landscaping to include sustainable urban drainage features, strategic cycle/footways; allotments and sport pitches and LEAPs and NEAPs. Housebuilders will be responsible for the construction of new dwellings, residential streets within parcels (secondary and tertiary) and any smaller scale (incidental) open spaces within parcel.

3.14 The Consortium will procure through a tender the design and delivery of South Marston sports pitches, the Community Hall and its car park and the Rowborough Community Building and Sports Pavilion.

3.15 The mixed-use areas will be marketed by the Consortium and a third party will acquire the local centre site/s and be responsible for agreeing the full details with the Council, building it out and transferring the units to the end users.

3.16 Development triggers are identified in the section 106 agreement as necessary and, in some cases, in significantly greater detail and setting out fall-back positions. The Phasing Details do not include all triggers within the section 106, such as those applying to the payment of contributions towards services or facilities rather than physical infrastructure, or where the third party is not in a position to include a specific implementation date.

Figure B: Infrastructure Phasing Plan Definitions

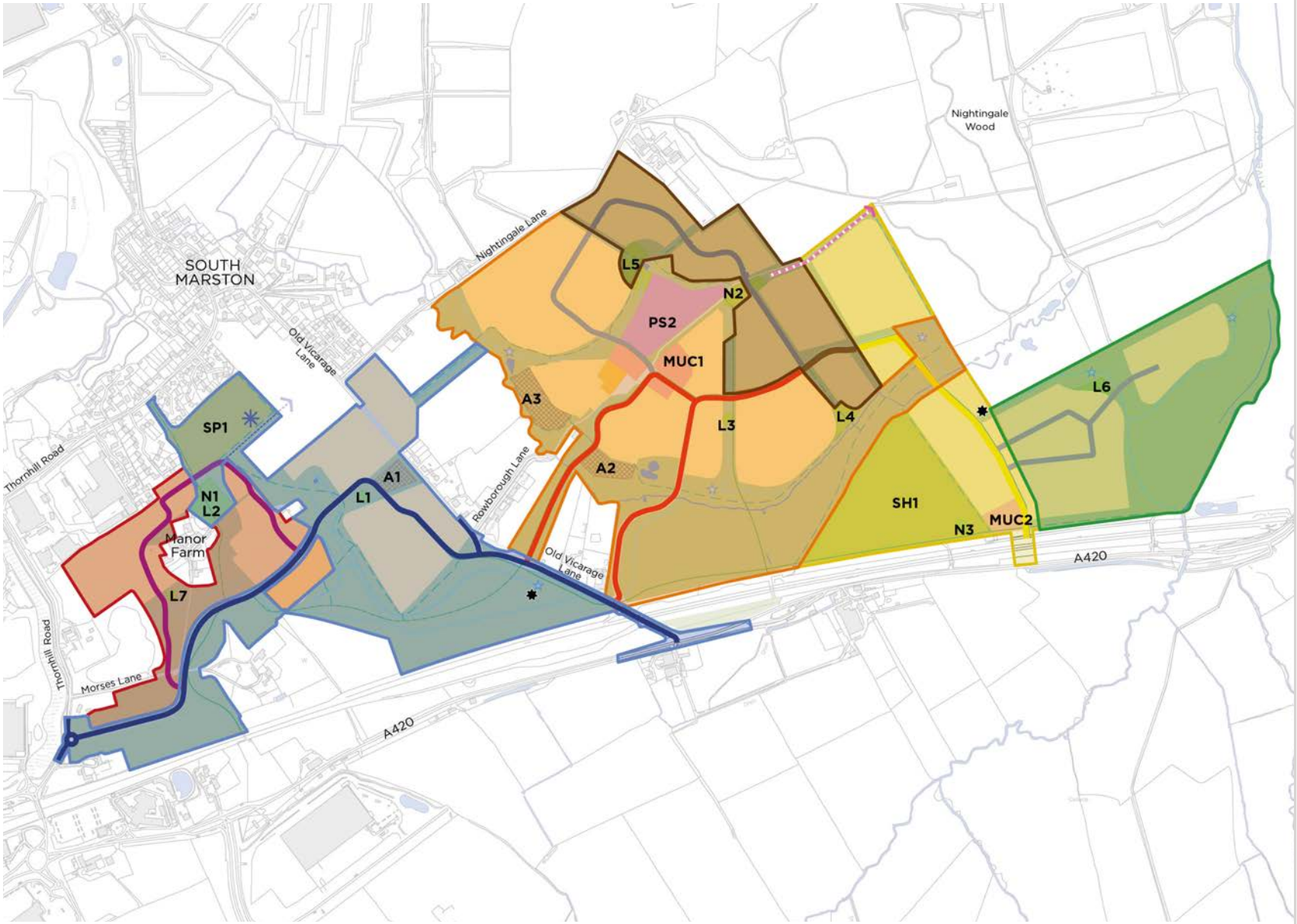

SOUTH MARSTON

South Marston East	Phase 1
South Marston West	Phase 2

ROWBOROUGH

Rowborough Central	Phase 1
Rowborough North	Phase 2
Rowborough East	Phase 3
Rowborough South	Phase 4

- South Marston Primary Street
- Rowborough Primary Street: Section A
- Rowborough Primary Street: Section B
- Rowborough Primary Street: Section C
- Northern Loop
- Secondary Streets

L1	LEAP
N1	NEAP
A1	Allotment
SP1	Sports Pitches
SH1	Sports Hub
MUC	Mixed Use Centre
PS	Primary School Rowbrough

- South Marston Community Hall
- Retained access to Nightingale Wood along bridle route
- Dedicated 3m Cycle track + 2m walkway (5m total)
- Shared cycle track and walkway (3.5m)
- Secondary footpath (2m)
- Drainage swale with varying profile to suit green space location
- Proposed swale to direct existing surface water route
- Drainage Basin
- Existing ponds and watercourses
- Foul Pumping Station

Highways and Movement

3.17 South Marston Primary Street will provide the construction access to support the mobilisation of the site and delivery of the first phase of development at South Marston.

3.18 The provision of primary streets in Rowborough will commence from the west initially, and then facilitate the opening up of central, northern, eastern and southern areas of the site, progressively to support the delivery of development parcels and associated infrastructure.

3.19 The completion of the primary street to its final standard is secured through obligations in the s106. The Primary streets are defined in the s106 as 'Principal Roads' and these are identified in Plan 5 appended to the s106, however the term Primary Streets is now used in the site wide documents, to refer to Principal Roads.

3.20 The s106 requires that sections of Primary Street, where they are serving dwellings, to have been entered into a dedication and adoption agreement prior to 50% occupation of dwellings within that Phase. This is to ensure that roads that are serving dwellings and taking residential traffic are not left at base course standard in the longer-term.

Landscape

3.21 Advance management works will be carried out to include the maintenance, clearance or repair of existing landscape vegetation and trees pursuant to the outline consent and as agreed pursuant to conditions, and where necessary will include relevant strategic advance works including drainage basins, construction of new landscape features, areas of woodland planting and ecological enhancement measures. Ecological Enhancement measures will be identified and agreed in advance through the approval of Landscape, Ecology Arboricultural Management Plans relevant to each 'sub-phase' pursuant to Condition 11 on the outline consent.

3.22 Sch 1 Clause 5.2 to the s106 requires the submission of an Open Space Strategy to be submitted for each Phase prior to, or as part of the submission of the first reserved matters application within that Phase. The Strategy will provide further detail in relation to the phasing and timing of delivery of open space as well as the details of the future management and ownership of the Open Space.

Drainage Infrastructure

3.23 The Phasing details identify the surface and foul water drainage strategy across the site. The site wide surface water drainage strategy comprises a network of conveyance and storage swales of varying dimensions with their section to treat and convey surface water to a series of detentions ponds across the site. Each swale profile will be designed to cater for the surface water needs of the development parcel it serves, to include capturing the spine road drainage. Drainage spurs will be installed to enable the individual parcels to be connected at a later date.

3.22 The surface water strategy also identifies land drainage exceedance channels that will convey existing overland flows and direct them to existing watercourses.

3.23 Further details of the proposed surface water drainage strategy for the site, including outfall, will be approved pursuant to condition 41 (Site Wide Surface Water Strategy)

3.24 Foul water drainage will also be installed as part of the strategic infrastructure works. Two foul pumping stations are to be provided the first as part of the first phase works at South Marston East (Phase 1), and a second as part of the delivery of Rowborough East (Phase 3).

4.0 Sequence of Development

South Marston

Phase 1 : South Marston East

4.1 South Marston East is likely to accommodate some 260 dwellings, using an assumed average density of 30 dwellings per hectare.

4.2 Residential Development is proposed to commence at the eastern end of South Marston, which will include the creation of the priority junction access off Old Vicarage Lane, in order to limit the increase in traffic through South Marston. The A420 junction and signal works will be delivered prior to the occupation of any dwellings where access to taken off the Old Vicarage Lane. In addition, the South Marston Traffic Calming Contribution will be made.

4.3 The construction access to South Marston will be taken off the approved new junction at Thornhill Road and will limit construction traffic through the village and separate construction and residential traffic within the site. The outline conditions require completion of Thornhill junction and the South Marston Primary Street that connects Thornhill Road to Old Vicarage Lane, prior to 300 occupations, and will therefore be delivered as part of the first phase works, to accord with the provisions of the outline permission.

4.4 The alignment, design and treatment of the primary street will be agreed as part of the Strategic Design Code, before reserved matters details can be submitted for approval and construction can begin. This design and consenting process will provide the Council with the necessary controls to secure an appropriate placemaking response to streets within development parcels, that will ensure the design of the street along its length is futureproofed to support appropriate layouts for the second phase at South Marston .

4.5 Construction of the Primary Street will proceed in a west-east direction, with Thornhill Road providing the initial construction access. Details in relation to construction access will be provided as part of the Construction Method Statement (CMS) as required by Condition 36.

4.6 Phase 1 : South Marston East will also include the laying out of the open space including provision of allotments, a NEAP, two LEAPs to be delivered by the Consortium. New and enhanced foot and cycle connections will also be provided, sections of which will be incorporated within the strategic open space to be delivered by the Consortium, and some as part of shared surface streets to be delivered by housebuilders, where that forms part of the design proposals for the development phase.

4.7 The section of the foot/cycle way between Old Vicarage Lane and public right of way 5 will provide a connection to the newly constructed Green Bridge over the railway and will be delivered by the Consortium prior to 300 occupations.

4.8 Delivery of this Phase will involve the provision of strategic landscaping to include areas of planting, surface water drainage, and habitat improvements as identified in the Open Space Strategy and site wide FLEAMP.

4.9 The existing school at South Marston is to be expanded onto Parish Council land and will accommodate education needs arising from development at South Marston. Prior to the commencement of development the Consortium will offer to transfer land to the rear of Bell Gardens to South Marston Parish Council for community and recreation use to replace that used to facilitate the school expansion. Sports pitches will be delivered by the Consortium on this land prior 370 occupations across the site.

4.10 A new community hall for South Marston will be delivered adjacent to the sports pitches prior 450 occupations across the site. A car park will be provided adjacent to the community hall, on Parish Council Land. This facility will be delivered by the Consortium to support the play, sports and informal space offer as well as providing for a range of community facilities as identified by South Marston Parish Council.

4.11 Development includes the laying out of the eastern section of the Northern Loop as part of the secondary street network to provide vehicular access to the community hall and pitches. The street will likely be designed as a single sided street fronting the open space, to enable it to come forward in advance of reserved matters for the development parcels.

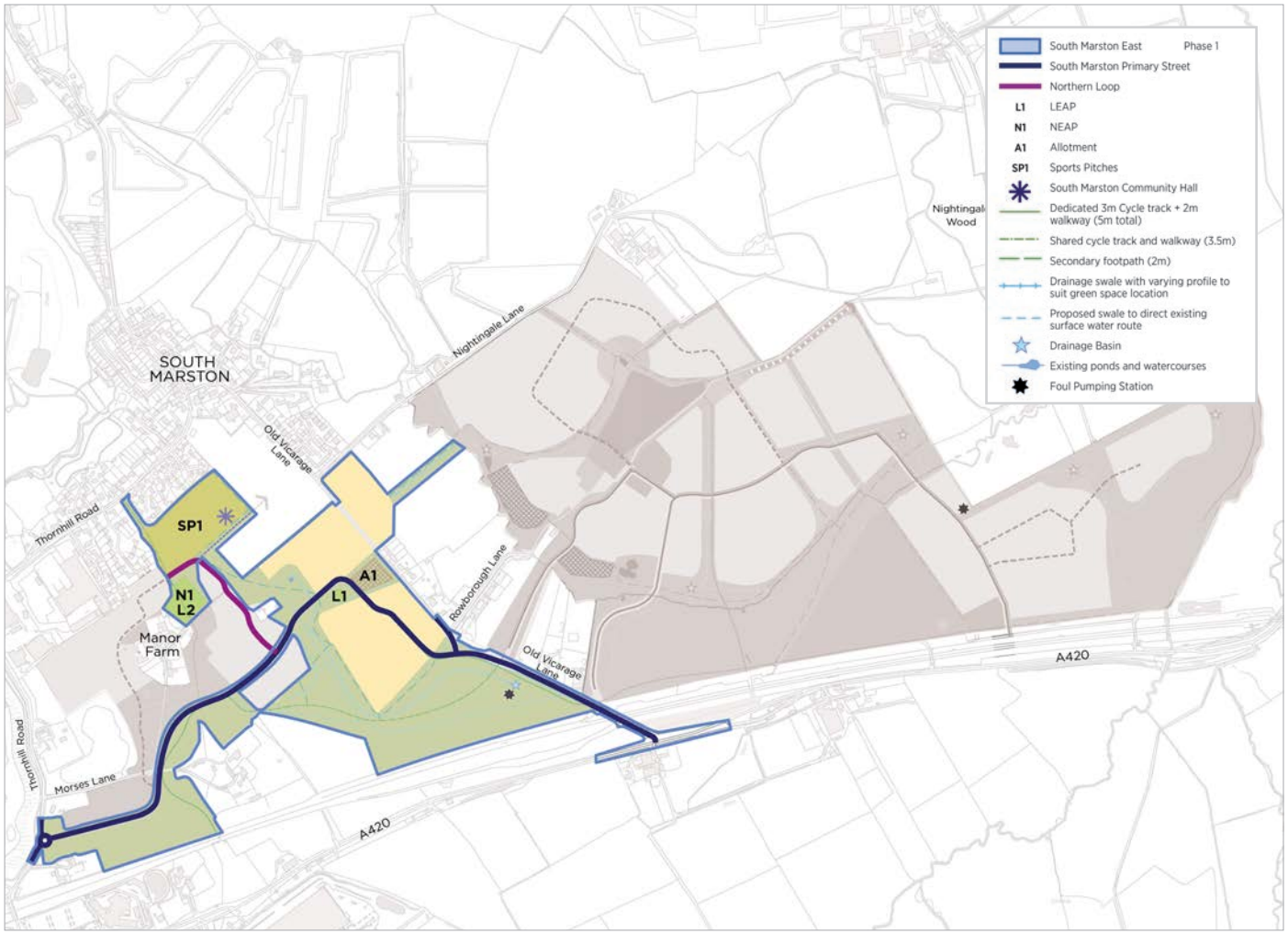

Figure 1: South Marston East

Infrastructure - South Marston East Indicative dwellings 260 (30 dph)

			Timescale for delivery (incl S106/ condition trigger where relevant)
Highways and Movement	**OVL Priority junction works**		
	Approval for Detailed Design for Priorty Junction Works	**C30**	Prior to commencement of any dwelling in South Marston served by the OVL priority junction.
	Completion of OVL Priority Junction Works Junction		Complete prior to 1st occupation
	OVL/A420 Junction and Signals Works		
	Approval of Detailed Design of Interim and Final Signalised Works and let to contract	**C27**	Prior to work to commencing on site that requires access from the OVL
	Completion of Interim scheme		Prior to the commencement of development
	Completion of OVL/A420 signal works		Prior to 1st Occupation where access is taken off the OVL.
	Thornhill Road Junction Works		
	Approval of Detailed Design	**C26**	Prior to occupation of any dwelling within South Marston
	Completion of Junction Works		Prior to occupation of 300 dwellings
	NB Junction will be completed earlier than condition trigger and within this site phase, Thornhill Road will provide the initial construction access		
	OVL/Thornhill Road - South Marston Primary Street		
	Approval of Detailed Design	**C29**	Prior to occupation of 100 dwellings at South Marston
	Completion of OVL/Thornhill South Marston Main Street		Prior to occupation of 300 dwellings.
	NB Primary Street will proceed in a west-east direction, with Thornhill Road providing the initial construction access and Old Vicarage Lane providing the initial residential access.		
	Completion of ped/cycle route from OVL to footpath 5 to the footbridge	**C31**	Prior to occupation of 300 dwellings
Open Space	Provision of 1st Allotments	**s106**	Prior to occupation of 250 dwellings
	Provision of 1st LEAP	**s106**	Prior to occupation of 100 dwellings
	Provision of 2nd LEAP (Bell Gardens)	**s106**	Prior to occupation of 370 dwellings
	Provision of 1st NEAP (Bell Gardens)	**s106**	Prior to occupation of 370 dwellings
	Provision of General Open Space (incl. provision of new or enhanced foot/cycle ways)	**s106**	In accordance with agreed programme for areas within this phase as identified in Open Space Strategy and prior to occupation 95% of the Dwellings in the Phase
	Provision of Sports Pitches	**s106**	Prior to occupation of 370 dwellings
Community	Deliver South Marston Community Hub + Parking	**s106**	Prior to occupation of 450 dwellings
Drainage and Services	Construction of relevant drainage basin and swale/ pipe		In parallel with the construction of each parcel and completion prior to last occupation within each parcel
	Provision of sewer connection to public sewer		In parallel with the construction of each parcel and completion prior to last occupation within each parcel
	Provision of initial services		In parallel with the construction of each parcel and completion prior to last occupation within each parcel

Rowborough

Phase 1 : Rowborough Central

4.12 Rowborough Central is likely to accommodate some 705 dwellings, using an assumed average density of 40 dwellings per hectare, consistent with Policy NC3.

4.13 Access into development at Rowborough will be taken initially from the new northern access junction from Old Vicarage Lane, to be constructed prior to the occupation of any dwelling at Rowborough. Development will commence within the western and central parts of Rowborough. Section A of the Primary Street, will be delivered in stages as development progresses eastwards.

4.14 The second (southern) access from Old Vicarage Lane into Rowborough will be delivered prior to the occupation of 300 dwellings at Rowborough.

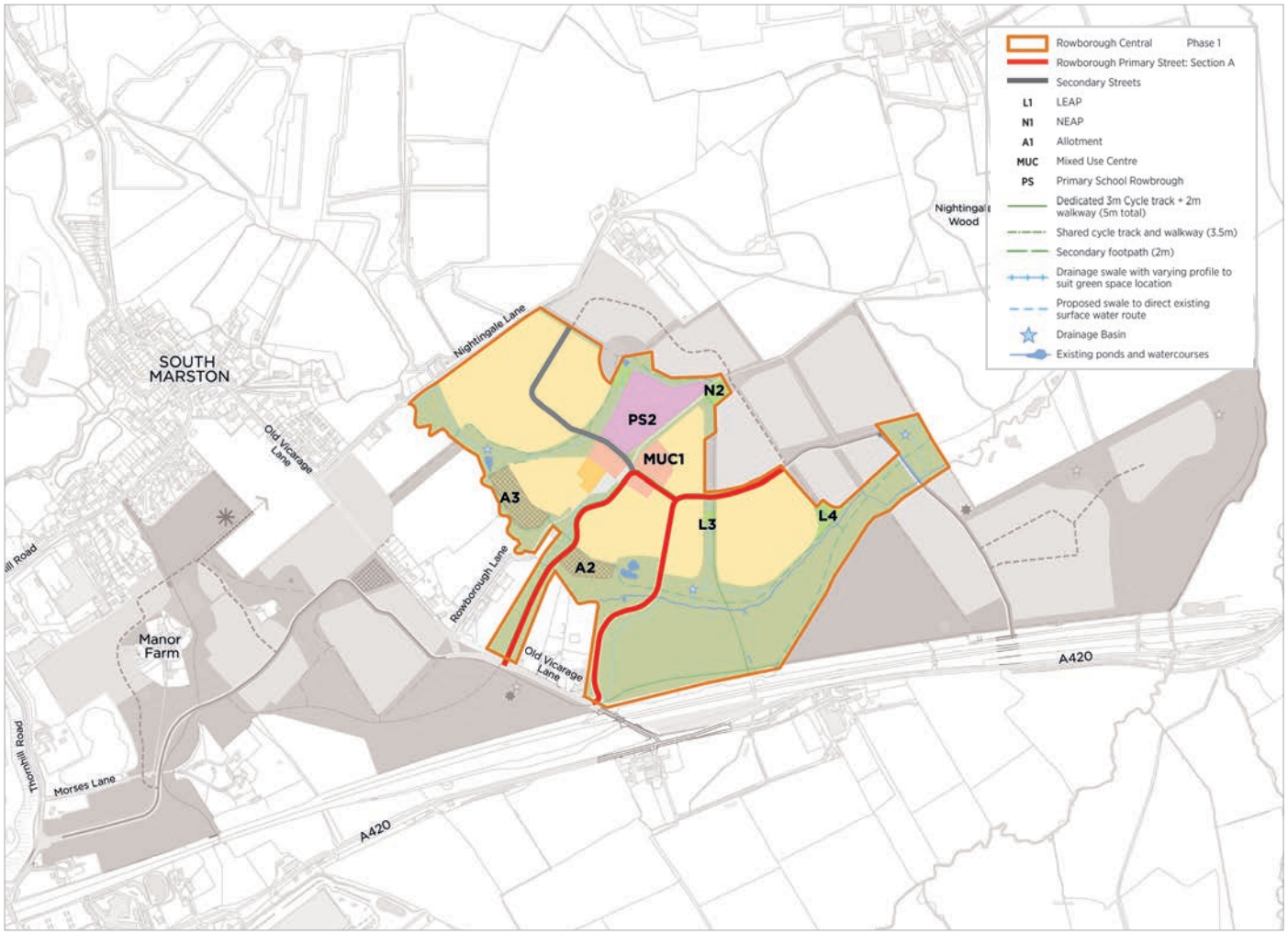

Figure 3: Rowborough Central

Infrastructure - Rowborough Central Indicative dwellings 705 (40 dph)

			Timescale for delivery (incl S106/ condition trigger where relevant)
Highways and Movement	**Primary Street from OVL into Rowborough (northern access)**		
	Approval of Detailed Design	**C30**	Prior to commencement of works
	Completion of Junction Works		Prior to occupation of any dwelling at Rowborough
	Second (southern) access to OVL into Rowborough		
	Approval of Detailed Design	**C30**	Prior to commencement of works
	Completion of Junction Works		Prior to occupation of 300 dwellings at Rowborough
	Rowborough Primary Street: Section A		To be built alongside development parcels
	Rowborough Secondary Streets		To be built alongside development parcels within this phase
Open Space	Provision of 2nd Allotments	**s106**	Prior to occupation of 725 dwellings
	Provision of 3rd LEAP	**s106**	Prior to occupation of 500 dwellings
	Provision of 4th LEAP	**s106**	Prior to occupation of 650 dwellings
	Provision of 2nd NEAP	**s106**	Prior to occupation of 750 dwellings
	Provision of 3rd Allotments	**s106**	Prior to occupation of 1100 dwellings
	Provision of General Open Space (incl. provision of new or enhanced foot/cycle ways)	**s106**	In accordance with agreed programme for areas within this phase as identified in Open Space Strategy and prior to occupation 95% of the Dwellings in the Phase
Community	Approval of Rowborough Primary School Site	**s106**	Prior to occupation of 400 dwellings
	Deliver Primary School at Rowborough (open)	**s106**	Prior to occupation of 700 dwellings
	Serviced Site for Rowborough Local Centre / Retail Land	**s106**	Prior to occupation of 600 dwellings
	Rowborough Community Centre	**s106**	Prior to occupation of 1,100 dwellings
	Marketing of Rowborough Local Centre Retail Land	**s106**	Prior to occupation of 600 dwellings
Drainage and	Construction of relevant drainage basin and swale/pipe		In parallel with the construction of each parcel and completion prior to last occupation within each parcel
	Provision of sewer connection to public sewer		In parallel with the construction of each parcel and completion prior to last occupation within each parcel
	Provision of initial services		In parallel with the construction of each parcel and completion prior to last occupation within each parcel
	South Marston Brook Crossing Points (design and timings)	**C43**	Prior to commencement of development in Rowborough

4.15 Rowborough Central will provide a new 2 FE primary school at Rowborough, to be delivered prior to 700 occupations. The expanded school at South Marston will provide primary provision for residents within the early Rowborough phases until the new school at Rowborough is delivered. Safe and direct walking and cycling routes from Rowborough to South Marston will be in place as part of the delivery of the new primary street network with improved crossing points along Old Vicarage Lane

4.16 A multi-purpose community building located within the neighbourhood centre adjacent to the primary school, will be delivered prior to 1,100 occupations.

4.17 The provision of the commercial facilities within the neighbourhood centre will need to be carefully planned. Whilst early provision may be encouraged, it is necessary to ensure sufficient local population within the immediate catchment, in order to support the viability of these additional local services.

4.18 Formal play provision is to be delivered alongside the progression of development secured through the triggers within the s106.

4.19 Rowborough Central includes two allotment areas, west of the neighbourhood centre, and a NEAP, located adjacent to the primary school in the northern part of the phase.

4.20 The phase also provides two LEAPs, one located centrally and a further towards the south of the phase and involve the provision of strategic landscaping to include areas of woodland planting and habitat improvements associated with the South Marston Brook, as identified in the Open Space Strategy and FLEAMP.

Phase 2 : Rowborough North

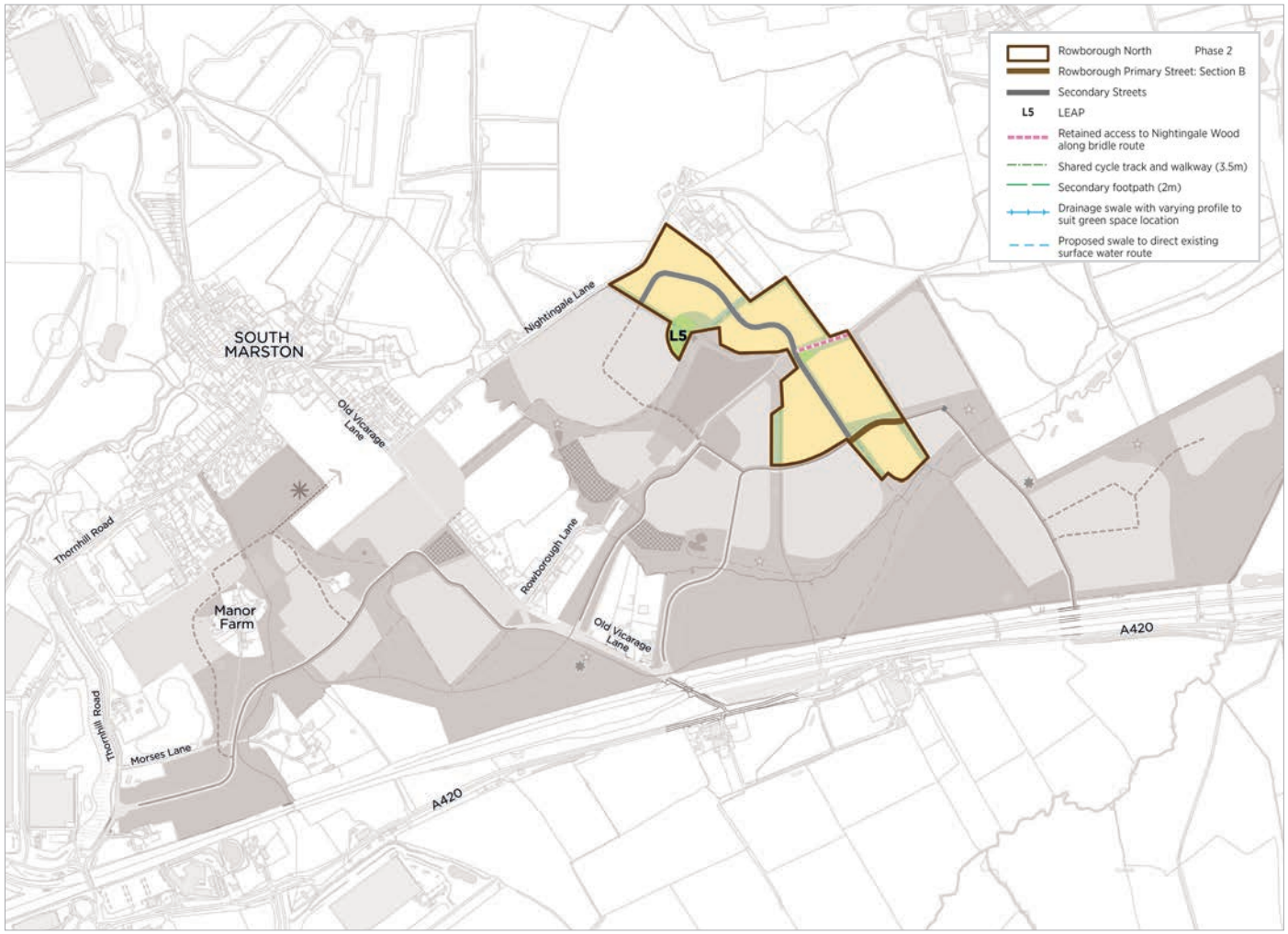

Figure 4: Rowborough North

4.21 Rowborough North is likely to accommodate some 430 dwellings, using an assumed average density of 40 dwellings per hectare and will deliver parts of the secondary street network to provide access to development parcels.

4.22 Section B of the Primary Street will be delivered as the development progresses east.

4.23 This phase will also deliver a LEAP and strategic landscaping to include areas of surface water drainage, planting and habitat improvements, as identified in the Open Space and FLEAMP.

Infrastructure - Rowborough North Indicative dwellings 430 (40 dph)			
		Timescale for delivery (incl S106/ condition trigger where relevant)	
Highways and Movement	Rowborough Primary Street Section B		To be built alongside development parcels within this phase
	Rowborough Secondary Street		To be built alongside development parcels within this phase
Open Space			
	Provision of 5th LEAP	**s106**	Prior to occupation of 1100 dwellings
	Provision of General Open Space (incl. provision of new or enhanced foot/cycle ways)	**s106**	In accordance with agreed programme for areas within this phase as identified in Open Space Strategy and prior to occupation 95% of the Dwellings in the Phase
Drainage and Services	Construction of relevant drainage basin and swale/pipe		In parallel with the construction of each parcel and completion prior to last occupation within each parcel
	Provision of sewer connection to public sewer		In parallel with the construction of each parcel and completion prior to last occupation within each parcel
	Provision of initial services		In parallel with the construction of each parcel and completion prior to last occupation within each parcel

Phase 3 : Rowborough East

4.24 Rowborough East is likely to accommodate some 325 dwellings, using an assumed average density of 40 dwellings per hectare.

4.25 Section C of the Primary Street, will be delivered in stages as development progresses south.

4.26 A NEAP is provided to the south, co-located with the sports pitches and hub. Sports pitches at Rowborough will be provided prior to the occupation of 1500 dwellings together with a sports hub that includes provision for changing and car/ cycle parking. The hub could be delivered as part of a mixed-use centre, with retail and/or additional community facility elements.

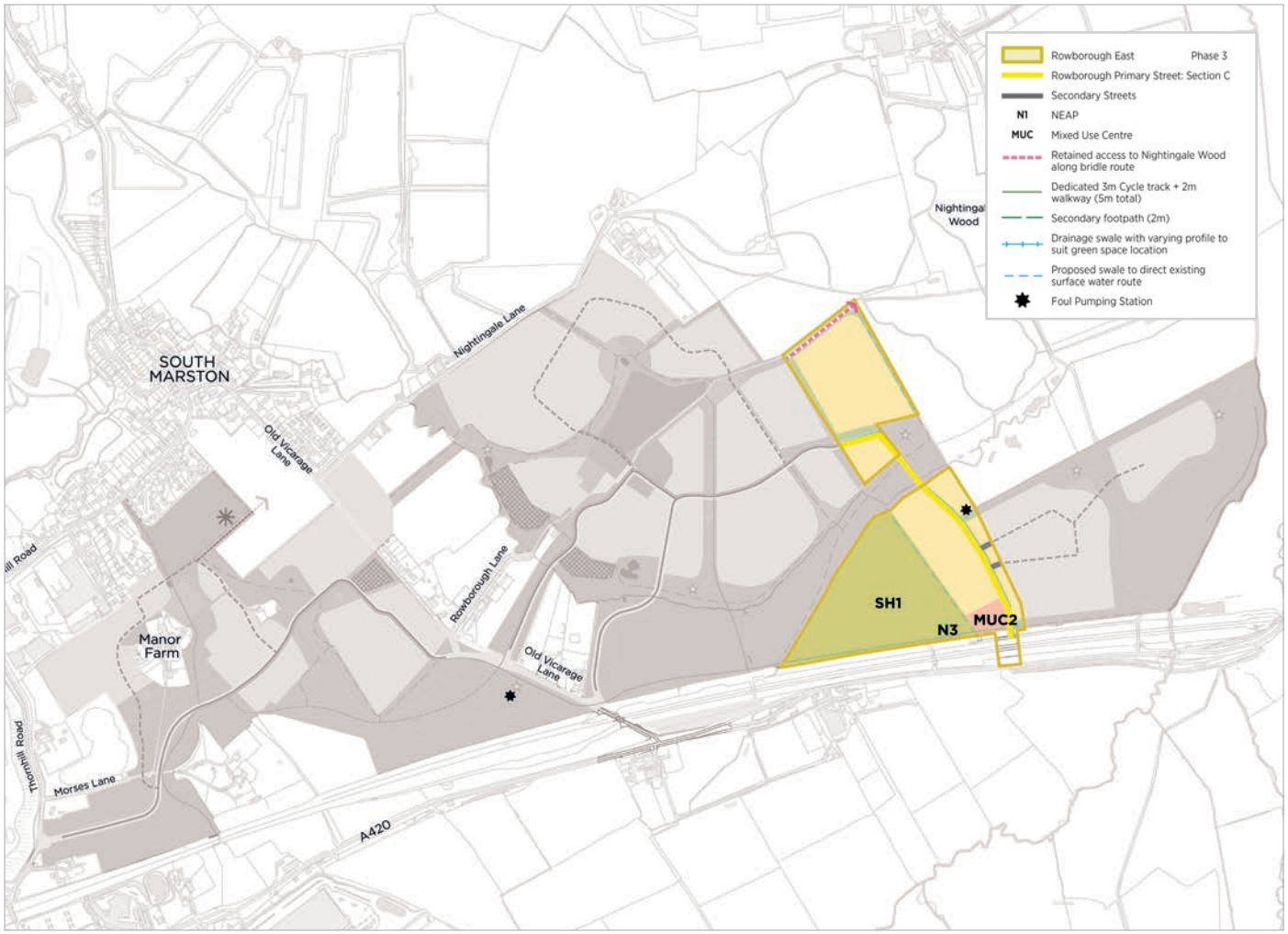

Figure 5: Rowborough East

Infrastructure - Rowborough East Indicative dwellings 325 (40 dph)			
		Timescale for delivery (incl S106/ condition trigger where relevant)	
Highways and Movement	**Eastern Access Works**		
	Approval of Details Eastern Access	**C28**	Prior to commencement of eastern access works
	Completion of Junction		Prior to occupation of 1200 dwellings at Rowborough (excluding 500 at SM)
	Rowborough Primary Street: Section C		To be built alongside development parcels within this phase
Open Space	Provision of Rowborough Sports Hub and Pitches	**s106**	Prior to occupation of 1,500 dwellings
	Provision of 3rd NEAP	**s106**	Prior to occupation of 1,750 dwellings
	Provision of General Open Space (incl. provision of new or enhanced foot/cycle ways)	**s106**	In accordance with agreed programme for areas within this phase as identified in Open Space Strategy and prior to occupation 95% of the Dwellings in the Phase
Drainage and Services	Construction of relevant drainage basin and swale/pipe		In parallel with the construction of each parcel and completion prior to last occupation within each parcel
	Provision of sewer connection to public sewer		In parallel with the construction of each parcel and completion prior to last occupation within each parcel
	Provision of initial services		In parallel with the construction of each parcel and completion prior to last occupation within each parcel

4.27 This phase will also deliver strategic landscaping, to include areas of planting and habitat improvements, as identified in the Open Space and FLEAMP.

Phase 4 : Rowborough South

4.27 Rowborough South is likely to accommodate some 420 dwellings, using an assumed average density of 40 dwellings per hectare.

4.28 Delivery of this Phase will provide a LEAP and will also include the provision of strategic landscaping to include areas of surface water drainage, woodland planting and habitat improvements, as identified in the Open Space Strategy and FLEAMP.

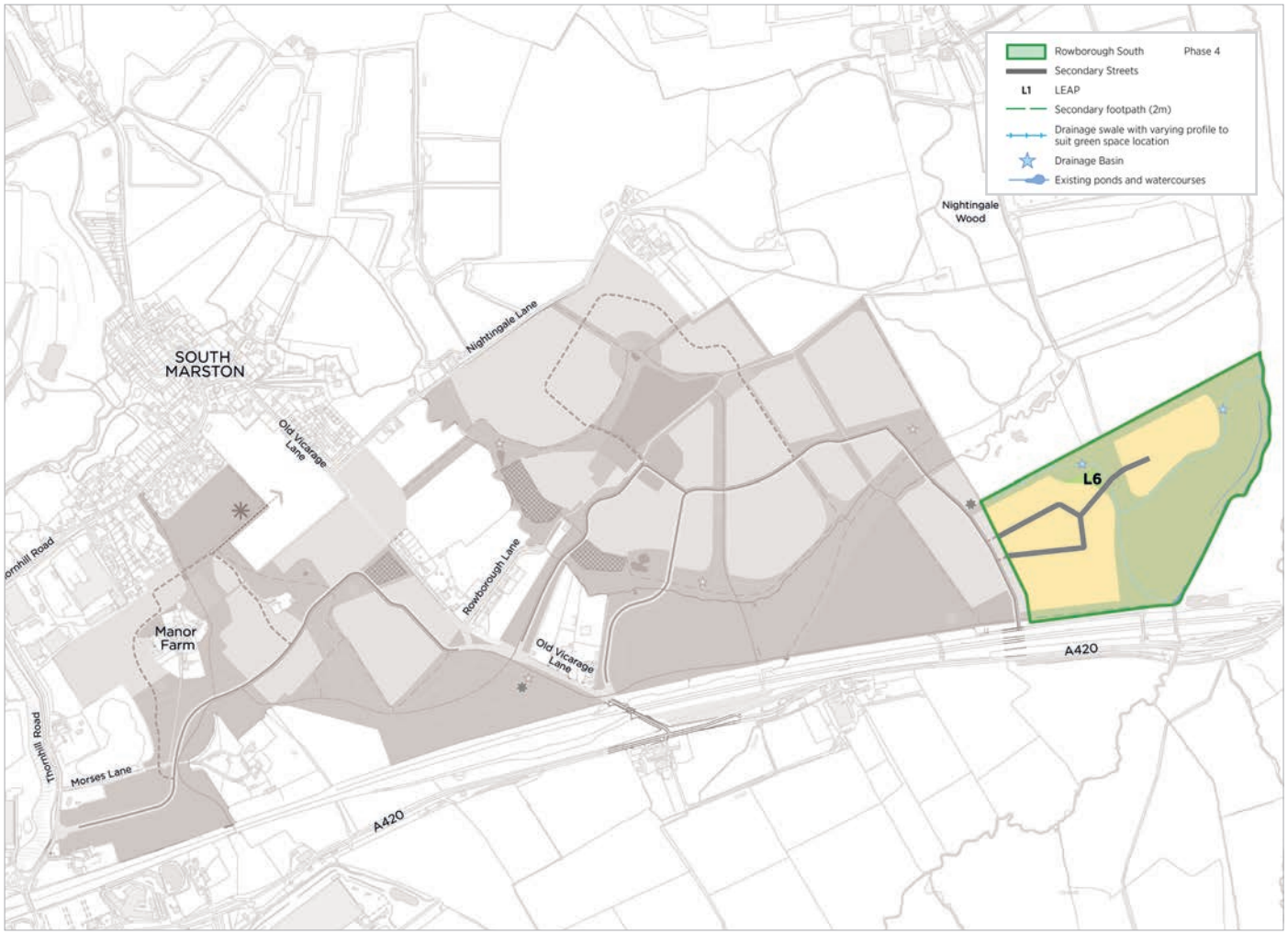

Figure 6: Rowborough South

Infrastructure - Rowborough South Indicative dwellings 420 (40 dph)			
		Timescale for delivery (incl S106/ condition trigger where relevant)	
Highways and Movement	Secondary Street		To be built alongside development parcels within this phase
	Provision of 6th LEAP	**s106**	Prior to occupation of 1,500 dwellings
	Provision of General Open Space (incl. provision of new or enhanced foot/cycle ways)	**s106**	In accordance with agreed programme for areas within this phase as identified in Open Space Strategy and prior to occupation 95% of the Dwellings in the Phase
Drainage and Services	Construction of relevant drainage basin and swale/pipe		In parallel with the construction of each parcel and completion prior to last occupation within each parcel
	Provision of sewer connection to public sewer		In parallel with the construction of each parcel and completion prior to last occupation within each parcel
	Provision of initial services		In parallel with the construction of each parcel and completion prior to last occupation within each parcel

South Marston

Phase 2 : South Marston West

4.29 South Marston West is likely to accommodate some 240 dwellings, using an assumed average density of 30 dwellings per hectare, and will deliver the central and western residential parcels and an additional area for play.

4.30 Development includes the laying out of the remaining section of the Northern Loop as part of the secondary street network, which will be completed prior to the occupation of 450 homes in South Marston.

4.31 An additional LEAP will be delivered, alongside areas of general recreation and land for biodiversity habitat.

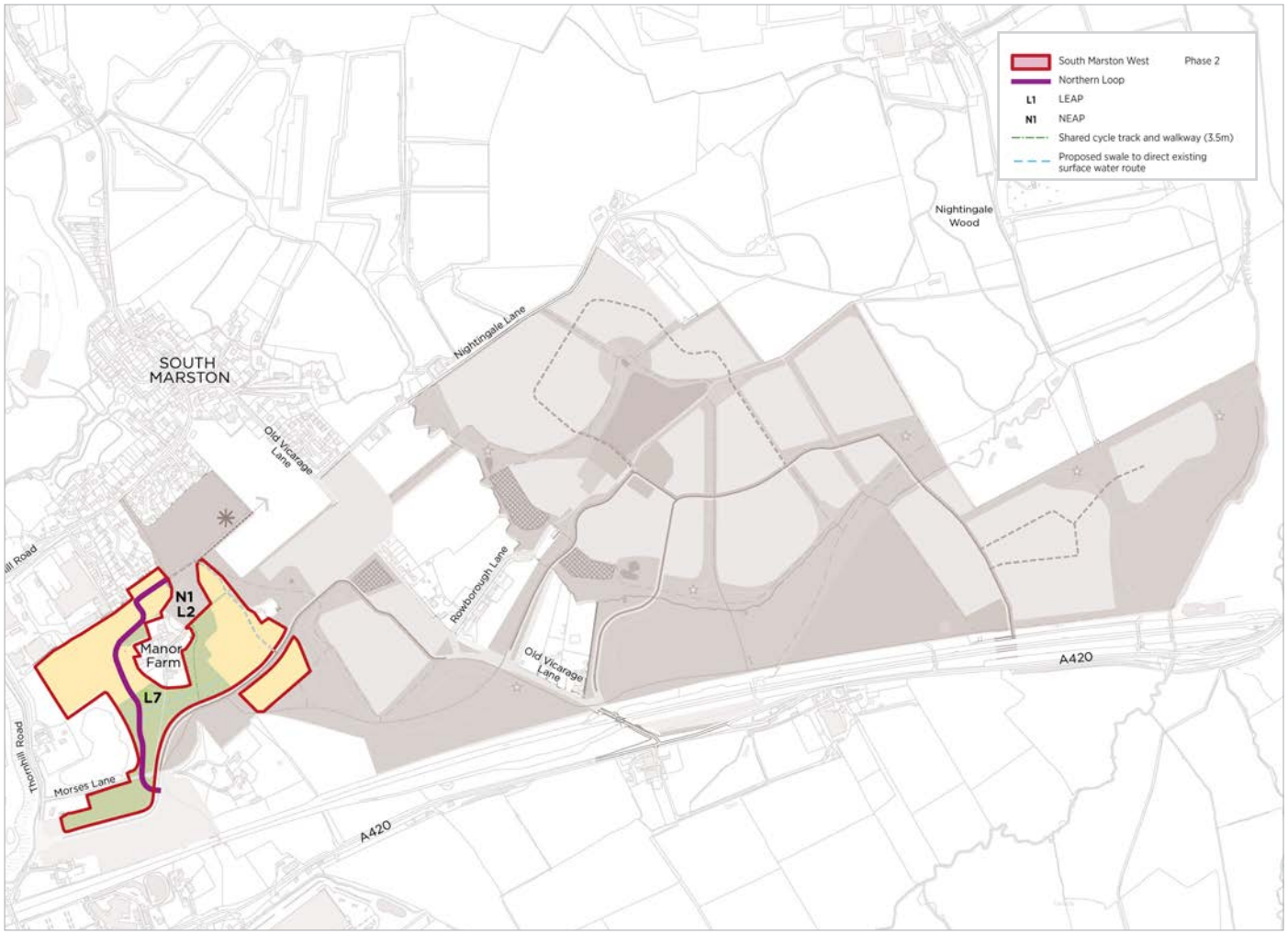

Figure 2: South Marston West

Infrastructure - South Marston West Indicative dwellings 240 (30 dph)			
		Timescale for delivery (incl S106/ condition trigger where relevant)	
Highways and Movement	Northern Loop	**S106**	Prior to occupation of 450 homes within South Marston
Open Space	Provision of 7th LEAP (Manor Farm)	**s106**	Prior to occupation of 2096 dwellings
	Provision of General Open Space ((incl. provision of new or enhanced foot/cycle ways)	**s106**	In accordance with agreed programme for areas within this phase as identified in Open Space Strategy and prior to occupation 95% of the Dwellings in the Phase
Drainge and Services	Construction of relevant drainage basin and swale/pipe		In parallel with the construction of each parcel and completion prior to last occupation within each parcel
	Provision of sewer connection to public sewer		In parallel with the construction of each parcel and completion prior to last occupation within each parcel
	Provision of initial services		In parallel with the construction of each parcel and completion prior to last occupation within each parcel

5.0 Indicative Completion Rates

5.1 For the reasons set out in Section 1 and 3 of the document, it is not possible to include details of completion rates as a commitment within the Phasing Strategy. The requirement for third party actions, and variations in market conditions, are such that the applicants/ developers are unable to secure full control over delivery rates and dates of implementation.

5.2 To assist the planning of infrastructure the following indicative rates of development are included. These are illustrative only and may be higher or lower. They are for information only and do not form part of the Phasing Strategy commitments.

5.3 Likewise, the inclusion of the tables below, insofar as how far and where development might have progressed, is also illustrative, for information only, and does not form part of the Phasing Strategy commitments.

Apr/Mar	Annual	Cumulative
2023/24	150	**150**
2024/25	200	**350**
2025/26	200	**550**
2026/27	200	**750**
2027/28	200	**950**
2028/29	200	**1150**
2029/30	200	**1350**
2030/31	200	**1550**
2031/32	200	**1750**
2032/33	200	**1950**
2033/34	200	**2150**
2034/35	200	**2350**
2035/36	30	**2380**

Indicative Completion Rates

Phase (indicative dwellings)	Cumulative (indicative dwellings)
Phase 1 South Marston East 260	**260**
Phase 1 Rowborough Central 705	**965**
Phase 2 Rowborough North 430	**1395**
Phase 3 Rowborough East 325	**1720**
Phase 4 Rowborough South 420	**2140**
Phase 2 South Marston 240	**2380**

Sequencing of Phases

www.davidlock.com