SECTION 2 @ 1:250

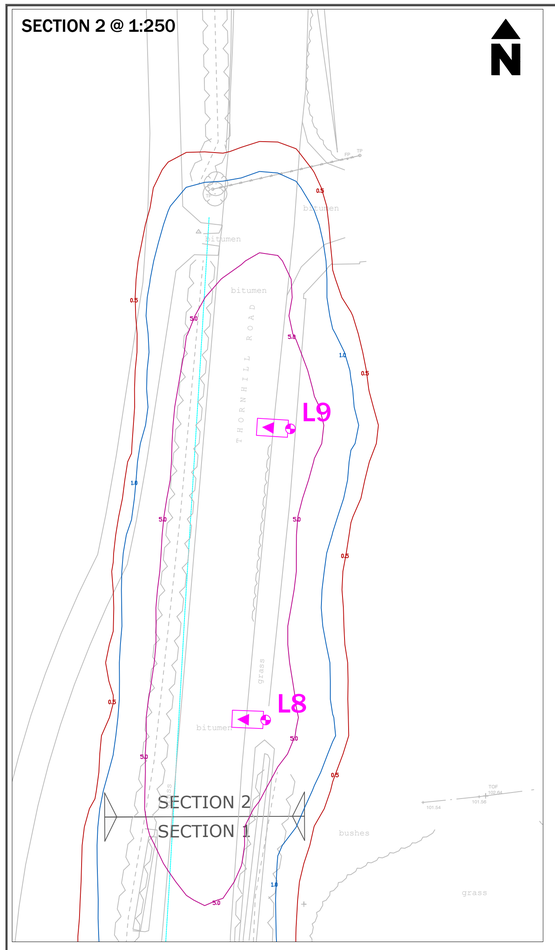

SECTION 1 @ 1:250

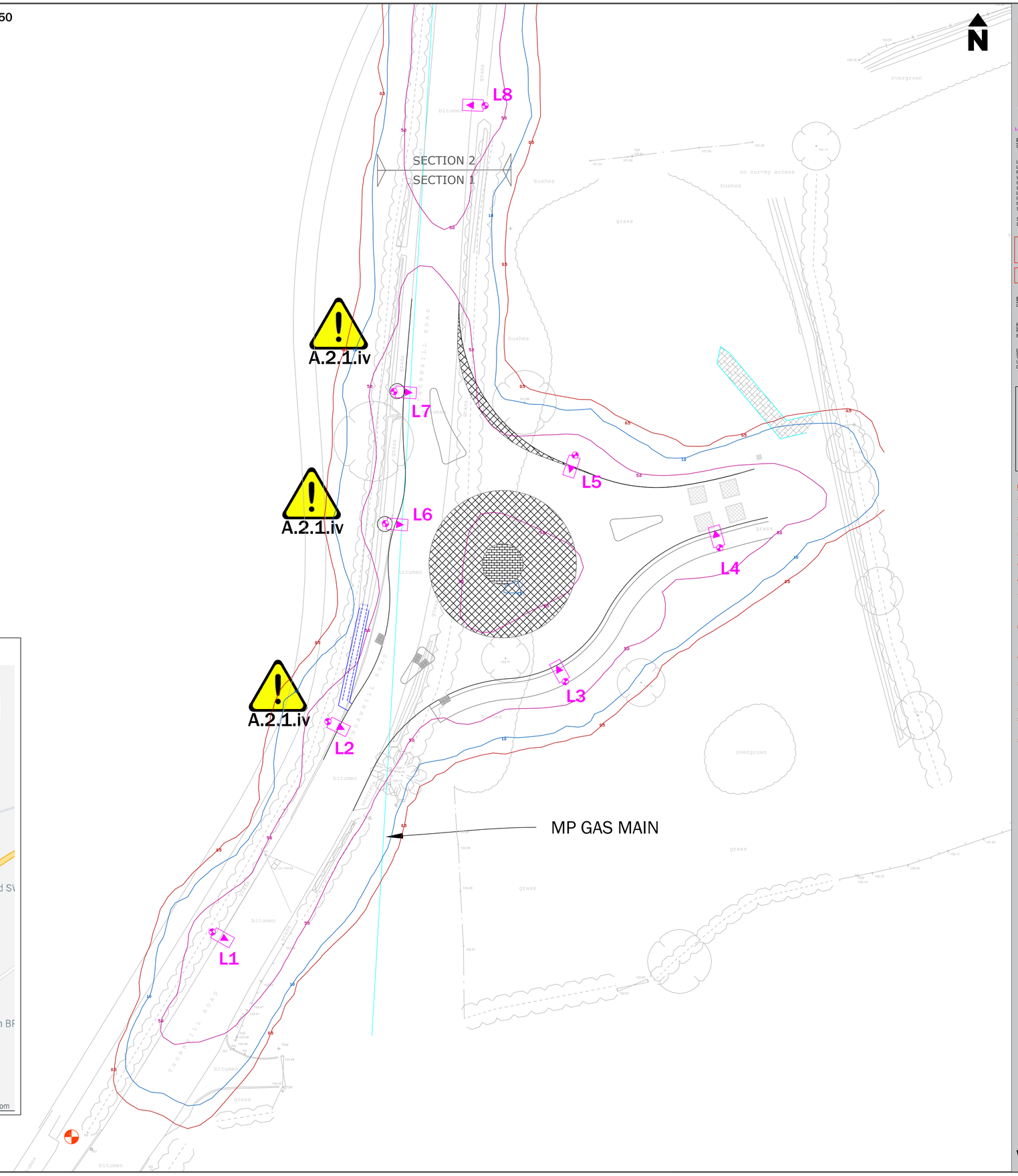

LOCATION DETAIL:

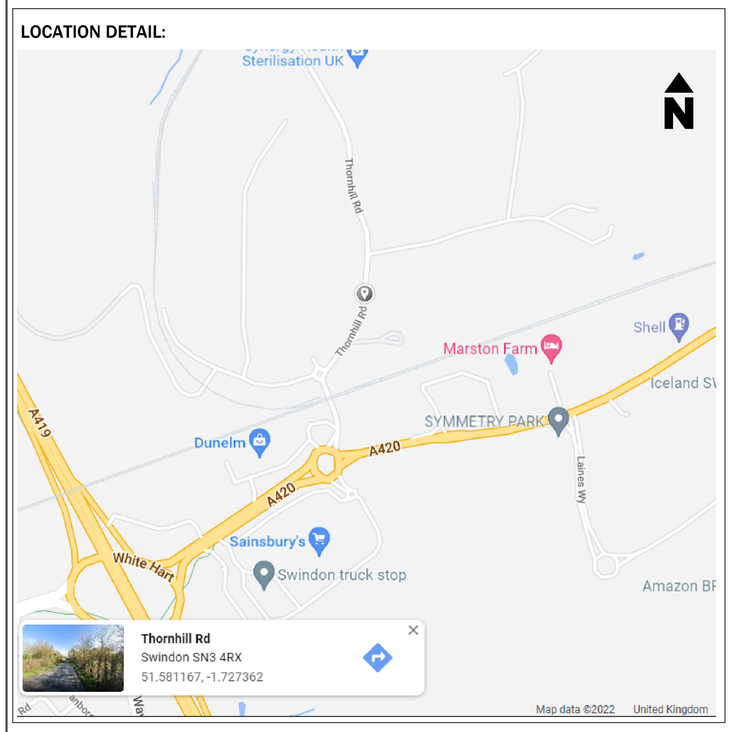

LIGHTING NOTES:

SAFETY, HEALTH AND ENVIRONMENTAL INFORMATION

IN ADDITION TO THE HAZARDS/RISKS NORMALLY ASSOCIATED WITH THE TYPES OF WORK DETAILED ON THIS DRAWING, NOTE THE FOLLOWING SIGNIFICANT RISKS (REFERENCE SHALL ALSO BE MADE TO THE DESIGN RISK ASSESSMENT)

A.2.1.iv

UNDERGROUND MP GAS MAIN IN VICINITY. EXTREME CAUTION TO BE TAKEN AT ALL TIMES. PIPES SHOWN ARE INDICATIVE. REFER TO WLC612-1-RA CDM RISK ASSESSMENT AND RELEVANT UTILITY PLANS. MECHANICAL EXCAVATIONS (INC. BREAKER ATTACHMENTS) MUST NOT BE USED WITHIN 0.5m OF GAS MAIN. CONTACT GAS BOARD FOR ANY WORKS WITHIN 3m OF GAS MAIN.

1. UNKNOWN UTILITIES MAY BE PRESENT - ANY UTILITIES SHOWN ARE INDICATIVE. CONTRACTOR MUST REFER TO UP TO DATE UTILITY PLANS.
2. REFER TO CDM RISK ASSESSMENT.

SYMBOL	QUANTITY
L#	9

PROPOSED LIGHTING COLUMN AND LANTERN:

COLUMN:	6m DJ PROSCO TUBULAR GALVANISED STEEL LIGHTING COLUMN AS PER SWINDON BOROUGH COUNCIL SPECIFICATIONS - COPY AVAILABLE UPON REQUEST.
LANTERN:	URBIS AXIA 3.1 FACTORY FINISHED RAL9002 GREY WHITE
LIGHT SOURCE:	16 LED 3000K WARM WHITE
FLUX:	4.014lm
WATTAGE:	44W
OPTIC:	5267 (WITH INTEGRATED REAR LOUVRES)
LANTERN MOUNTING:	POST TOP - 76MM
LANTERN INCLINATION:	0°
CONTROL GEAR REF:	DALI ENABLED ELECTRONIC DRIVER
ISOLATOR:	CHARLES ENDRECT DOUBLE POLE ISOLATOR
SWITCHING:	7 PIN NEMA SOCKET WITH TELENSA ETSI GREY DIMMING TELECELL WITH GPS INCORPORATED - PRODUCT CODE T2E1N-G-3
SUPPLY:	NEW UNMETERED DNO SUPPLY
DIMMING REQUIREMENTS:	UNITS ARE TO DIM AS PER SWINDON BOROUGH COUNCIL GUIDANCE - CONTROLLED VIA TELENSA UPON ADOPTION.

ALL COLUMNS LOCATED WITHIN PEDESTRIANISED AREAS (E.G. FOOTWAYS/SHARED SURFACES) SHALL INCLUDE A 150MM WHITE RETROREFLECTIVE BAND 1.6M ABOVE GROUND TO PROVIDE A VISUAL AID TO PARTIALLY SIGHTED ROAD USERS AS TO THE PRESENCE OF THE COLUMN IN ACCORDANCE WITH THE ASSOCIATE OF THE BLIND REQUIREMENTS.

ALL COLUMNS ARE TO BE SET BACK AT LEAST 1.5M FROM KERB EDGE. HEDGE TO BE TRIMMED WHERE REQUIRED.

EXISTING LIGHTING COLUMN:
LIGHTING COLUMN SHOWN FOR TIE IN PURPOSES ONLY.

HIGHWAY BOUNDARY:
RED LINE DENOTES HIGHWAY BOUNDARY - ALL COLUMNS ARE SITUATED WITHIN THE HIGHWAY BOUNDARY.

UTILITIES:
SIGNIFICANT RISK UTILITY INFORMATION HAS BEEN PROVIDED BELOW - REFER TO UP TO DATE UTILITY PLANS FOR ALL UTILITY DETAILS - ANY UTILITY INFORMATION PROVIDED WITHIN THIS DRAWING IS INDICATIVE.

MEDIUM PRESSURE GAS MAIN

LIGHTING CALCULATION DETAILS:
THE PROPOSALS HAVE BEEN DESIGNED TO MEET THE REQUIREMENTS OF THE FOLLOWING TARGET LIGHTING CLASS(ES): M5 (C4 CONFLICT) & P3 (COMPARABLE) IN ACCORDANCE WITH BS5489-1:2020

LEVELS ACHIEVED:
REFER TO LIGHTING CALCULATION REPORTS.

LUX CONTOUR LINES:

SYMBOL	DESCRIPTION
	0.50 LUX CONTOUR LINE
	1.00 LUX CONTOUR LINE
	5.00 LUX CONTOUR LINE

LIGHTING NOTES:

1. ALL WORKS ARE TO BE CARRIED OUT/INSTALLED IN ACCORDANCE WITH SWINDON BOROUGH COUNCILS REQUIREMENTS FOR ADOPTABLE EQUIPMENT - A COPY IS AVAILABLE UPON REQUEST.
2. THE PROPOSALS HAVE BEEN DESIGNED TO MEET THE REQUIREMENTS OF THE FOLLOWING TARGET LIGHTING CLASS(ES): M5 (C4 CONFLICT) AND P3 COMPARABLE)
3. THIS DESIGN HAS BEEN PREPARED IN ACCORDANCE WITH HEA-HEMSA GUIDANCE NOTE - COM2015 REGULATIONS, ISSUE 1.1, DATED 09/04/15
   3.1. PROCEDURE 3 - DETAILED DESIGN - BASED ON INFORMATION PROVIDED BY THE CLIENT.
4. REFER TO DESIGNERS HAZARD ELIMINATION AND MANAGEMENT DOCUMENT.
5. ALL NEW COLUMNS AND ILLUMINATED SIGNS TO BE DNO SERVICED, UNLESS AGREED OTHERWISE IN WRITING.
6. IT IS THE RESPONSIBILITY OF THE CONTRACTOR TO LIAISE WITH THE DNO FOR MAINS SERVICE TO STREET LIGHTING AND LIT TRAFFIC SIGNS UNLESS OTHERWISE AGREED.
7. ALL APPARATUS TO BE:
   7.1. INSTALLED AND TESTED IN COMPLIANCE WITH BS7671 LATEST EDITION.
   7.2. NUMBERED / LABELED AS AGREED WITH AUTHORITY ENGINEER.
   7.3. NEW AT THE TIME OF INSTALLATION AND SUPPORTED BY RELEVANT MANUFACTURERS GUARANTEES AND DATA SHEETS.
8. ALL WORKS SHOULD BE CARRIED OUT BY A SUITABLY QUALIFIED AND COMPETENT PERSONS IN ACCORDANCE WITH BUT NOT LIMITED TO, G39 'WORKING IN THE VICINITY OF DNO EQUIPMENT', 'WORKING AT HEIGHT REGULATIONS', 'ELECTRICITY AT WORK REGULATIONS', 'SAFE DIGGING PRACTICES HSG47 'AVOIDING DANGER FROM UNDERGROUND SERVICES' AND 'CODE OF PRACTICE FOR ELECTRICAL SAFETY AND HIGHWAY ELECTRICAL OPERATIONS'
9. IT IS THE RESPONSIBILITY OF THE INSTALLING ORGANISATION TO UNDERTAKE FINAL DUE DILIGENCE AND DETERMINE THE EXACT LOCATION OF ANY STATUTORY UNDERTAKERS SERVICES PRIOR TO THE COMMENCEMENT OF ANY CONSTRUCTION WORKS ON SITE. ANY UTILITIES INDICATED ARE INDICATIVE ONLY.
10. CONTRACTORS SHOULD SATISFY THEMSELVES THAT ANY UTILITY DRAWINGS AFFECTING THE SCHEME ARE ACCURATE AND UP TO DATE FROM THE COMMENCEMENT OF CONSTRUCTION WORKS. IN SOME CIRCUMSTANCE, TRIAL HOLES OF A SUITABLE SIZE ARE TO BE DUG BEFORE PLANNED INSTALLATION OF ANY COLUMNS.
11. ISO-LUX CONTOUR LINES SHOWN ARE INDICATIVE.
12. ALL COLUMNS ARE TO BE AT REAR OF FOOTWAY / SERVICE STRIP OR AT CLEARANCE INDICATED, IF COLUMNS CANNOT BE INSTALLED AS SET OUT IN THIS DRAWING THEN THE DESIGNER IS TO BE CONSULTED FOR ALTERNATIVE POSITIONS.
13. CONSTRUCTION SHOULD NOT RE-STARTED UNTIL TECHNICAL APPROVAL HAS BEEN GRANTED BY THE AUTHORITY. ANY WORKS TAKING PLACE PRIOR TO APPROVAL SHALL BE AT THE DEVELOPERS RISK.

REV:	DESCRIPTION:	BY:	DATE:
R1	REVISED LAYOUT	PW	07.11.23
R0	FIRST ISSUE	PW	06.10.22

STATUS: FOR APPROVAL

Williams Lighting Consultants Ltd.
WLC
info@wlclighting.co.uk
www.wlclighting.co.uk
01608 642530

SITE: S278 THORNHILL ROAD SWINDON

TITLE: PROPOSED ADOPTABLE LIGHTING LAYOUT

SCALE AT A1:	DATE:	DRAWN:	CHECKED:
1:250	06.10.22	PW	LD

PROJECT NO:	DRAWING NO:	REVISION:
WLC612-1	WLC612-1-1300-001	R1