Original Drawing Size A1

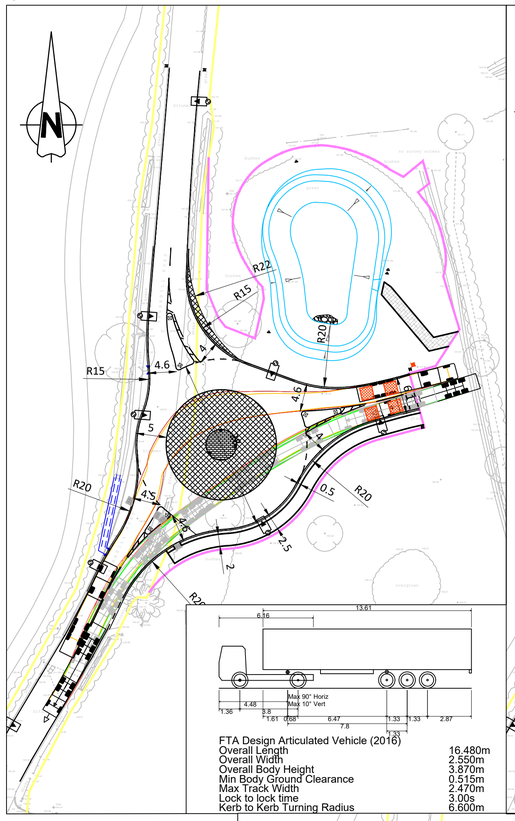

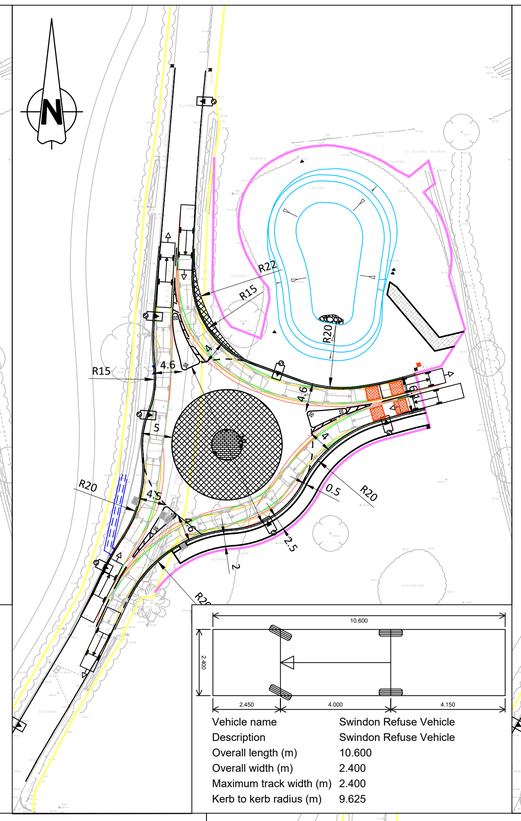

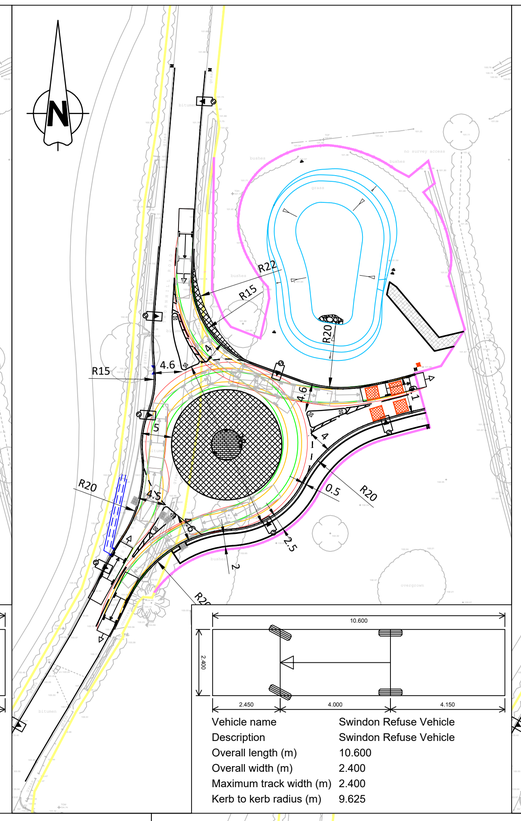

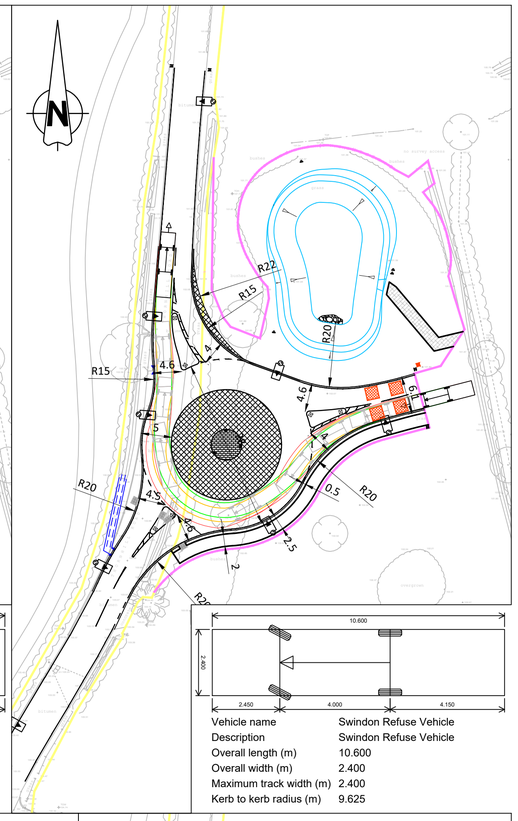

NOTES:

1. Do not scale from this drawing.
2. All dimensions are in metres unless otherwise stated.
3. Brookbanks consulting ltd has prepared this drawing for the sole use of the client. the drawing may not be relied upon by any other party without the express agreement of the client and Brookbanks consulting ltd. where any data supplied by the client or from other sources has been used, it has been assumed that the information is correct. no responsibility can be accepted by Brookbanks consulting ltd for inaccuracies in the data supplied by any other party. the drawing has been produced based on the assumption that all relevant information has been supplied by those bodies from whom it was requested.
4. No part of this drawing may be copied or duplicated without the express permission of Brookbanks consulting ltd.
5. All dimensions and all levels in metres unless noted otherwise.
6. Any discrepancies noted on site are to be reported to the engineer immediately.
7. Section 278 agreement highway works to carried out in strict accordance with Swindon Borough council's requirements.
8. All works within existing public highway, including any temporary works or traffic management measures, are subject to the approval of Swindon Borough Council. when works are required on the public highway, the contractor shall liaise with and obtain all statutory approvals from Swindon Borough Council, before commencing these works. these approvals include, but are not limited to, approval of traffic management measures, issue of works commencement notices, road opening notices, temporary traffic regulation orders etc.
9. All traffic management shall comply with the requirements as set out in chapter 8 of the traffic signs manual. warning signs may be erected outside the indicated boundaries. any obstructions to traffic or pedestrians shall be properly signed and protected with barriers, cones, signs, and lamps.
10. All planting in visibility splays to be agreed and approved by Swindon Borough Council and in all cases no planting to be above 600mm in height above the carriageway. also no obstructions of any kind within the visibility splay areas.
11. All tactile areas to be laid in accordance with detr "guidance on the use of tactile paving surfaces".
12. All traffic signs and road markings are to be in accordance with the "Traffic Signs Regulations and General Directions 2016'.
13. Any damage caused to existing footways, roads or other third party property to be made good to the county engineers requirements.
14. Temporary works associated with the construction of the works shall be the responsibility of the contractor.
15. The Highway Agreement's Clerk of works is to be present during construction and CBR testing for inspections.

TECHNICALLY APPROVED 21.12.2023

KEY:

- Existing Highway Boundary
- Proposed S278 Boundary
- Front Wheels Outline
- Rear Wheels Outline
- Vehicle Envelope
- Potential future pedestrian crossing facility
- Permanent Loop Traffic Counter
- Monitoring Cabinet
- LS Proposed Lighting Column
- Proposed Traffic Sign
- Extension to existing ditch to allow for drainage outfall

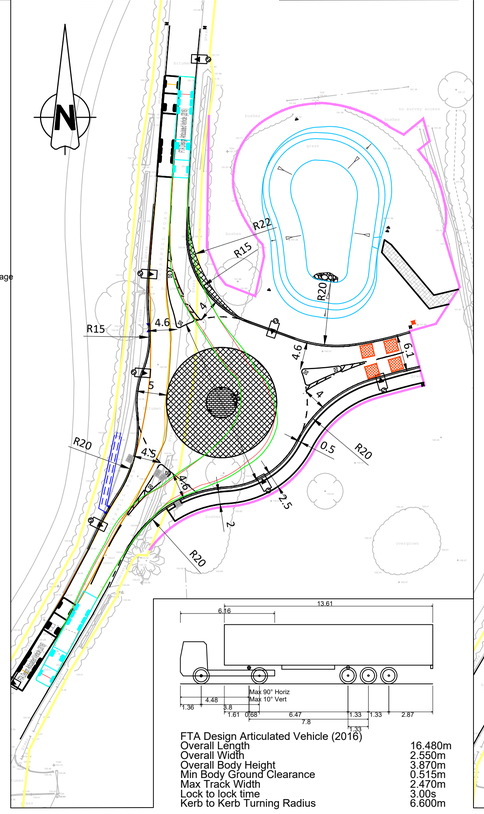

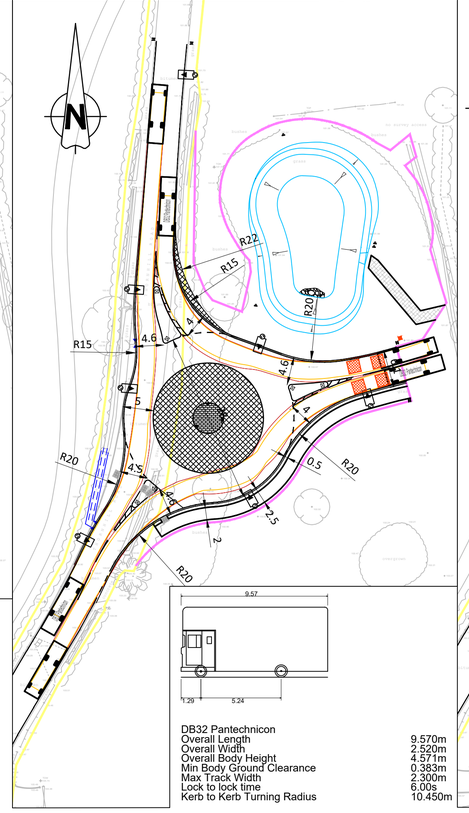

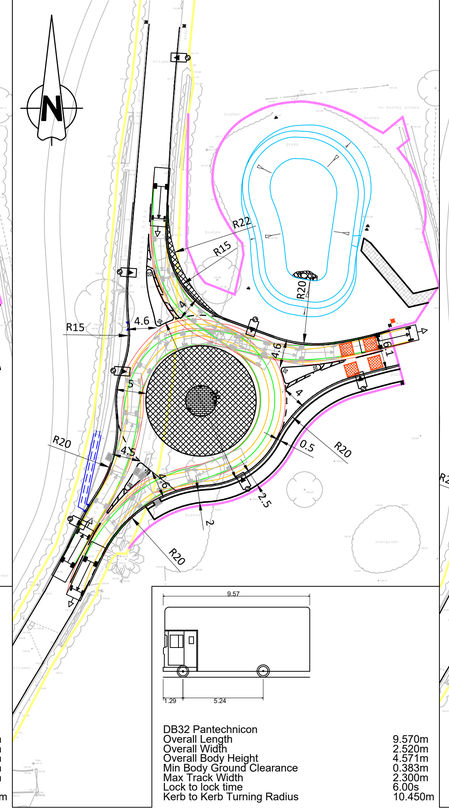

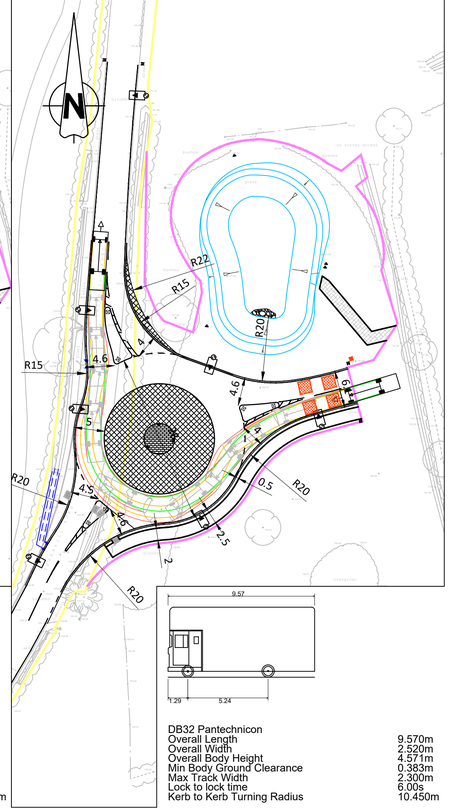

UNTIL TECHNICAL APPROVAL HAS BEEN OBTAINED FROM THE RELEVANT LOCAL AUTHORITIES, IT SHOULD BE UNDERSTOOD THAT ALL DRAWINGS ARE ISSUED AS PRELIMINARY AND NOT FOR CONSTRUCTION. SHOULD THE CONTRACTOR COMMENCE SITE WORK PRIOR TO APPROVAL BEING GIVEN, IT IS ENTIRELY AT HIS OWN RISK.

P	Updated with latest lighting layout	CDW	CM	SM	13.11.23
N	Articulated Vehicle added north to south following SBC TA4 comment 24/10/23	SB	CM	SM	03.11.23
M	Updated following SBC TA3.1 comment 18/10/23	BM	CM	SM	20.10.23
L	Updated following SBC TA3 comment 12/10	CM	CM	SM	18.10.23
K	Updated following SBC TA2 comment 26/09	CDW	CM	SM	06.10.23
J	Pedestrian crossing added to southern side of roundabout	CM	CM	SM	23.08.23
H	Updated following SBC TA1 comment from 21/04/23	CDW	CM	SM	28.04.23
G	New note added, red line boundary removed and geometry lines turned to black	CDW	CM	SM	05.01.23
F	Updated following RSA comment	CM	SM	SM	20.09.22
E	Updated for SBC submission	CM	SM	SM	01.08.22
D	Updated to fix drawing issues	CM	SM	RM	19.07.22
C	Updated to comments received from SBC June 2022	CDW	SM	RM	01.07.22
B	Footpath North of Roundabout Removed	CM	SM	RM	20.05.22
A	Updated S278 Boundary & Drainage Design	CDW	SM	RM	24.02.22
-	First Issue	MP	SM	-	14.02.22

BROOKBANKS

6150 Knights Court, Solihull Parkway, Birmingham, B37 7WY
T +44 (0)203 958 5400 E mail@brookbanks.com
W brookbanks.com

Swindon EDAG

Swindon EDA

Thornhill Road Vehicle Tracking SBC TA S1055

Status		Status Date
Approval		FEB' 2022
Drawn	**Checked**	**Date**
MP	SM	14.02.22
Scale	**Number**	**Rev**
1:500	1335/HL/56/103	P

0 10 20 30 40 50
METRES

© Brookbanks Consulting Limited 2023

P:\1335\CAD\BCL\Current Drawings\S278-Thornhill Road\1335-HL-056-103P Rdb Vehicle Tracking.dwg