Original Drawing Size A1

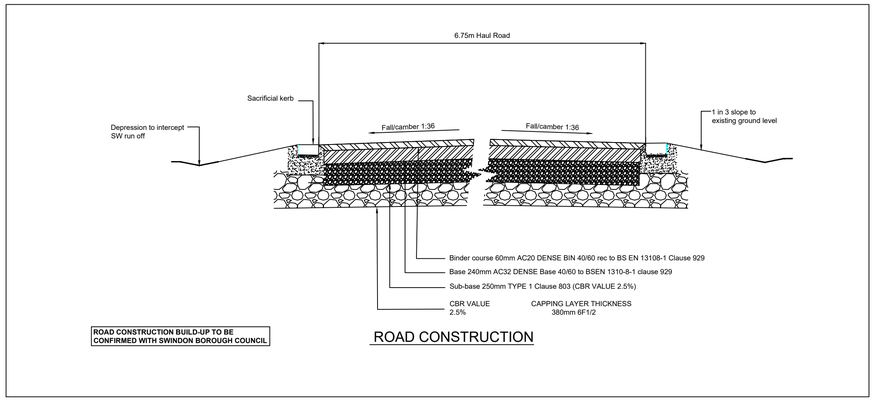

TYPICAL SECTION OF HAUL ROAD
NTS

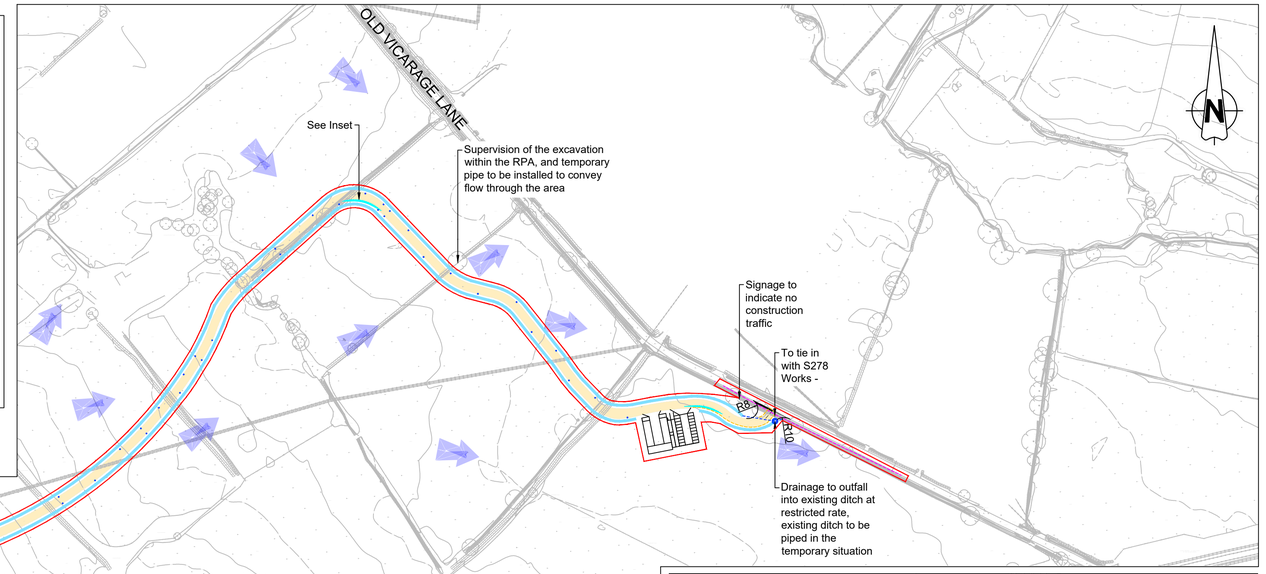

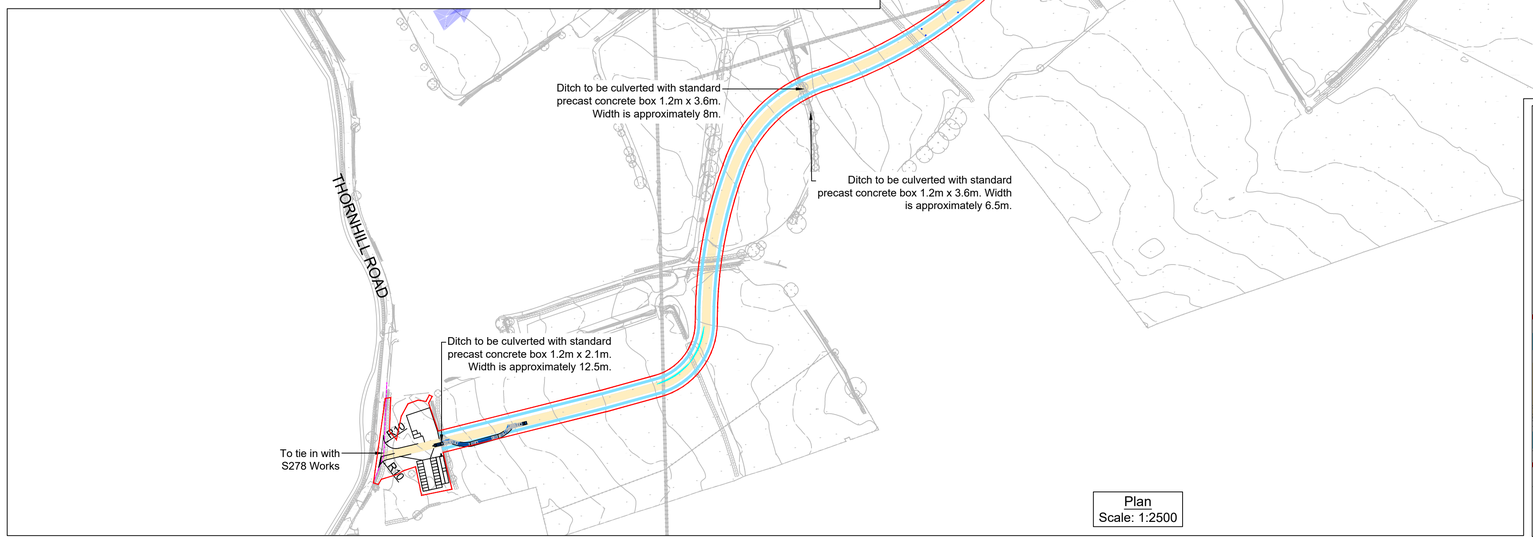

Plan
Scale: 1:2500

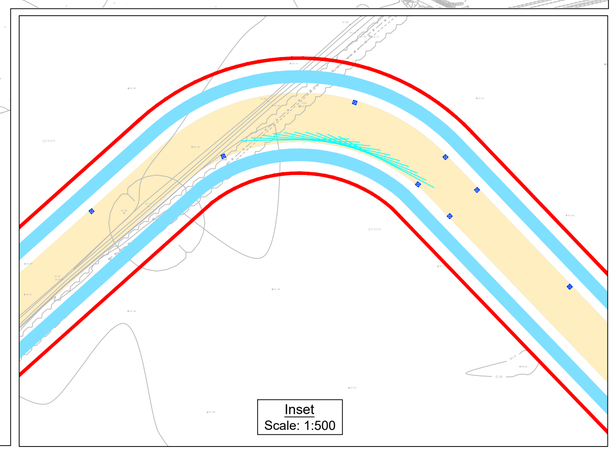

Inset
Scale: 1:500

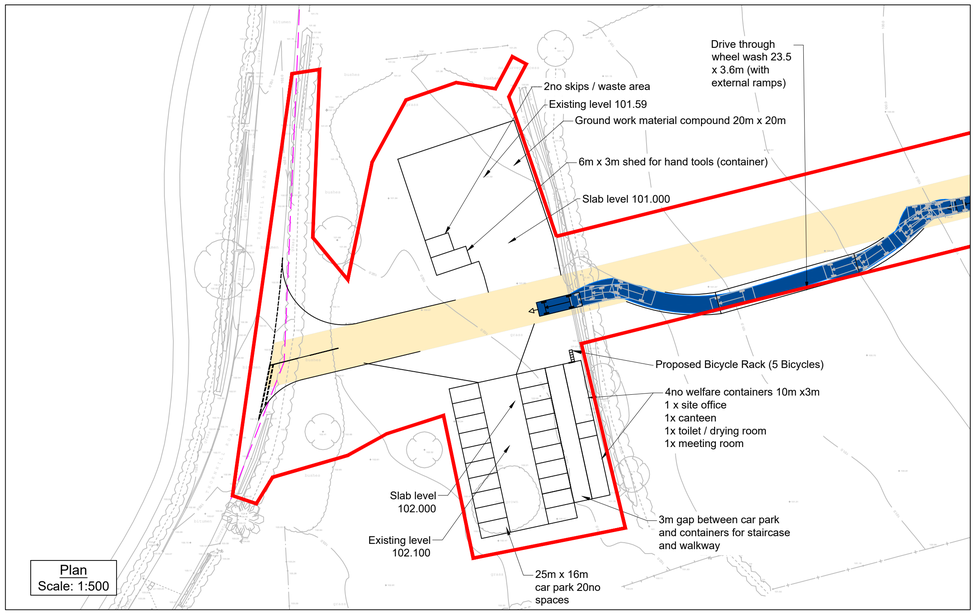

Plan
Scale: 1:500

Thornhill Road Temporary Access and Visibility right turn in and left turn out only

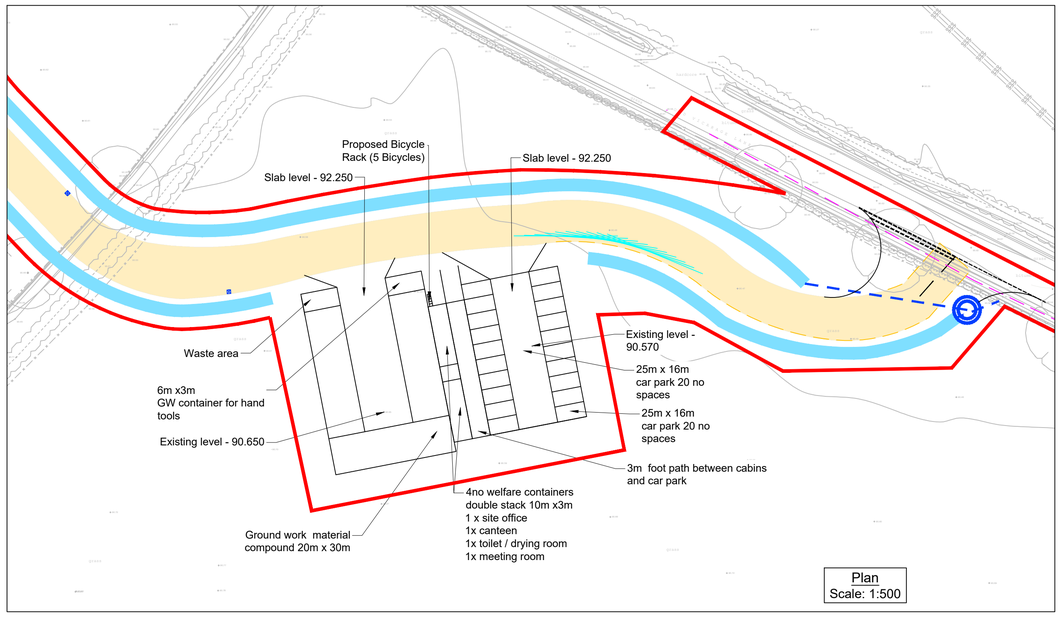

Plan
Scale: 1:500

Vicarage Lane Temporary Access and Visibility left turn in and right turn out only

UNTIL TECHNICAL APPROVAL HAS BEEN OBTAINED FROM THE RELEVANT LOCAL AUTHORITIES, IT SHOULD BE UNDERSTOOD THAT ALL DRAWINGS ARE ISSUED AS PRELIMINARY AND NOT FOR CONSTRUCTION. SHOULD THE CONTRACTOR COMMENCE SITE WORK PRIOR TO APPROVAL BEING GIVEN, IT IS ENTIRELY AT HIS OWN RISK.

© Brookbanks Consulting Limited 2022
P:\1335\CAD\BCL\Current Drawings\Haul Route\1335-HR-101Q Prop Dig Haul Route Details.dwg

Construction Design and Management (CDM)
Key Residual Risks

Contractors entering the site should gain permission from the relevant land owners and/or principle contractor working on site at the time of entry. Contractors shall be responsible for carrying out their own risk assessments and for liaising with the relevant services companies and authorities. Listed below are Site Specific key risks associated with the project.

1) Overhead and underground services
2) Street Lighting Cables
3) Working adjacent to water courses and flood plain
4) Soft ground conditions
5) Working adjacent to live highways
6) Unchartered services

NOTES:

1. Do not scale from this drawing.
2. All dimensions are in metres unless otherwise stated.
3. Brookbanks Consulting Ltd has prepared this drawing for the sole use of the client. The drawing may not be relied upon by any other party without the express agreement of the client and Brookbanks Consulting Ltd. Where any data supplied by the client or from other sources has been used, it has been assumed that the information is correct. No responsibility can be accepted by Brookbanks Consulting Ltd for inaccuracies in the data supplied by any other party. The drawing has been produced based on the assumption that all relevant information has been supplied by those bodies from whom it was requested.
4. No part of this drawing may be copied or duplicated without the express permission of Brookbanks Consulting Ltd.
5. Drawing to be read in conjunction with FPCR site clearance requirements.
6. Temporary Signage to be provided in accordance with Trafffic Signs and General Directions 2016 and Traffic Signs Manual Chapter 8.
7. Temporary drainage to be provided to intercept surface water run off. Outfalls to existing ditch courses.
8. Forward visibility has been checked using MfS 15mph guidance and satisfies all requirements.
9. Haul route construction details are to be confirmed by Swindon Borough Council.
10. Construction details can only be approved by SBC via the S38 agreement. Construction details shown are considered sacrificial and are at the developer's own risk until Technical Approval is given for the S38 agreement.

KEY:

- Haul Route Red Line Boundary
- Proposed 6.75m wide Haul Road Corridor
- Junction Visibility
- Gully
- Flow Control Chamber
- Flow Direction
- Swale
- 17m Forward Visibility Envelope (15mph)

Q	Typical section updated	CM	CM	SM	11.01.23
P	Gully positions and RLB amended	CDW	CM	SM	06.01.23
N	Gully's added and road widened to allow buses to pass	CM	SM	SM	13.12.22
M	Temporary pipe installation note added.	CM	SM	SM	25.11.22
L	Culvert details added to plan	CM	SM	SM	14.11.22
K	Updated following TW comment	MA	SM	SM	18.10.22
J	Note added to OVL inset as per HHTW comment	CM	SM	SM	20.09.22
I	Updated to include wheelwash and compound levels	CM	SM	SM	01.09.22
H	Updated following planning comments	CM	CM	DS	11.08.22
G	Added an Indicative Compound Location in the centre	MA	SM	SM	23.06.22
F	Minor amendment to cross section	CM	SM	SM	06.06.22
E	Updated following SBC comments	CM	SM	SM	27.05.22
D	Swales, gullies and flow control/outfall added	CM	SM	SM	25.05.22
C	Additional detail shown for bellmouths	MA	SM	SM	01.04.22
B	Alignment tweaked to avoid T42 RPA zone	CDW	SM	SM	24.03.22
A	Updated for RMA Submission	CDW	SM	SM	17.03.22
-	First Issue	CDW	SM	SM	07.03.22

BROOKBANKS
6150 Knights Court, Solihull Parkway, Birmingham, B37 7WY
T +44 (0)203 958 5400 E mail@brookbanks.com
W brookbanks.com

Swindon EDA Consortium

Proposed Development
Swindon EV Phase 1

Proposed Haul Route Details

Status		Status Date
Approval		MAR' 2022
Drawn	**Checked**	**Date**
CDW	SM	07.03.2022
Scale	**Number**	**Rev**
AS SHOWN	1335-HR-101	Q

0 50 100 150 200 250
METRES