Original Drawing Size A1

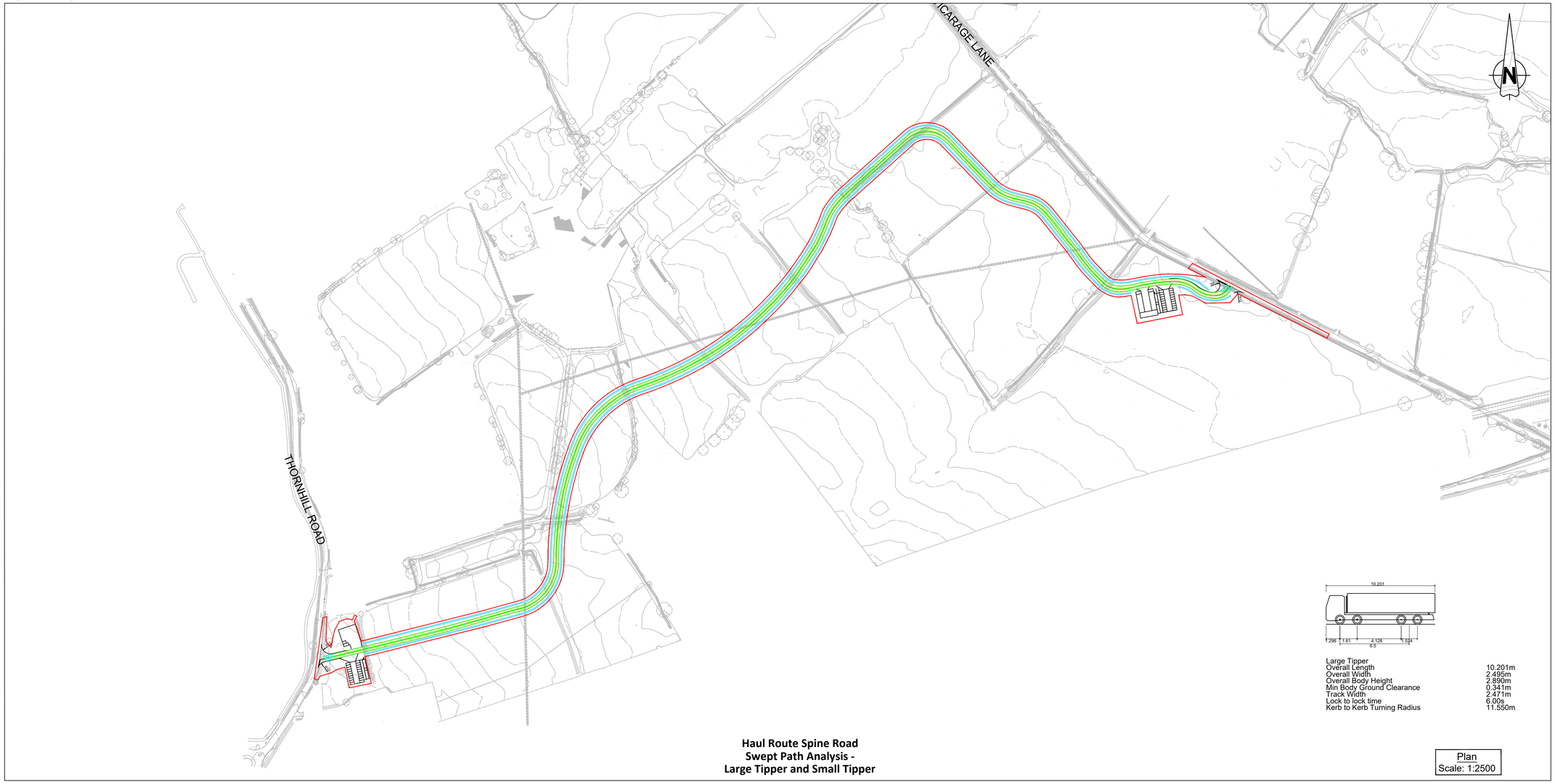

Haul Route Spine Road
Swept Path Analysis -
Large Tipper and Small Tipper

Plan
Scale: 1:2500

Large Tipper	
Overall Length	10.201m
Overall Width	2.495m
Overall Body Height	2.890m
Min Body Ground Clearance	0.341m
Track Width	2.471m
Lock to lock time	6.00s
Kerb to Kerb Turning Radius	11.550m

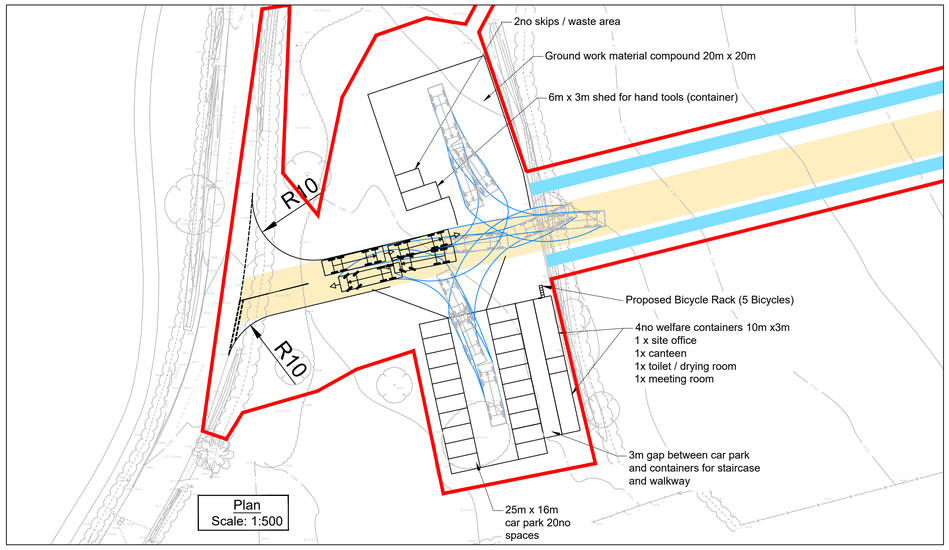

Plan
Scale: 1:500

Thornhill Road Temporary Access
Swept Path Analysis - Large Tipper

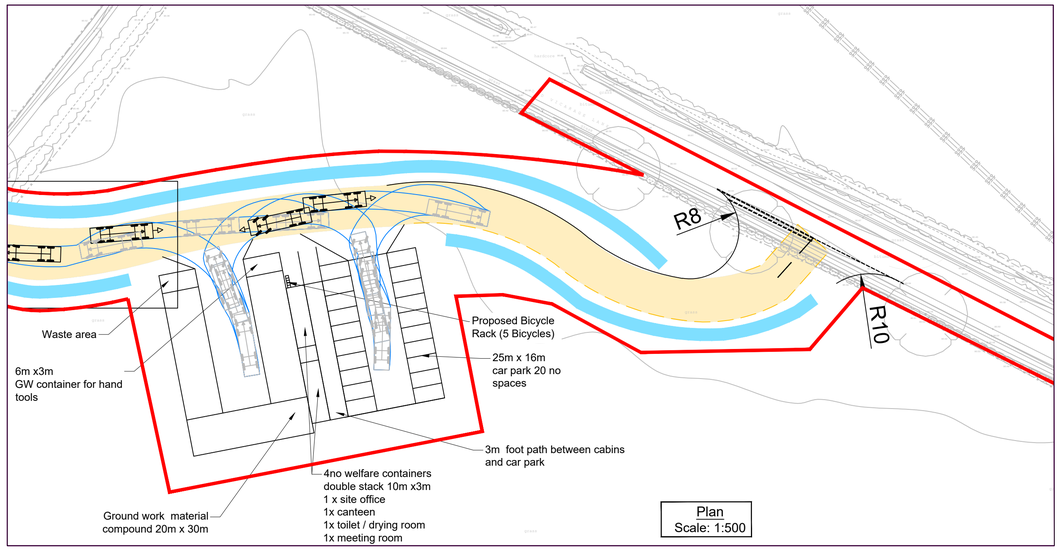

Plan
Scale: 1:500

Vicarage Lane Swept Path
Analysis - Large Tipper

Construction Design and Management (CDM)
Key Residual Risks

Contractors entering the site should gain permission from the relevant land owners and/or principle contractor working on site at the time of entry. Contractors shall be responsible for carrying out their own risk assessments and for liaising with the relevant services companies and authorities. Listed below are Site Specific key risks associated with the project.

1) Overhead and underground services
2) Street Lighting Cables
3) Working adjacent to water courses and flood plain
4) Soft ground conditions
5) Working adjacent to live highways
6) Unchartered services

NOTES:

1. Do not scale from this drawing.
2. All dimensions are in metres unless otherwise stated.
3. Brookbanks Consulting Ltd has prepared this drawing for the sole use of the client. The drawing may not be relied upon by any other party without the express agreement of the client and Brookbanks Consulting Ltd. Where any data supplied by the client or from other sources has been used, it has been assumed that the information is correct. No responsibility can be accepted by Brookbanks Consulting Ltd for inaccuracies in the data supplied by any other party. The drawing has been produced based on the assumption that all relevant information has been supplied by those bodies from whom it was requested.
4. No part of this drawing may be copied or duplicated without the express permission of Brookbanks Consulting Ltd.
5. Drawing to be read in conjunction with FPCR site clearance requirements.
6. Temporary Signage to be provided in accordance with Trafffic Signs and General Directions 2016 and Traffic Signs Manual Chapter 8.
7. Temporary drainage to be provided to intercept surface water run off. Outfalls to existing ditch courses.
8. Forward visibility has been checked using MfS 15mph guidance and satisfies all requirements.
9. Haul route construction details are to be confirmed by Swindon Borough Council.
10. Construction details can only be approved by SBC via the S38 agreement. Construction details shown are considered sacrificial and are at the developer's own risk until Technical Approval is given for the S38 agreement.

KEY:

Haul Route Red Line Boundary

Proposed 6.75m wide Haul Road Corridor

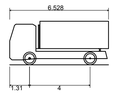

Small Tipper	
Overall Length	6.528m
Overall Width	2.500m
Overall Body Height	2.877m
Min Body Ground Clearance	0.327m
Track Width	2.393m
Lock to lock time	6.00s
Kerb to Kerb Turning Radius	7.850m

E	RLB updated	CM	SM	SM	09.01.23
D	Haul route layout widened at bends	CM	SM	SM	14.12.22
C	Updated according TW comment	MA	SM	SM	18.10.22
B	Central compound location amended	CM	SM	SM	20.09.22
A	Updated following SBC comment	CM	SM	SM	23.08.22
-	First Issue	CM	DS	DS	11.08.22

BROOKBANKS

6150 Knights Court, Solihull Parkway, Birmingham, B37 7WY
T +44 (0)203 958 5400 E mail@brookbanks.com
W brookbanks.com

Swindon EDA Consortium

Proposed Development
Swindon EV Phase 1

Haul Route
Swept Path Analysis
Sheet 1 of 2

Status		Status Date
Approval		AUG' 2022
Drawn	**Checked**	**Date**
CM	DS	11.08.2022
Scale	**Number**	**Rev**
AS SHOWN	1335-HR-103	E

0 50 100 150 200 250
METRES

UNTIL TECHNICAL APPROVAL HAS BEEN OBTAINED FROM THE RELEVANT LOCAL AUTHORITIES, IT SHOULD BE UNDERSTOOD THAT ALL DRAWINGS ARE ISSUED AS PRELIMINARY AND NOT FOR CONSTRUCTION. SHOULD THE CONTRACTOR COMMENCE SITE WORK PRIOR TO APPROVAL BEING GIVEN, IT IS ENTIRELY AT HIS OWN RISK.

© Brookbanks Consulting Limited 2021

P:\1335\CAD\BCL\Current Drawings\Haul Route\1335-HR-103E-104D Haul Route Tracking.dwg