Original Drawing Size A1

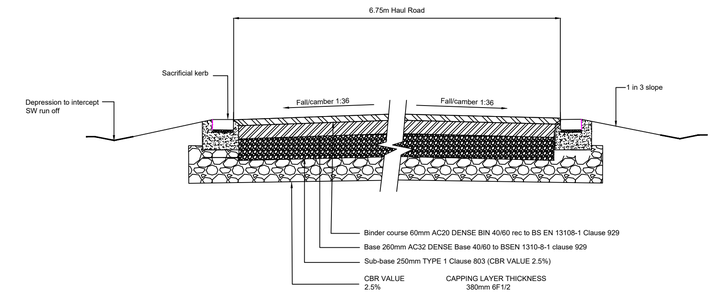

TYPICAL SECTION OF HAUL ROAD
NTS

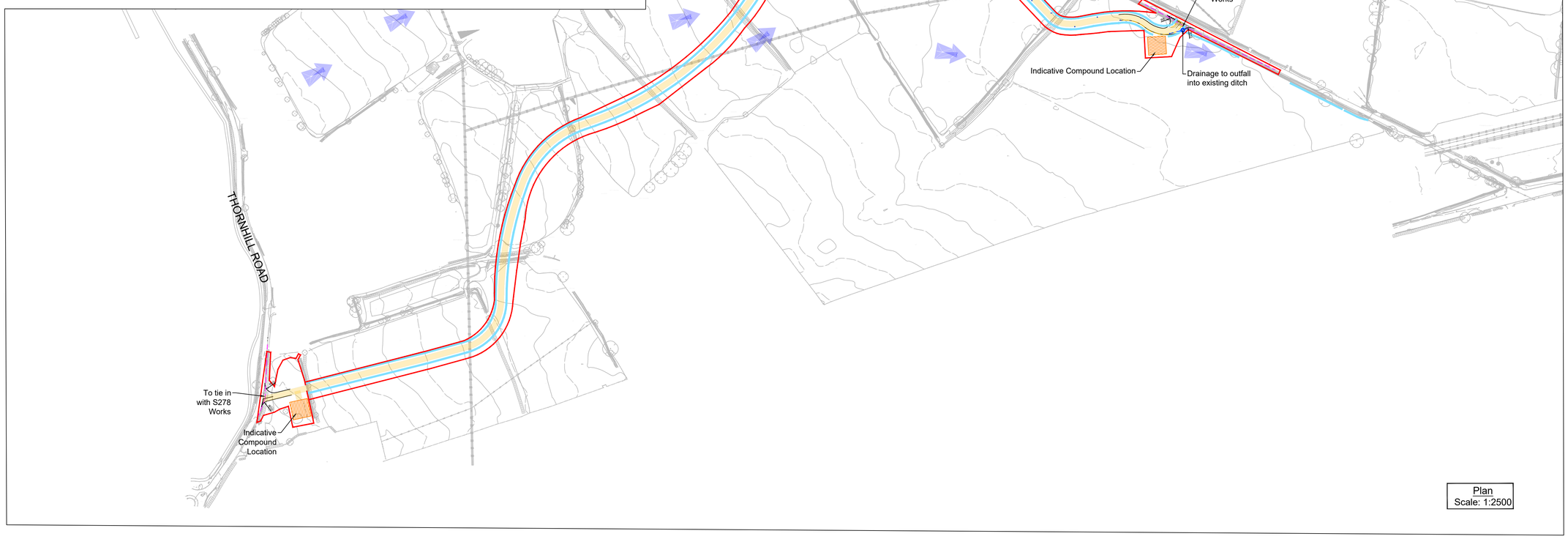

Construction Design and Management (CDM)
Key Residual Risks

Contractors entering the site should gain permission from the relevant land owners and/or principle contractor working on site at the time of entry. Contractors shall be responsible for carrying out their own risk assessments and for liaising with the relevant services companies and authorities. Listed below are Site Specific key risks associated with the project.

1) Overhead and underground services
2) Street Lighting Cables
3) Working adjacent to water courses and flood plain
4) Soft ground conditions
5) Working adjacent to live highways
6) Unchartered services

NOTES:

1. Do not scale from this drawing.
2. All dimensions are in metres unless otherwise stated.
3. Brookbanks Consulting Ltd has prepared this drawing for the sole use of the client. The drawing may not be relied upon by any other party without the express agreement of the client and Brookbanks Consulting Ltd. Where any data supplied by the client or from other sources has been used, it has been assumed that the information is correct. No responsibility can be accepted by Brookbanks Consulting Ltd for inaccuracies in the data supplied by any other party. The drawing has been produced based on the assumption that all relevant information has been supplied by those bodies from whom it was requested.
4. No part of this drawing may be copied or duplicated without the express permission of Brookbanks Consulting Ltd.
5. Drawing to be read in conjunction with FPCR site clearance requirements.
6. Temporary Signage to be provided in accordance with Trafffic Signs and General Directions 2016 and Traffic Signs Manual Chapter 8.
7. Temporary drainage to be provided to intercept surface water run off. Outfalls to existing ditch courses.
8. Forward visibility has been checked using MfS 15mph guidance and satisfies all requirements.
9. Haul route construction details are to be confirmed by Swindon Borough Council.

KEY:

- Haul Route Red Line Boundary
- Proposed 6.75m wide Haul Road Corridor
- Junction Visibility 2.4m x 215m based on 60mph existing speed limit
- Indicative Gully Location
- Flow Control Chamber
- Flow Direction
- Swale

F	Minor amendment to cross section	CM	SM	SM	06.06.22
E	Updated following SBC comments	CM	SM	SM	27.05.22
D	Swales, gullies and flow control/outfall added	CM	SM	SM	25.05.22
C	Additional detail shown for bellmouths	MA	SM	SM	01.04.22
B	Alignment tweaked to avoid T42 RPA zone	CDW	SM	SM	24.03.22
A	Updated for RMA Submission	CDW	SM	SM	17.03.22
-	First Issue	CDW	SM	SM	07.03.22

BROOKBANKS

6150 Knights Court, Solihull Parkway, Birmingham, B37 7WY
T +44 (0)203 958 5400 E mail@brookbanks.com
W brookbanks.com

Swindon EDA Consortium

Proposed Development
Swindon EV Phase 1

Proposed Haul Route Details

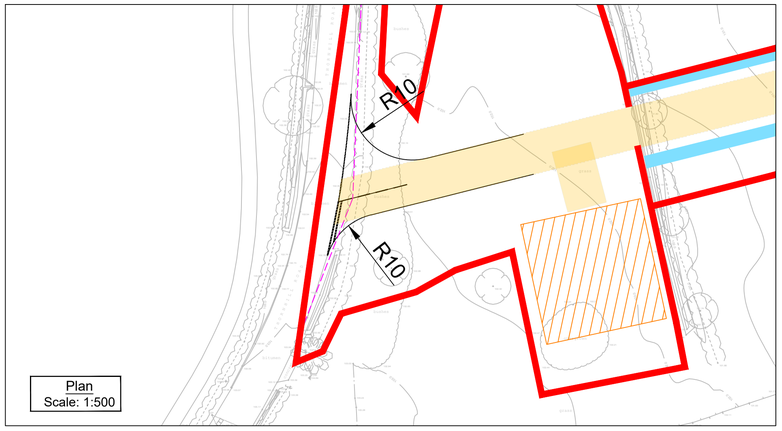

Thornhill Road Temporary Access and Visibility
right turn in and left turn out only

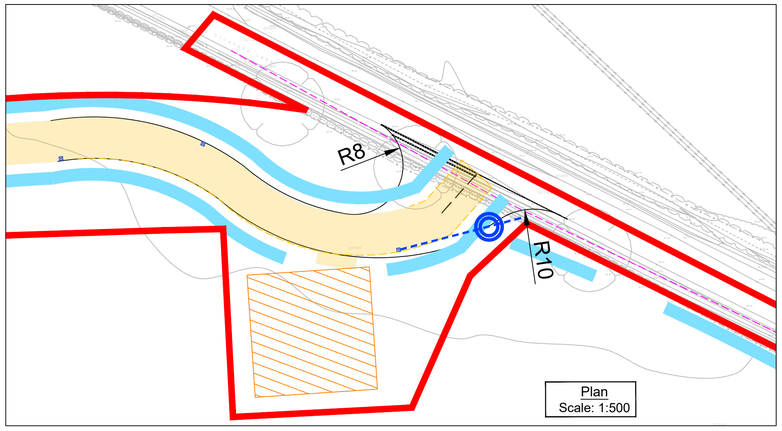

Vicarage Lane Temporary Access and Visibility
right turn in and left turn out only

UNTIL TECHNICAL APPROVAL HAS BEEN OBTAINED FROM THE RELEVANT LOCAL AUTHORITIES, IT SHOULD BE UNDERSTOOD THAT ALL DRAWINGS ARE ISSUED AS PRELIMINARY AND NOT FOR CONSTRUCTION. SHOULD THE CONTRACTOR COMMENCE SITE WORK PRIOR TO APPROVAL BEING GIVEN, IT IS ENTIRELY AT HIS OWN RISK.

Status		Status Date
Approval		MAY 2022
Drawn	Checked	Date
CM	SM	27.05.22
Scale	Number	Rev
AS SHOWN	1335-HR-101	F

0 10 20 30 40 50
METRES

© Brookbanks Consulting Limited 2021

P:\1335\CAD\BCL\Current Drawings\Haul Route\1335-HR-101 F Prop Dig Haul Route Details.dwg