Original Drawing Size A1

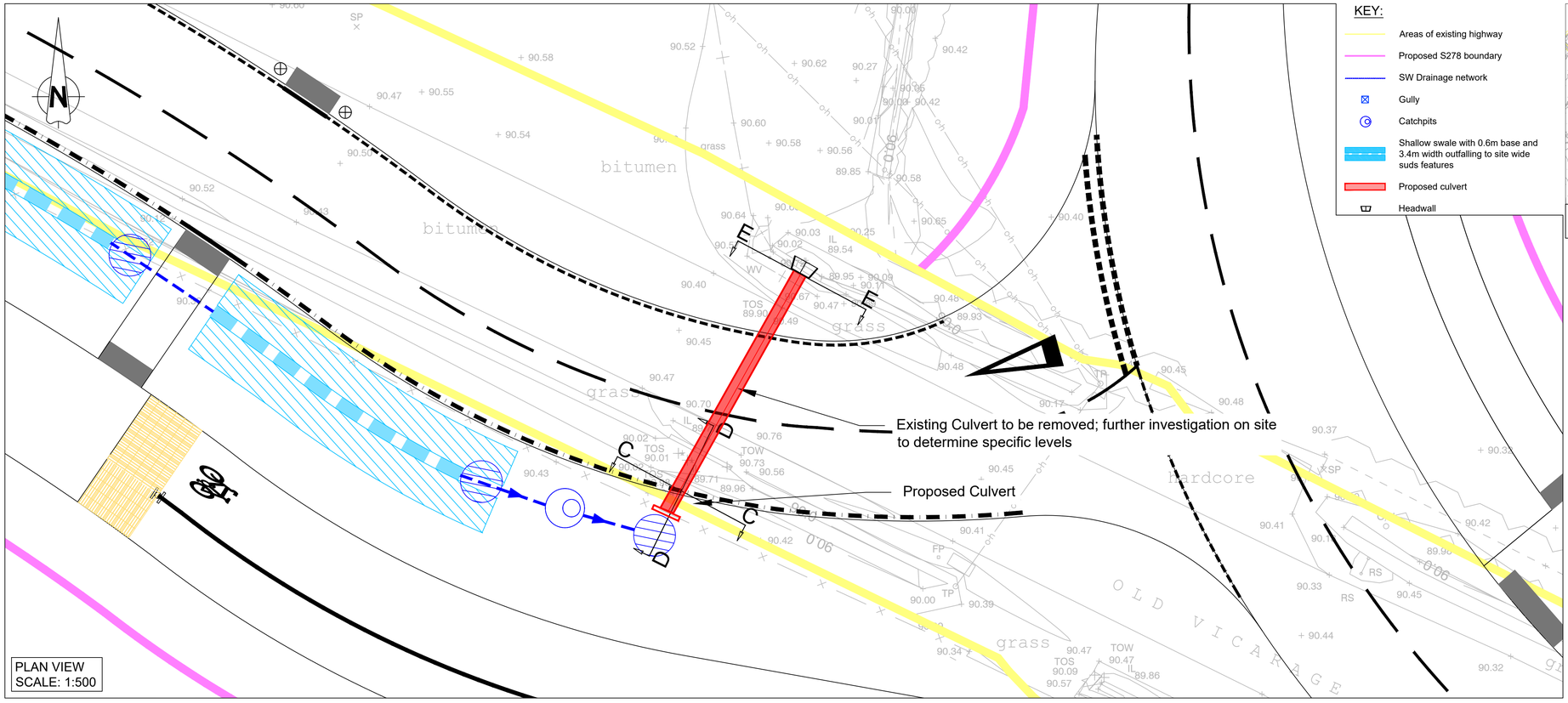

KEY:

- Areas of existing highway
- Proposed S278 boundary
- SW Drainage network
- Gully
- Catchpits
- Shallow swale with 0.6m base and 3.4m width outfalling to site wide suds features
- Proposed culvert
- Headwall

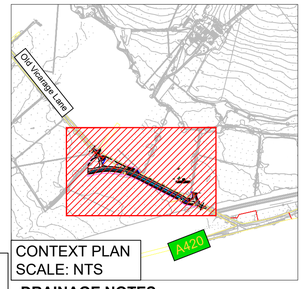

CONTEXT PLAN
SCALE: NTS

DRAINAGE NOTES:

1. Highway carrier pipes shall be 225mm DIA pipes min.
2. All highway drainage carrier pipes shall be VC or concrete
3. All pipes shall be laid at self-cleansing gradients and to avoid silting, where possible.
4. Double/twin rocker pipes shall be provided at all catchpits and chambers to avoid separation/failure due to seasonal ground movement Please provide gully catchment plan for review
5. Gully spacing to be in accordance with CD 526
6. All gully covers shall be captive hinged and set to close against oncoming vehicles. The gully frame is to be 150mm D400 grade and a polyester resin mortar bedding shall be used below the frame.
7. The use of Shim Pac, or similar, raising sections are acceptable. However, the use of such materials shall be provided between courses of engineering brickwork and not immediately below the gully frame in accordance with the manufactures instructions
8. All gully frames shall be set 15mm (+/- 5mm) be below finishes road levels
9. Catchpits within the carriageway must be positioned such that covers are not located within the wheel tracks. The ideal positions are ¼ of the carriageway width from either kerb line. However, consideration must be made for motorcyclists so as to prevent the catchpit cover becoming a slip hazard, particularly in wet conditions.All highway gullies shall be constructed in accordance with TRfD construction details and supporting notes.
10. Refer to SBC/STD/500/01 & 02All highway gully connections shall be constructed in accordance with TRfD construction details and supporting notes.
11. Refer to SBC/STD/500/03All drainage bedding and trench construction works shall be in accordance with TRfD construction details and supporting notes
12. Refer to SBC/STD/500/05All trench reinstatements shall be stepped (150-300mm) to avoid vertical joints being introduced into the pavement construction
13. For the Flex MSE Headwall detials, please refer to Brookbanks
14. Please ensure the drainage layout plan includes proposed contours for the roads and footways to assist the audit process.

Construction Design and Management (CDM)
Key Residual Risks

Contractors entering the site should gain permission from the relevant land owners and/or principle contractor working on site at the time of entry. Contractors shall be responsible for carrying out their own risk assessments and for liaising with the relevant services companies and authorities. Listed below are Site Specific key risks associated with the project.

1) Overhead and underground services
2) Street Lighting Cables
3) Working adjacent to water courses and flood plain
4) Soft ground conditions
5) Working adjacent to live highways
6) Unchartered services

NOTES:

1. Do not scale from this drawing.
2. All dimensions are in metres unless otherwise stated.
3. Brookbanks consulting ltd has prepared this drawing for the sole use of the client. the drawing may not be relied upon by any other party without the express agreement of the client and Brookbanks consulting ltd. where any data supplied by the client or from other sources has been used, it has been assumed that the information is correct. no responsibility can be accepted by Brookbanks consulting ltd for inaccuracies in the data supplied by any other party. the drawing has been produced based on the assumption that all relevant information has been supplied by those bodies from whom it was requested.
4. No part of this drawing may be copied or duplicated without the express permission of Brookbanks consulting ltd.
5. All dimensions and all levels in metres unless noted otherwise.
6. Any discrepancies noted on site are to be reported to the engineer immediately.
7. Section 278 agreement highway works to carried out in strict accordance with Swindon Borough council's requirements.
8. All works within existing public highway, including any temporary works or traffic management measures, are subject to the approval of Swindon Borough Council. when works are required on the public highway, the contractor shall liaise with and obtain all statutory approvals from Swindon Borough Council, before commencing these works. these approvals include, but are not limited to, approval of traffic management measures, issue of works commencement notices, road opening notices, temporary traffic regulation orders etc.
9. All traffic management shall comply with the requirements as set out in chapter 8 of the traffic signs manual. warning signs may be erected outside the indicated boundaries. any obstructions to traffic or pedestrians shall be properly signed and protected with barriers, cones, signs, and lamps.
10. All planting in visibility splays to be agreed and approved by Swindon Borough Council and in all cases no planting to be above 600mm in height above the carriageway. also no obstructions of any kind within the visibility splay areas.
11. All tactile areas to be laid in accordance with detr "guidance on the use of tactile paving surfaces".
12. All traffic signs and road markings are to be in accordance with the 'Traffic Signs Regulations and General Directions 2016'.
13. Any damage caused to existing footways, roads or other third party property to be made good to the county engineers requirements.
14. Temporary works associated with the construction of the works shall be the responsibility of the contractor.
15. Existing ditch is to be cleared and regraded, please refer to drawing "1335-S278-OVL-600-101F - Earthworks Layout" for more information.
16. Highway Agreement's Clerk of Works is to be present during construction and CBR testing for inspection

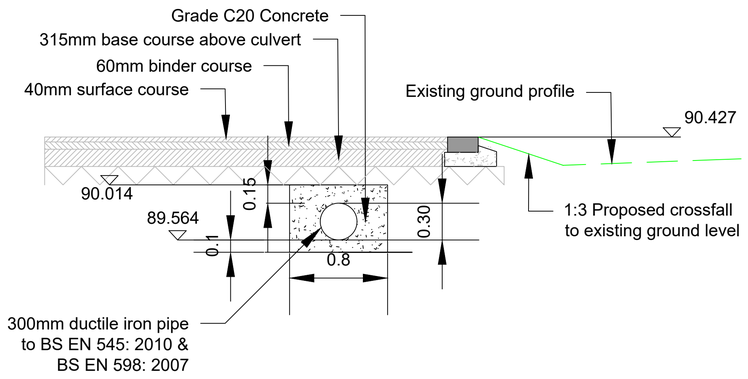

C-C Pavement detail over Culvert section
Scale 1:25

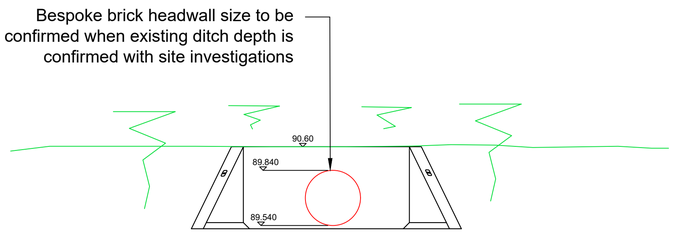

ELEVATION E - E
ON CULVERT CROSSING HEADWALL

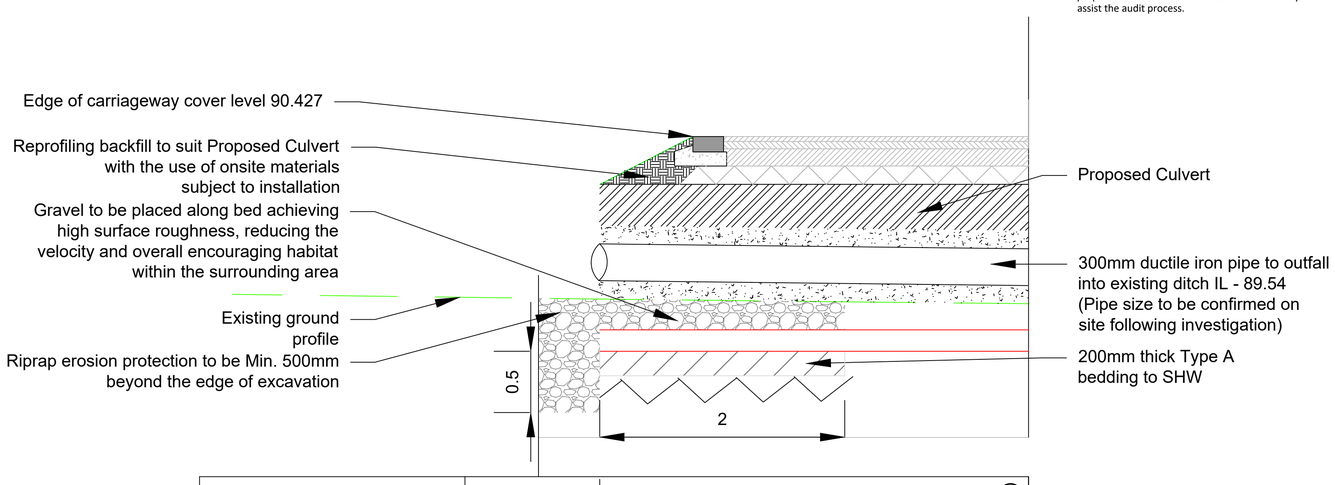

CHAINAGE	0.000	10.740 (Ditch Outfall)
INVERT LEVEL	89.566	89.540

D-D Proposed Culvert Section
Scale 1:25

UNTIL TECHNICAL APPROVAL HAS BEEN OBTAINED FROM THE RELEVANT LOCAL AUTHORITIES, IT SHOULD BE UNDERSTOOD THAT ALL DRAWINGS ARE ISSUED AS PRELIMINARY AND NOT FOR CONSTRUCTION. SHOULD THE CONTRACTOR COMMENCE SITE WORK PRIOR TO APPROVAL BEING GIVEN, IT IS ENTIRELY AT THEIR OWN RISK.

F	Updated following SBC TA4 comments	CM	CM	SM 02.12.24
E	Updated following SBC TA3 comments	CDW	CM	SM 08.11.24
D	Notes updated with references removed	CM	CM	SM 22.10.24
C	Updated following OWC comments	CM	CM	SM 15.10.24
B	Updated in accordance to TA2 comments	JHI	CM	SM 12.09.24
A	Updated in accordance to TA comments	JHI	CM	SM 30.07.24
-	First Issue	JHI	CM	SM 24.05.24

BROOKBANKS
6150 Knights Court, Solihull Parkway, Birmingham, B37 7WY
T +44 (0)121 329 4330 E mail@brookbanks.com
W brookbanks.com

Swindon EDA Consortium

Proposed Development
Swindon EV Phase 1

S.278 Works Spine Road -
Old Vicarage Lane
Proposed Culvert Sheet 1

Status		Status Date
Approval		May 2024
Drawn	Checked	Date
JHI	SM	24.05.2024
Scale	Number	Rev
1:500	1335-S278-OVL-500-108	F

0 10 20 30 40 50
METRES

© Brookbanks Consulting Limited 2024

P:\1335\CAD\BCL\Current Drawings\S278-Old Vicarage Lane\1335-S278-OVL-500-107D,108F SW Drainage Culverts.dwg