Original Drawing Size A1

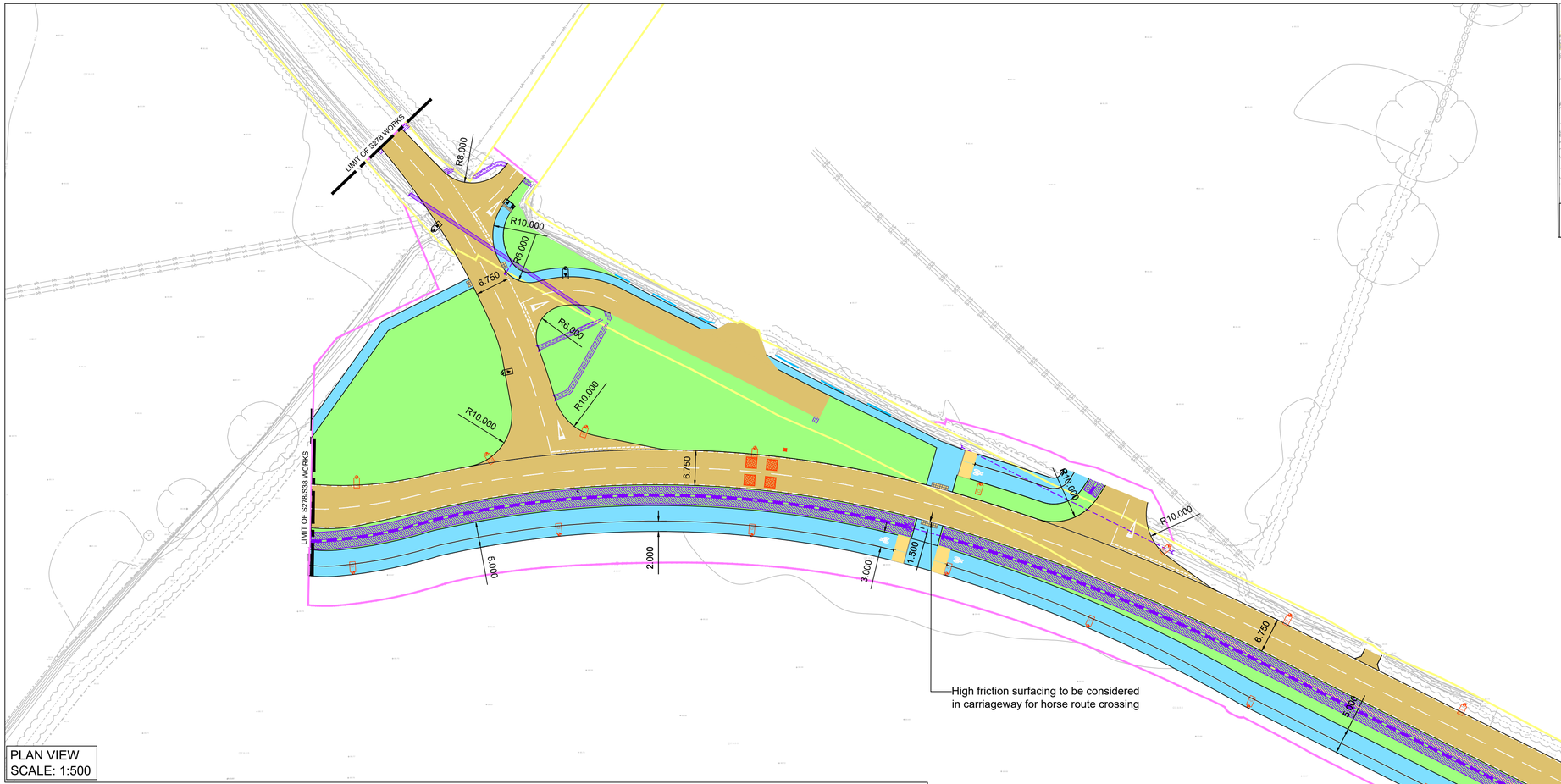

PLAN VIEW
SCALE: 1:500

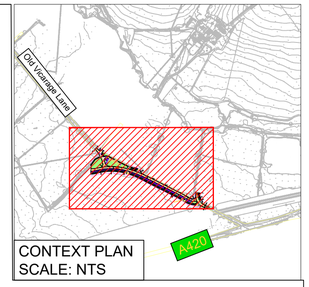

CONTEXT PLAN
SCALE: NTS

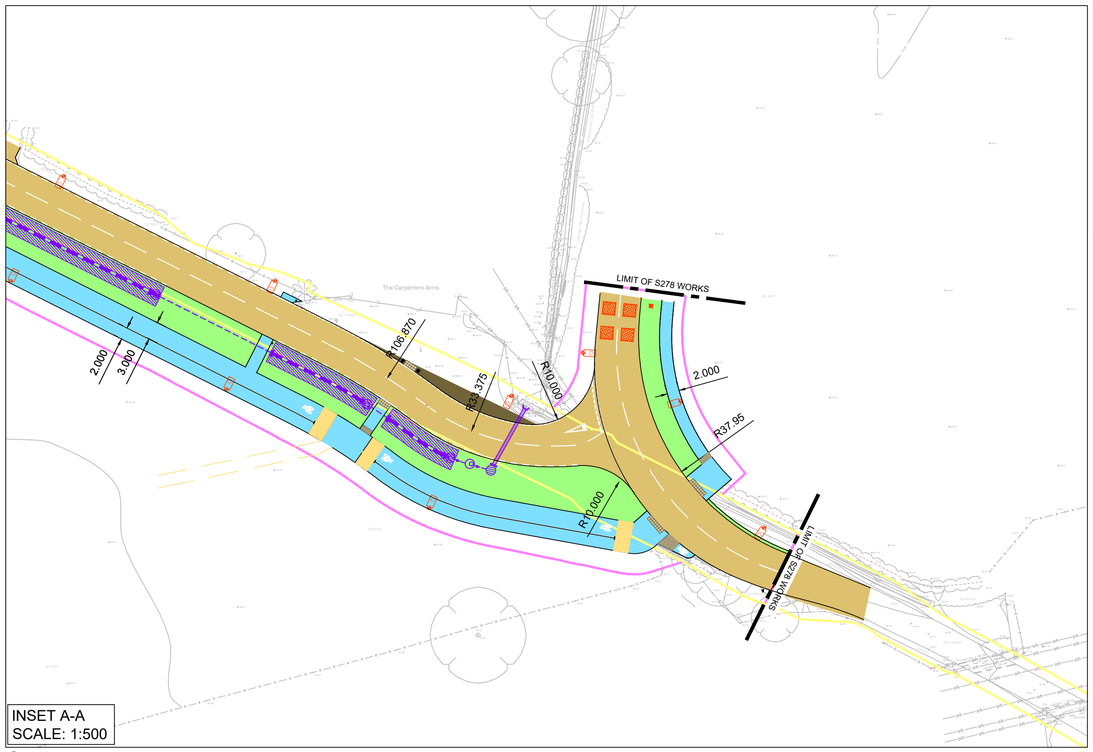

INSET A-A
SCALE: 1:500

KEY:

- Areas of existing highway
- Proposed S278 Boundary
- Carriageway
- Footways/ footpaths and cycle tracks
- Highway verges/ service margins and soft landscaping
- Proposed Vehicle Crossover
- Morpeth Bollards
- Proposed Signs
- Permanent loop traffic counter
- Monitoring cabinet
- Public Right of Way
- Adoptable drainage
- Concrete Bag Wall
- Drainage grip run-offs
- Proposed trees
- Proposed Culvert
- Lighting column
- Temporary bus stop

UNTIL TECHNICAL APPROVAL HAS BEEN OBTAINED FROM THE RELEVANT LOCAL AUTHORITIES, IT SHOULD BE UNDERSTOOD THAT ALL DRAWINGS ARE ISSUED AS PRELIMINARY AND NOT FOR CONSTRUCTION. SHOULD THE CONTRACTOR COMMENCE SITE WORK PRIOR TO APPROVAL BEING GIVEN, IT IS ENTIRELY AT HIS OWN RISK.

Construction Design and Management (CDM)
Key Residual Risks

Contractors entering the site should gain permission from the relevant land owners and/or principle contractor working on site at the time of entry. Contractors shall be responsible for carrying out their own risk assessments and for liaising with the relevant services companies and authorities. Listed below are Site Specific key risks associated with the project.

1) Overhead and underground services
2) Street Lighting Cables
3) Working adjacent to water courses and flood plain
4) Soft ground conditions
5) Working adjacent to live highways
6) Unchartered services

NOTES:

1. Do not scale from this drawing.
2. All dimensions are in metres unless otherwise stated.
3. Brookbanks consulting ltd has prepared this drawing for the sole use of the client. the drawing may not be relied upon by any other party without the express agreement of the client and Brookbanks consulting ltd. where any data supplied by the client or from other sources has been used, it has been assumed that the information is correct. no responsibility can be accepted by Brookbanks consulting ltd for inaccuracies in the data supplied by any other party. the drawing has been produced based on the assumption that all relevant information has been supplied by those bodies from whom it was requested.
4. No part of this drawing may be copied or duplicated without the express permission of Brookbanks consulting ltd.
5. All dimensions and all levels in metres unless noted otherwise.
6. Any discrepancies noted on site are to be reported to the engineer immediately.
7. Section 278 agreement highway works to carried out in strict accordance with Swindon Borough council's requirements.
8. All works within existing public highway, including any temporary works or traffic management measures, are subject to the approval of Swindon Borough Council. when works are required on the public highway, the contractor shall liaise with and obtain all statutory approvals from Swindon Borough Council, before commencing these works. these approvals include, but are not limited to, approval of traffic management measures, issue of works commencement notices, road opening notices, temporary traffic regulation orders etc.
9. All traffic management shall comply with the requirements as set out in chapter 8 of the traffic signs manual. warning signs may be erected outside the indicated boundaries. any obstructions to traffic or pedestrians shall be properly signed and protected with barriers, cones, signs, and lamps.
10. All planting in visibility splays to be agreed and approved by Swindon Borough Council and in all cases no planting to be above 600mm in height above the carriageway. also no obstructions of any kind within the visibility splay areas.
11. All tactile areas to be laid in accordance with detr "guidance on the use of tactile paving surfaces".
12. All traffic signs and road markings are to be in accordance with the 'Traffic Signs Regulations and General Directions 2016'.
13. Any damage caused to existing footways, roads or other third party property to be made good to the county engineers requirements.
14. Temporary works associated with the construction of the works shall be the responsibility of the contractor.

P	Note added for high friction surfacing	CM	CM	SM	27.05.25
N	Added latest lighting layout	JHI	CM	SM	22.01.25
M	Updated following SBC TA4 comments	CDW	CM	SM	02.12.24
L	Updated following SBC TA3 comments	CDW	CM	SM	08.11.24
K	Updated in accordance to TA2 comments	JHI	CM	SM	12.09.24
J	Updated in accordance to TA comments	JHI	CM	SM	30.07.24
H	Drainage easement added	JHI	CM	SM	24.05.24
G	FWPS Location amended to accommodate PROW	CDW	CM	SM	23.01.24
F	Traffic counters added as per SBC email 06.01.23	CM	CM	SM	13.02.23
E	Priority Junction Road Layout Amended	CDW	CM	SM	03.01.23
D	Priority junction amended	CM	SM	SM	26.09.22
C	Updated for S278 Submission	CDW	CM	SM	05.08.22
B	Updated following spine road amendments	RM	CM	SM	10.06.22
A	RM Submission	CDW	SM	DS	16.03.22
-	First Issue	MP	SM	DS	03.11.21

BROOKBANKS
6150 Knights Court, Solihull Parkway, Birmingham, B37 7WY
T +44 (0)121 329 4330 E mail@brookbanks.com
W brookbanks.com

Swindon EDA Consortium

Proposed Development
Swindon EV Phase 1

S.278 Works
Spine Road - Old Vicarage Lane
Finishes Plan - SBC TA S1058

Status		Status Date
Approval		Nov' 2021
Drawn	**Checked**	**Date**
MP	SM	03.11.2021
Scale	**Number**	**Rev**
1:500	1335-S278-OVL-100-104	P

0 10 20 30 40 50
METRES

© Brookbanks Consulting Limited 2025
P:\1335\CAD\BCL\Current Drawings\S278-Old Vicarage Lane\1335-S278-OVL-100-104P-Finishes Plan.dwg