Original Drawing Size A1

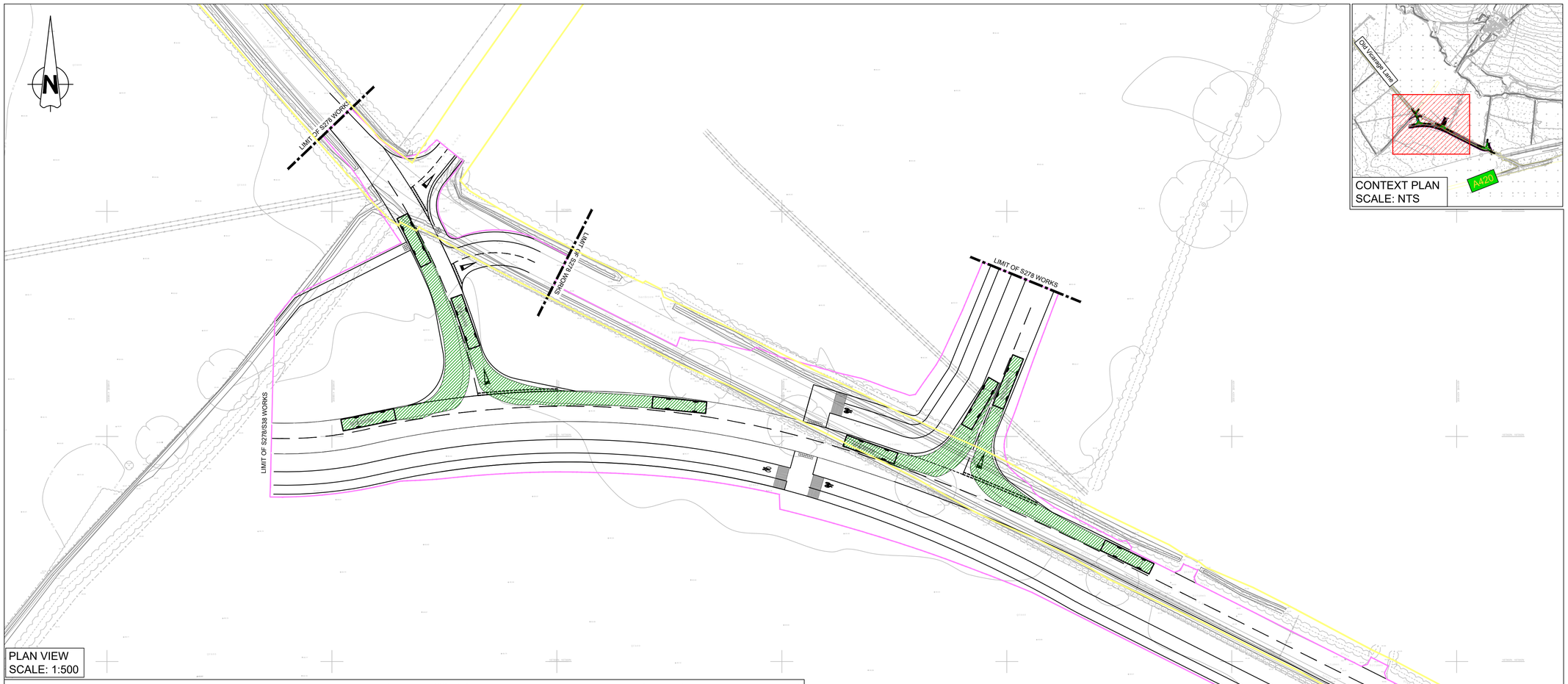

PLAN VIEW
SCALE: 1:500

CONTEXT PLAN
SCALE: NTS

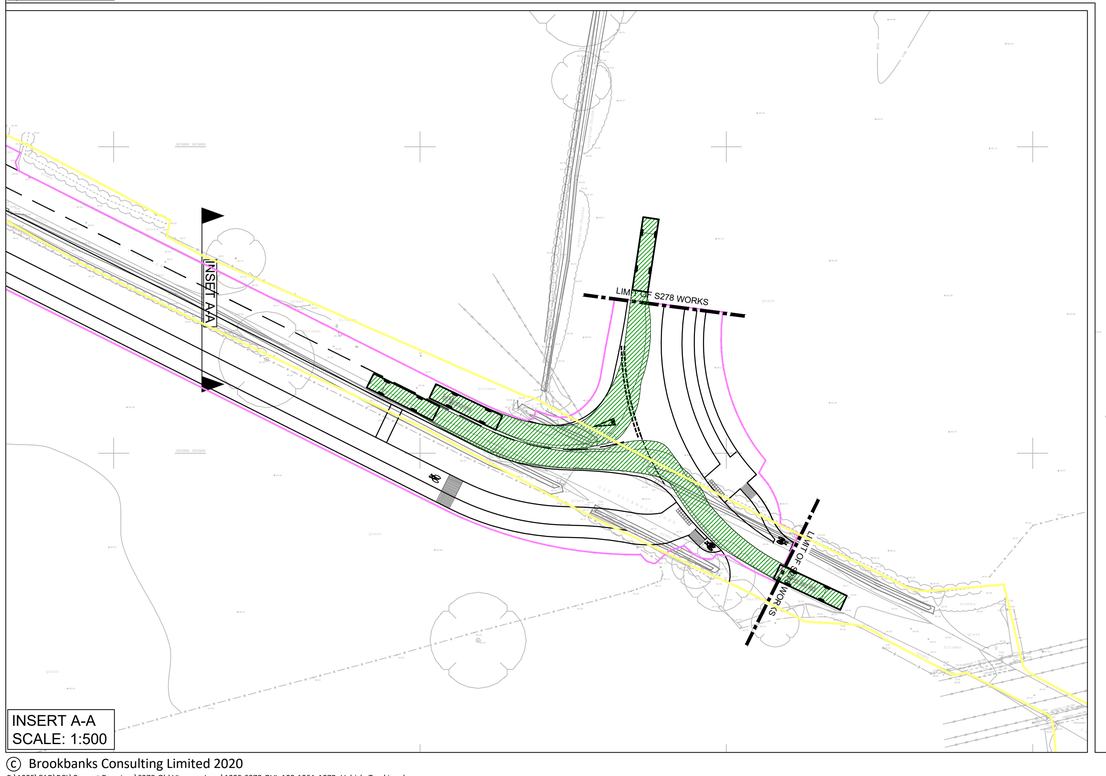

INSERT A-A
SCALE: 1:500

UNTIL TECHNICAL APPROVAL HAS BEEN OBTAINED FROM THE RELEVANT LOCAL AUTHORITIES, IT SHOULD BE UNDERSTOOD THAT ALL DRAWINGS ARE ISSUED AS PRELIMINARY AND NOT FOR CONSTRUCTION. SHOULD THE CONTRACTOR COMMENCE SITE WORK PRIOR TO APPROVAL BEING GIVEN, IT IS ENTIRELY AT HIS OWN RISK.

© Brookbanks Consulting Limited 2020

P:\1335\CAD\BCL\Current Drawings\S278-Old Vicarage Lane\1335-S278-OVL-100-106A-107B- Vehicle Tracking.dwg

Construction Design and Management (CDM) Key Residual Risks

Contractors entering the site should gain permission from the relevant land owners and/or principle contractor working on site at the time of entry. Contractors shall be responsible for carrying out their own risk assessments and for liaising with the relevant services companies and authorities. Listed below are Site Specific key risks associated with the project.

1) Overhead and underground services
2) Street Lighting Cables
3) Working adjacent to water courses and flood plain
4) Soft ground conditions
5) Working adjacent to live highways
6) Unchartered services

NOTES:

1. Do not scale from this drawing
2. All dimensions are in metres unless otherwise stated.
3. Brookbanks Consulting Ltd has prepared this drawing for the sole use of the client. The drawing may not be relied upon by any other party without the express agreement of the client and Brookbanks Consulting Ltd. Where any data supplied by the client or from other sources has been used, it has been assumed that the information is correct. No responsibility can be accepted by Brookbanks Consulting Ltd for inaccuracies in the data supplied by any other party. The drawing has been produced based on the assumption that all relevant information has been supplied by those bodies from whom it was requested.
4. No part of this drawing may be copied or duplicated without the express permission of Brookbanks Consulting.

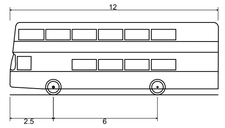

Rigid Public Service Vehicle	
Overall Length	12.000m
Overall Width	2.550m
Overall Body Height	4.173m
Min Body Ground Clearance	0.344m
Track Width	2.550m
Lock to lock time	4.00s
Kerb to Kerb Turning Radius	10.500m

Areas of existing highway

S278 Boundary

A	Updated following spine road amendments	CDW SM DS	10.06.22
-	First Issue	MP SM DS	03.11.21

BROOKBANKS

6150 Knights Court, Solihull Parkway, Birmingham, B37 7WY
T +44 (0)121 329 4330 E mail@brookbanks.com
W brookbanks.com

Swindon EDA Consortium

Proposed Development
Swindon EV Phase 1

S.278 Works
Spine Road - Old Vicarage Lane
Tracking-Public Service Vehicle

Status		Status Date
Approval		JAN 2022
Drawn	**Checked**	**Date**
MP	SM	27.01.22
Scale	**Number**	**Rev**
1:500	1335-S278-OVL-100-106	A

0 10 20 30 40 50
METRES