Original Drawing Size A1

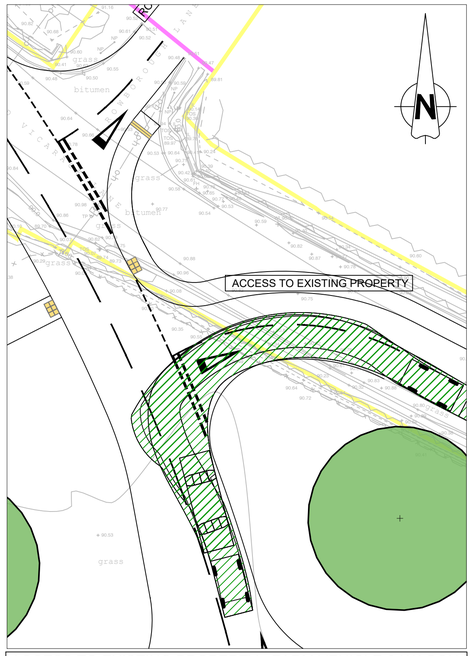

ACCESS TO EXISTING PROPERTY - FARM VEHICLE & WAGON

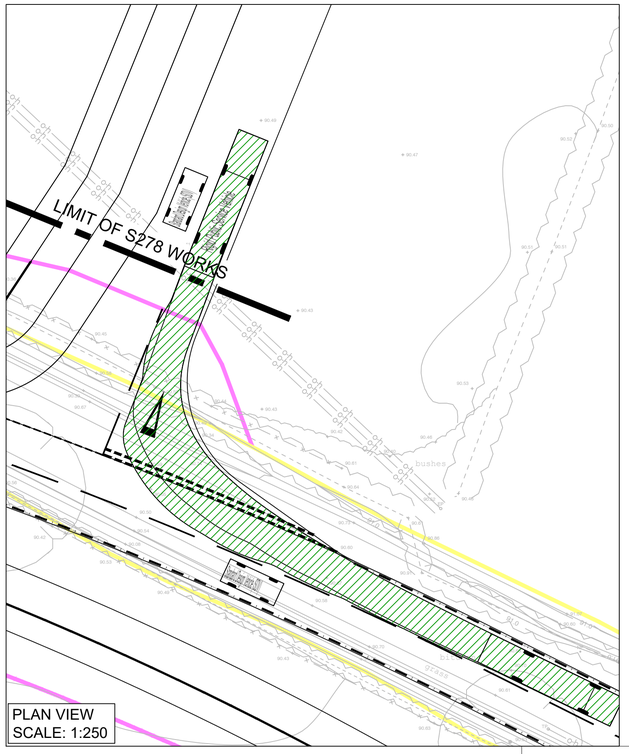

PLAN VIEW
SCALE: 1:250

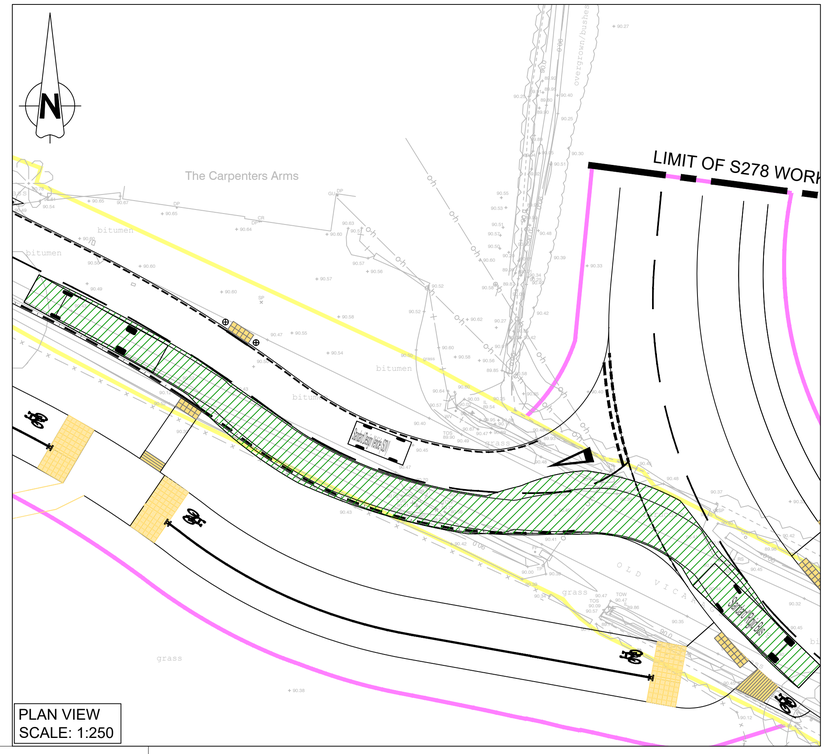

PLAN VIEW
SCALE: 1:250

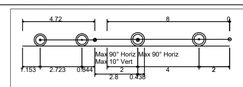

Copy Farm tractor & hay wagon

Overall Length	13.520m
Overall Width	2.500m
Overall Body Height	0.438m
Min Body Ground Clearance	0.398m
Max Track Width	2.500m
Lock to lock time	4.00s
Kerb to Kerb Turning Radius	4.620m

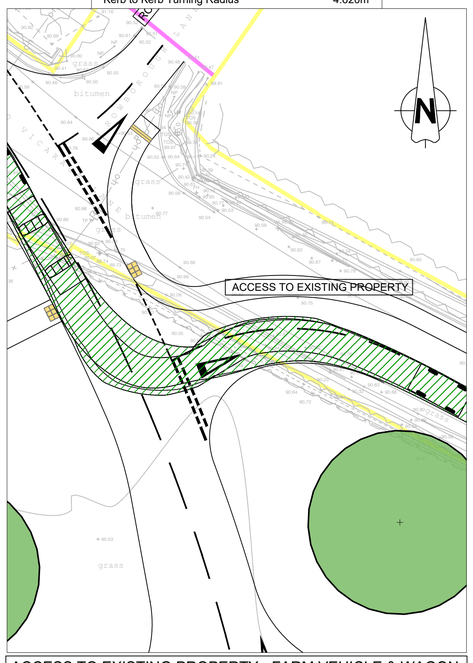

ACCESS TO EXISTING PROPERTY - FARM VEHICLE & WAGON

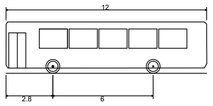

'Standard' Rigid Bus

Overall Length	12.000m
Overall Width	2.550m
Overall Body Height	3.069m
Min Body Ground Clearance	0.309m
Track Width	2.350m
Lock to lock time	4.00s
Wall to Wall Turning Radius	10.771m

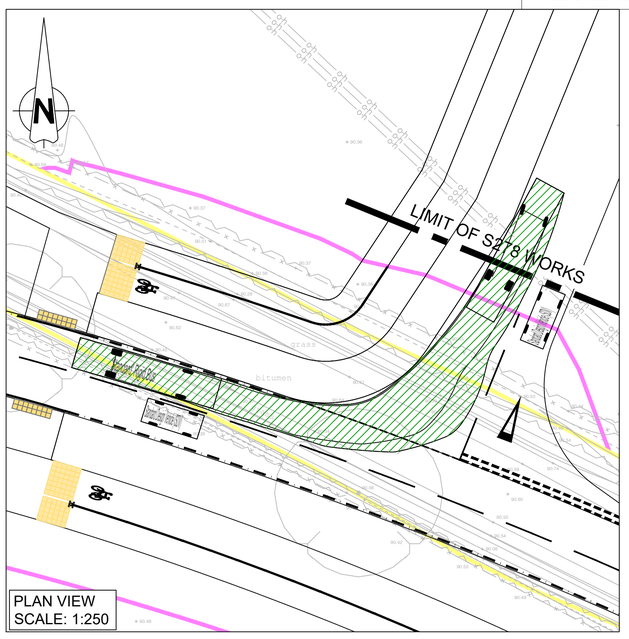

PLAN VIEW
SCALE: 1:250

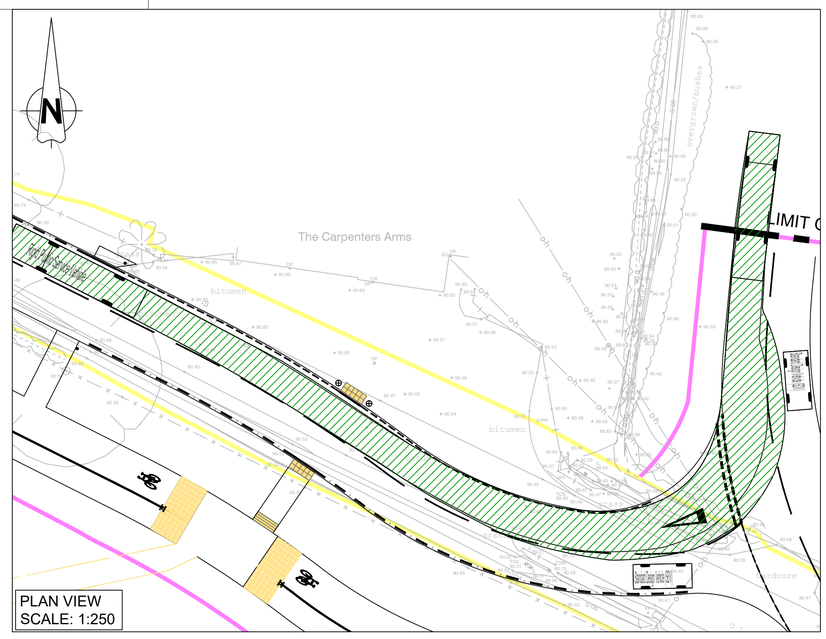

PLAN VIEW
SCALE: 1:250

Construction Design and Management (CDM)
Key Residual Risks

Contractors entering the site should gain permission from the relevant land owners and/or principle contractor working on site at the time of entry. Contractors shall be responsible for carrying out their own risk assessments and for liaising with the relevant services companies and authorities. Listed below are Site Specific key risks associated with the project.

1) Overhead and underground services
2) Street Lighting Cables
3) Working adjacent to water courses and flood plain
4) Soft ground conditions
5) Working adjacent to live highways
6) Unchartered services

NOTES:

1. Do not scale from this drawing
2. All dimensions are in metres unless otherwise stated.
3. Brookbanks Consulting Ltd has prepared this drawing for the sole use of the client. The drawing may not be relied upon by any other party without the express agreement of the client and Brookbanks Consulting Ltd. Where any data supplied by the client or from other sources has been used, it has been assumed that the information is correct. No responsibility can be accepted by Brookbanks Consulting Ltd for inaccuracies in the data supplied by any other party. The drawing has been produced based on the assumption that all relevant information has been supplied by those bodies from whom it was requested.
4. No part of this drawing may be copied or duplicated without the express permission of Brookbanks Consulting.

KEY:

Areas of existing highway

S278 Boundary

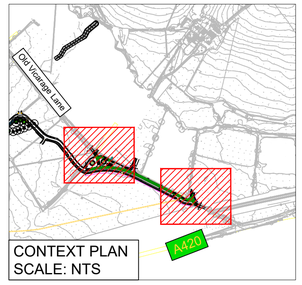

CONTEXT PLAN
SCALE: NTS

K	Updated following SBC TA4 comments	CDW	CM	SM	02.12.24
J	Updated following SBC TA3 comments	CDW	CM	SM	08.11.24
H	Update following TA2 comments	CDW	CM	SM	12.09.24
G	Updated for TA2 Submission	CDW	CM	SM	02.08.24
F	Tracks amended in viewports and new bus tracks added	CDW	SM	SM	10.05.24
E	FWPS location amended to accommodate PROW	CDW	CM	SM	30.01.24
D	Priority Junction Road Layout Amended	CDW	CM	SM	03.01.23
C	Priority junction amended	CM	SM	SM	26.09.22
B	Updated for S278 Submission	CDW	CM	SM	05.08.22
A	Updated following spine road amendments	CDW	SM	DS	10.06.22
-	First Issue	MP	SM	DS	03.11.21

BROOKBANKS

6150 Knights Court, Solihull Parkway, Birmingham, B37 7WY
T +44 (0)121 329 4330 E mail@brookbanks.com
W brookbanks.com

Swindon EDA Consortium

Proposed Development
Swindon EV Phase 1

S.278 Works
Spine Road - Old Vicarage Lane
Tracking-Standard Rigid Bus

Status		Status Date
Approval		NOV' 2021
Drawn	**Checked**	**Date**
MP	SM	03.11.21
Scale	**Number**	**Rev**
1:250	1335-S278-OVL-100-106	K

0 5 10 15 20 25
METRES

UNTIL TECHNICAL APPROVAL HAS BEEN OBTAINED FROM THE RELEVANT LOCAL AUTHORITIES, IT SHOULD BE UNDERSTOOD THAT ALL DRAWINGS ARE ISSUED AS PRELIMINARY AND NOT FOR CONSTRUCTION. SHOULD THE CONTRACTOR COMMENCE SITE WORK PRIOR TO APPROVAL BEING GIVEN, IT IS ENTIRELY AT HIS OWN RISK.

© Brookbanks Consulting Limited 2024
P:\1335\CAD\BCL\Current Drawings\S278-Old Vicarage Lane\1335-S278-OVL-100-106K-107K-120E-121D,122D - Vehicle Tracking.dwg