Original Drawing Size A1

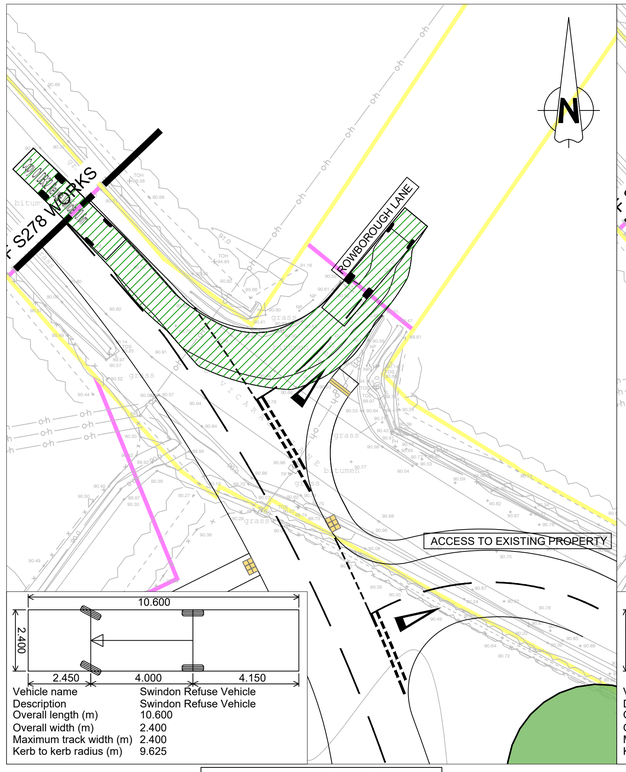

ROWBOROUGH LANE - REFUSE

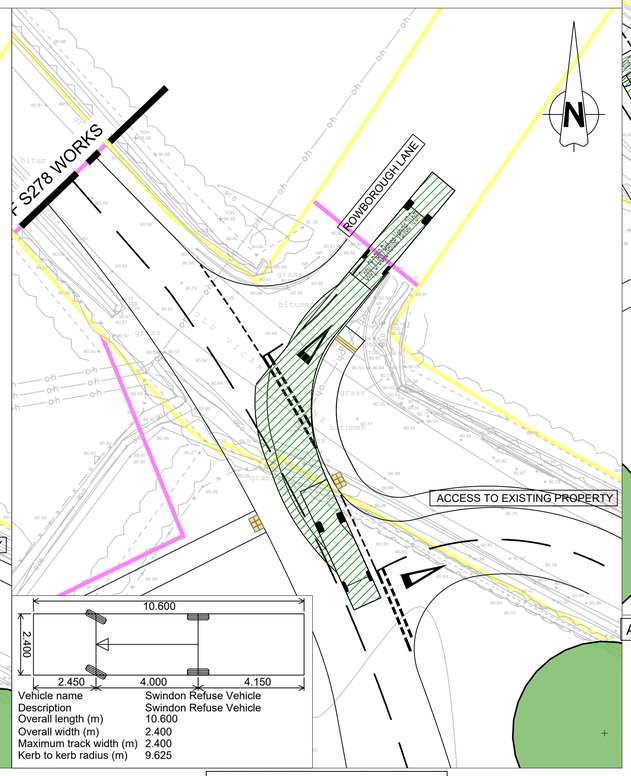

ROWBOROUGH LANE - REFUSE

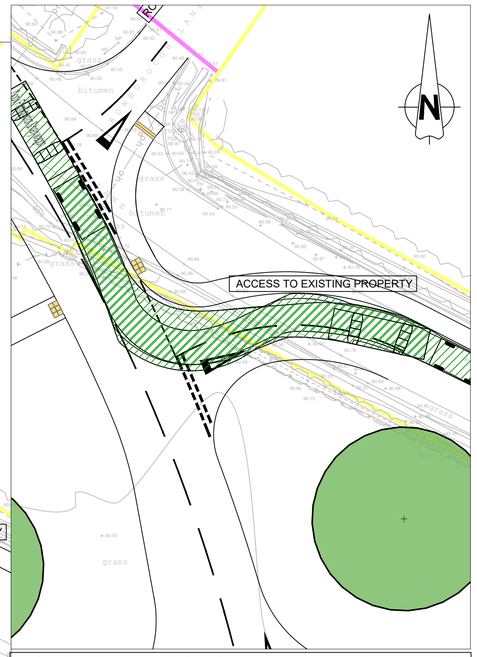

ACCESS TO EXISTING PROPERTY - FARM VEHICLE & WAGON

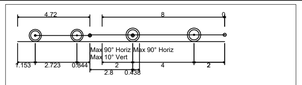

Copy Farm tractor & hay wagon

Overall Length	13.520m
Overall Width	2.500m
Overall Body Height	0.438m
Min Body Ground Clearance	0.398m
Max Track Width	2.500m
Lock to lock time	4.00s
Kerb to Kerb Turning Radius	4.620m

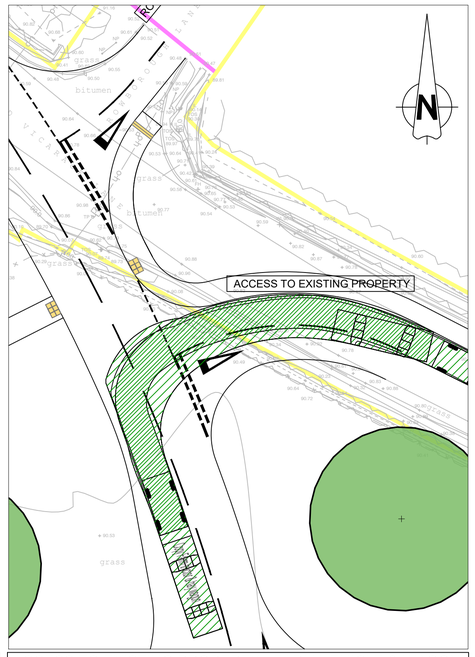

ACCESS TO EXISTING PROPERTY - FARM VEHICLE & WAGON

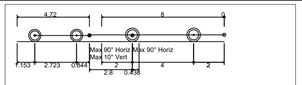

Copy Farm tractor & hay wagon

Overall Length	13.520m
Overall Width	2.500m
Overall Body Height	0.438m
Min Body Ground Clearance	0.398m
Max Track Width	2.500m
Lock to lock time	4.00s
Kerb to Kerb Turning Radius	4.620m

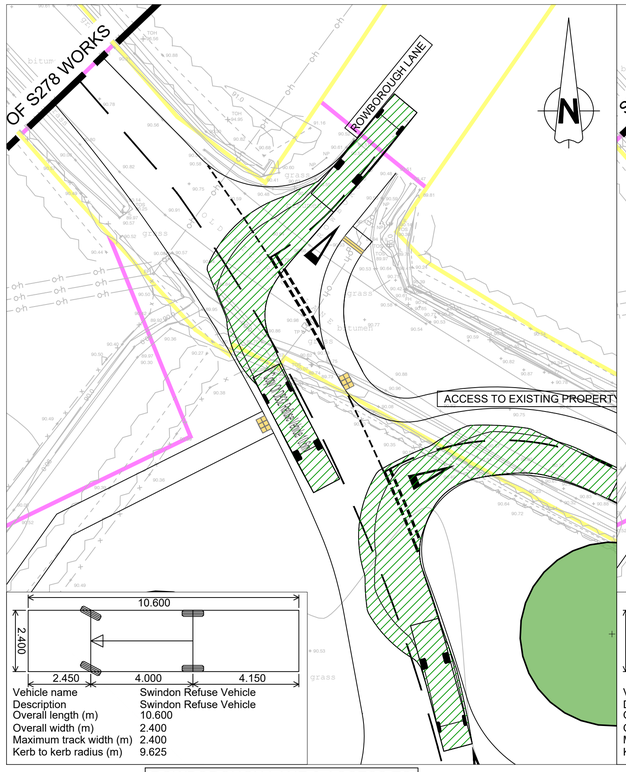

ROWBOROUGH LANE & ACCESS TO EXISTING PROPERTY - REFUSE

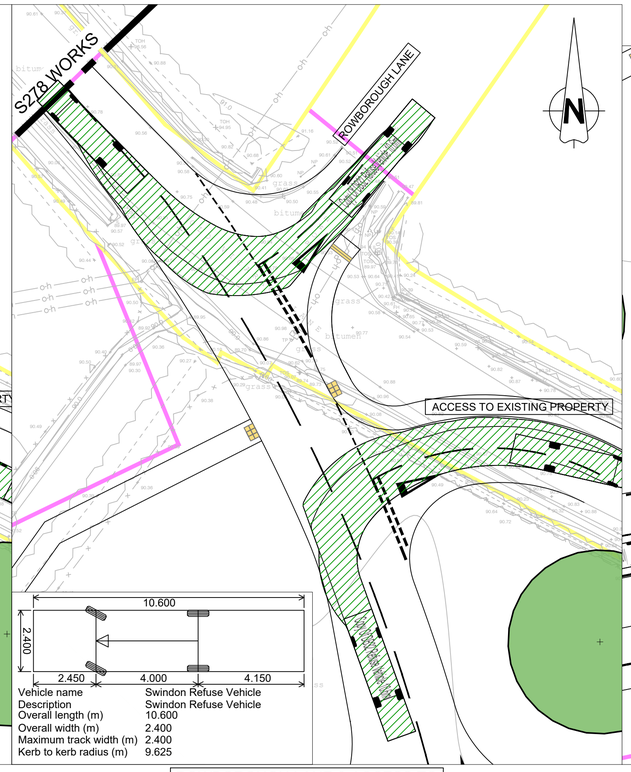

ROWBOROUGH LANE & ACCESS TO EXISTING PROPERTY - REFUSE

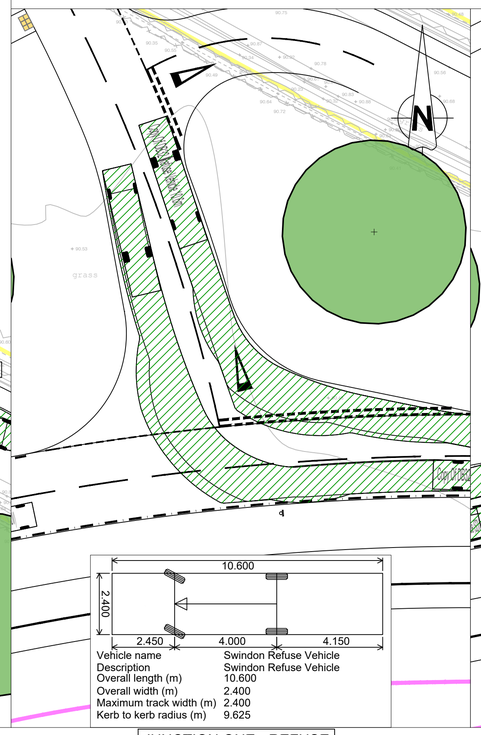

JUNCTION ONE - REFUSE

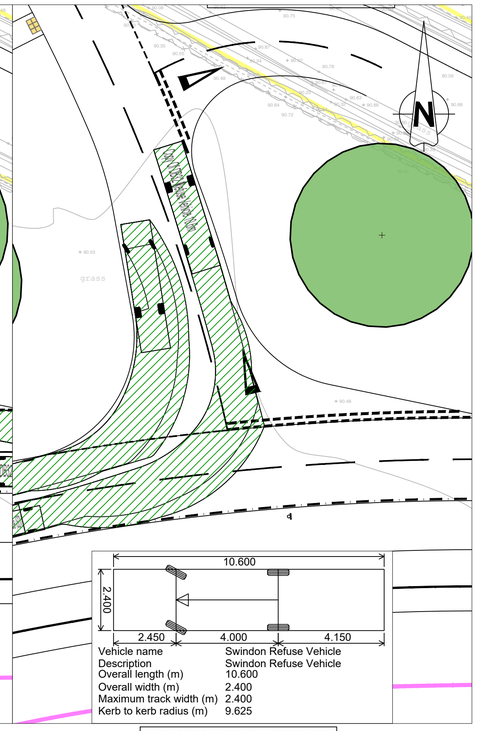

JUNCTION ONE - REFUSE

UNTIL TECHNICAL APPROVAL HAS BEEN OBTAINED FROM THE RELEVANT LOCAL AUTHORITIES, IT SHOULD BE UNDERSTOOD THAT ALL DRAWINGS ARE ISSUED AS PRELIMINARY AND NOT FOR CONSTRUCTION. SHOULD THE CONTRACTOR COMMENCE SITE WORK PRIOR TO APPROVAL BEING GIVEN, IT IS ENTIRELY AT HIS OWN RISK.

NOTES:

1. Do not scale from this drawing.
2. All dimensions are in metres unless otherwise stated.
3. Brookbanks consulting ltd has prepared this drawing for the sole use of the client. the drawing may not be relied upon by any other party without the express agreement of the client and Brookbanks consulting ltd. where any data supplied by the client or from other sources has been used, it has been assumed that the information is correct. no responsibility can be accepted by Brookbanks consulting ltd for inaccuracies in the data supplied by any other party. the drawing has been produced based on the assumption that all relevant information has been supplied by those bodies from whom it was requested.
4. No part of this drawing may be copied or duplicated without the express permission of Brookbanks consulting ltd.
5. All dimensions and all levels in metres unless noted otherwise.
6. Any discrepancies noted on site are to be reported to the engineer immediately.
7. Section 278 agreement highway works to carried out in strict accordance with Swindon Borough council's requirements.
8. All works within existing public highway, including any temporary works or traffic management measures, are subject to the approval of Swindon Borough Council. when works are required on the public highway, the contractor shall liaise with and obtain all statutory approvals from Swindon Borough Council, before commencing these works. these approvals include, but are not limited to, approval of traffic management measures, issue of works commencement notices, road opening notices, temporary traffic regulation orders etc.
9. All traffic management shall comply with the requirements as set out in chapter 8 of the traffic signs manual. warning signs may be erected outside the indicated boundaries. any obstructions to traffic or pedestrians shall be properly signed and protected with barriers, cones, signs, and lamps.
10. All planting in visibility splays to be agreed and approved by Swindon Borough Council and in all cases no planting to be above 600mm in height above the carriageway. also no obstructions of any kind within the visibility splay areas.
11. All tactile areas to be laid in accordance with detr "guidance on the use of tactile paving surfaces".
12. All traffic signs and road markings are to be in accordance with the 'Traffic Signs Regulations and General Directions 2016'.
13. Any damage caused to existing footways, roads or other third party property to be made good to the county engineers requirements.
14. Temporary works associated with the construction of the works shall be the responsibility of the contractor.

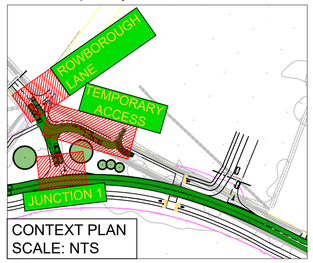

CONTEXT PLAN
SCALE: NTS

KEY:

Areas of existing highway

S278 Boundary

K	Updated following SBC TA4 comments	CDW	CM	SM 02.12.24
J	Updated following SBC TA3 comments	CDW	CM	SM 08.11.24
H	Update following TA2 comments	CDW	CM	SM 12.09.24
G	Updated for TA2 Submission	CDW	CM	SM 02.08.24
F	Tracks amended in viewports and new bus tracks added	CDW	SM	SM 10.05.24
E	FWPS location amended to accommodate PROW	CDW	CM	SM 30.01.24
D	Priority Junction Road Layout Amended	CDW	CM	SM 03.01.23
C	Updated for S278 Submission	CDW	CM	SM 05.08.22
B	Updated following spine road amendments	CDW	SM	DS 10.06.22
A	RM Submission	CDW	SM	DS 16.03.22
-	First Issue	MP	SM	DS 03.11.21

BROOKBANKS

6150 Knights Court, Solihull Parkway, Birmingham, B37 7WY
T +44 (0)121 329 4330 E mail@brookbanks.com
W brookbanks.com

Swindon EDA Consortium

Proposed Development
Swindon EV Phase 1

S.278 Works Spine Road -
Old Vicarage Lane Tracking - DB32
Fire Appliance & 10.6m Refuse

Status		Status Date
Approval		NOV' 2021
Drawn	Checked	Date
CM	SM	03.11.21
Scale	Number	Rev
1:250	1335-S278-OVL-100-107	K

0 5 10 15 20 25
METRES

© Brookbanks Consulting Limited 2024
P:\1335\CAD\BCL\Current Drawings\S278-Old Vicarage Lane\1335-S278-OVL-100-106K-107K-120E-121D,122D - Vehicle Tracking.dwg