Taylor Wimpey and Vistry

Arboricultural Impact Assessment

Junction of Old Vicarage Lane and A420

Swindon

November 2025

FPCR Environment and Design Ltd
Registered Office: Lockington Hall, Lockington, Derby DE74 2RH
Company No. 07128076. [T] 01509 672772 [F] 01509 674565 [E] mail@fpcr.co.uk [W] www.fpcr.co.uk

This report is the property of FPCR Environment and Design Ltd and is issued on the condition it is not reproduced, retained or disclosed to any unauthorised person, either wholly or in part without the written consent of FPCR Environment and Design Ltd. Ordnance Survey material is used with permission of The Controller of HMSO, Crown copyright 100018896.

Rev	Issue Status	Prepared / Date	Approved/Date
-	Draft	MHE / 22.08.22	HCK / 24.08.22
A	Layout Update: 1335-HL-058-107F	MHE / 10.01.23	HCK / 10.01.23
B	TRP & TPP Viewport Scale Update	MHE / 20.01.23	HCK / 20.01.23
C	Layout Update	LES / 28.01.25	MHE / 28.01.25
D	Final	MHE / 12.11.25	TEP / 12.11.25

CONTENTS

1.0 INTRODUCTION 2

2.0 PLANNING POLICY 3

3.0 SURVEY METHODOLOGY 4

4.0 RESULTS 9

5.0 ARBORICULTURAL IMPACT ASSESSMENT 10

6.0 NEW TREE AND HEDGEROW PLANTING 12

7.0 TREE PROTECTION MEASURES 14

8.0 CONCLUSION 16

TABLES

Table 1: Summary of Trees by Retention Category

Table 2: Tree Preservation Order Details

Table 3: Summary of Impact on Tree Stock

PLANS

Tree Survey Plan (1796-T-07)

Tree Retention Plan (1796-T-08)

Tree Protection Plan (1796-T-09)

APPENDICES

Appendix A: Tree Schedule

Appendix B: Protective Fencing Specifications

1.0 INTRODUCTION

1.1 This report has been prepared by FPCR Environment and Design Limited on behalf of Taylor Wimpey and Vistry to provide an Arboricultural Impact Assessment and details of those trees and hedgerows which would require removal and/or pruning to facilitate the proposed junction of Old Vicarage Lane and A420, South Marston, East of Swindon (hereafter referred to as 'the site').

1.2 The site is centered on Ordnance Survey grid reference SU 195 872.

1.3 The survey was carried out on 20th January 2022 with an additional whole site resurvey undertaken 1st – 3rd May 2024.

Scope of Assessment

1.4 The tree survey and assessment of existing trees has been carried out in accordance with guidance contained within British Standard 5837:2012 *'Trees in Relation to Design, Demolition and Construction - Recommendations'* (hereafter referred to as BS5837). The guidelines set out a structured assessment methodology to assist in determining which trees would be deemed either as being suitable or unsuitable for retention.

1.5 The guidance also provides recommendations for considering the relationship between existing trees and how those trees may integrate into designs for development; demolition operations and future construction processes so that a harmonious and sustainable relationship between any retained trees and built structures can be achieved.

1.6 The purpose of the report is therefore to firstly, present the results of an assessment of the existing trees' arboricultural value, based on their current condition and quality and to secondly, provide an assessment of impact arising from the proposed development of the site.

Planning History

1.7 The site has received planning approval (reference Application Number S/OUT/13/1555) for a large residential development on Land North of A420, South Marston and Rowborough.

1.8 The proposed development includes up to 2380 residential dwellings, mixed use local center/areas (including A1 retail up to 1,500m^2, services (A2), restaurants, pubs and takeaways (A3, A4, A5) business uses (B1) up to 1,000m^2, residential), community uses (D1), sheltered and/or care accommodation (C2, C3), two primary schools, green infrastructure including formal (including playing fields) and informal open space, landscape, biodiversity and amenity space (including LEPS, NEAPS/MUGA), changing and sports facilities (including D2 and ancillary retail uses), sustainable drainage systems; highway, cycle and pedestrian routes; car parking; infrastructure (including utilities); engineering works including ground remodeling; demolition, site reclamation and removal of structures; the formation of new accesses from the A420, Old Vicarage Lane and Thornhill Road, highway, cycle and pedestrian routes.

Purpose of the Summary

1.9 As part of the conditional outline approval, detailed designs for the points of access to the development are required and have been considered by this Arboricultural Assessment. There will be three main points of access to the wider development and this Impact Assessment relates to the proposed Junction of Old Vicarage Lane and the A420.

1.10 The details provided within this Arboricultural Impact Assessment are also required to satisfy two tree related planning conditions of the Outline Planning Application, namely C12 and C13.

2.0 PLANNING POLICY

National Planning Policy Framework December 2024

2.1 National Planning Policy is defined by the National Planning Policy Framework (NPPF). This sets out the Government's most current and up to date planning policies for England and how these should be applied. The current NPPF is dated December 2024.

2.2 Paragraphs 10 and 11 of the NPPF state that there is a presumption in favour of sustainable development and states that for decision making, the LPA should be 'c) approving development proposals that accord with an up-to-date development plan without delay'.

2.3 In relation to arboriculture, the NPPF states that:

136 '*Trees make an important contribution to the character and quality of urban environments, and can also help mitigate and adapt to climate change. Planning policies and decisions should ensure that new streets are tree-lined (footnote 52), that opportunities are taken to incorporate trees elsewhere in developments (such as parks and community orchards), that appropriate measures are in place to secure the long-term maintenance of newly-planted trees, and that existing trees are retained wherever possible. Applicants and local planning authorities should work with highways officers and tree officers to ensure that the right trees are planted in the right places, and solutions are found that are compatible with highways standards and the needs of different users'. (footnote 52: unless, in specific cases, there are clear, justifiable and compelling reasons why this would be inappropriate)*

193 (c) 'development resulting in the loss or deterioration of irreplaceable habitats (such as ancient woodland and ancient or veteran trees) should be refused, unless there are wholly exceptional reasons (footnote 70) and a suitable compensation strategy exists'.

and provides specific guidance that:

193 (d) 'development whose primary objective is to conserve or enhance biodiversity should be supported; while opportunities to improve biodiversity in and around developments should be integrated as part of their design, especially where this can secure measurable net gains for biodiversity or enhance public access to nature where this is appropriate'.

2.4 With reference to paragraph 193 (c), examples of what is deemed to be 'wholly exceptional' are included within Footnote 70 and provides the examples of 'infrastructure projects (including

nationally significant infrastructure projects, orders under the Transport and Works Act and hybrid bills), where the public benefit would clearly outweigh the loss or deterioration of habitat'.

Statutory Considerations

2.5 Local authorities have a Duty under the Town and Country Planning Act to create Tree Preservation Orders (TPO) in order to protect and preserve specific trees and woodlands that bring significant amenity benefit to a particular site or location. Under a TPO it is a criminal offence to cut down, top, lop, uproot or wilfully destroy a tree protected by that Order, or to cause or permit such actions, if carried out without the prior written consent of the acting LPA. Anyone found guilty of such an offence is liable and in serious cases, may result in prosecution and incur an unlimited fine.

2.6 Following consultation with the Local Planning Authority, Swindon Borough Council, it is understood that there is a Tree Preservation Order, namely TPO 2 / 2015, which applies to a number of trees present within the wider site but no trees within the Old Vicarage Lane and A240 Junction site boundary are subject to Tree Preservation Orders.

2.7 Information provided on Tree Preservation Orders and Conservation Areas is accurate to the date of this assessment and cannot be assumed to remain unchanged. The last check was carried out on the 26.02.2015.

Non-Statutory Considerations

2.8 In order to compile existing baseline information on relevant arboricultural considerations information was requested from both statutory and non-statutory nature conservation organisations. The Multi Agency Geographic Information for the Countryside (MAGIC)[1] website highlighted no tree cover within the Old Vicarage Lane site as or included within the following:

- The Priority Habitat Inventory, Deciduous Woodland
- The National Forestry Inventory

3.0 SURVEY METHODOLOGY

3.1 The survey of trees has been carried out in accordance with the criteria set out in Chapter 4 of BS5837. The survey has been undertaken by a suitably qualified and experienced arboriculturist and has recorded information relating to all those trees within the site and those adjacent to the site which may be of influence to any proposals. Trees were assessed for their arboricultural quality and benefits within the context of the proposed development in a transparent, understandable and systematic way.

3.2 Due to the time that has lapsed since the original tree survey in 2017, a resurvey of all the trees and hedgerows within the vicinity of the proposed junction was conducted, reviewing their condition and updating previous survey information accordingly. The resurvey of trees was undertaken in January 2022. This has ensured that all the trees and hedgerows within the vicinity of the proposed access which would be affected by the works have been identified.

[1] http://magic.defra.gov.uk/

3.3 Trees have been assessed as groups or hedgerows where it has been determined appropriate.

- The term group has been applied where trees form cohesive arboricultural features either aerodynamically, visually or culturally including biodiversity or habitat potential for example parkland or wood pasture.
- For the purposes of this assessment, a hedgerow is described as any boundary line of trees or shrubs less than 5m wide at the base and are managed under a regular pruning regime.

3.4 An assessment of individual trees within groups or hedgerows has been made where a clear need to differentiate between them, for example, in order to highlight significant variation between attributes including physiological or structural condition or where a potential conflict may arise.

Ancient and Veteran Trees

3.5 Veteran trees and Ancient Woodland are important components of the landscape, their importance can be for a number of reasons including that of their ecological, social, cultural and historic value.

3.6 Veteran Trees and Ancient Woodlands are material considerations within the planning process and their importance is specifically recognised within the National Planning Policy Framework (NPPF) 2024, which defines the terms ancient or veteran tree as:

'A tree which, because of its age, size and condition, is of exceptional biodiversity, cultural or heritage value. All ancient trees are veteran trees. Not all veteran trees are old enough to be ancient, but are old relative to other trees of the same species. Very few trees of any species reach the ancient life-stage.'[2]

3.7 Various published methodologies are currently available which, due to the complexity and subjectivity of the process of defining and assessing these trees, often have conflicting definitions. This assessment, and the criteria used for defining ancient/veteran trees and the identification of attributable ancient/veteran features, has been based on a range of currently published guidance and resources.

BS5837 Categories

3.8 Trees have been divided into one of four categories based on Table 1 of BS5837, *'Cascade chart for tree quality assessment'*. For a tree to qualify under any given category it should fall within the scope of that category's definition (see below).

3.9 Category U trees are those which would be lost in the short term for reasons connected with their physiology or structural condition. They are, for this reason not considered in the planning process on arboricultural grounds. Categories A, B and C are applied to trees that should be of material considerations in the development process. Each category also having one of three further sub-categories (i, ii, iii) which are intended to reflect arboricultural, landscape and cultural or conservation values accordingly.

3.10 **Category (U) – (Red):** Trees which are unsuitable for retention and are in such a condition that they cannot realistically be retained as living trees in the context of the current land use for longer than 10 years. Trees within this category are:

[2] Ministry of Housing, Communities and Local Government. (2019). *National Planning Policy Framework.* London: Ministry of Housing, Communities and Local Government.

- Trees that have a serious irremediable structural defect such that their early loss is expected due to collapse and includes trees that will become unviable after removal of other category U trees.
- Trees that are dead or are showing signs of significant, immediate or irreversible overall decline.
- Trees that are infected with pathogens of significance to the health and/ or safety of other nearby trees or are very low quality trees suppressing adjacent trees of better quality.
- Certain category U trees can have existing or potential conservation value which may make it desirable to preserve.

3.11 **Category (A) – (Green):** Trees that are considered for retention and are of high quality with an estimated remaining life expectancy of at least 40 years with potential to make a lasting contribution. Such trees may comprise:

- Sub category (i) trees that are particularly good examples of their species, especially if rare or unusual, or are essential components of groups such as formal or semi-formal arboricultural features for example the dominant and/or principal trees within an avenue.
- Sub category (ii) trees, groups or woodlands of particular visual importance as arboricultural and / or landscape features.
- Sub category (iii) trees, groups or woodlands of significant conservation, historical, commemorative or other value for example veteran or wood pasture.

3.12 **Category (B) – (Blue):** Trees that are considered for retention and are of moderate quality with an estimated remaining life expectancy of at least 20 years with potential to make a significant contribution. Such trees may comprise:

- Sub category (i) trees that might be included in category A but are downgraded because of impaired condition for example the presence of significant though remediable defects, including unsympathetic past management and storm damage.
- Sub category (ii) trees present in numbers, usually growing as groups or woodlands, such that they attract a higher collective rating than they might as individuals or trees occurring as collectives but situated so as to make little visual contribution to the wider locality.
- Sub category (iii) trees with material conservation or other cultural value.

3.13 **Category (C) – (Grey):** Trees that are considered for retention and are of low quality with an estimated remaining life expectancy of at least 10 years or young trees with a stem diameter below 150mm. Such trees may comprise:

- Sub category (i) unremarkable trees of very limited merit or such impaired condition that they do not qualify in higher categories.
- Sub category (ii) trees present in groups or woodlands, but without this conferring on them significantly greater collective landscape value or trees offering low or only temporary / transient screening benefits.
- Sub category (iii) trees with no material conservation or other cultural value.

Site Plans

3.14 The individual positions of trees and groups have been shown on the Tree Survey Plan. The positions of trees are based on a topographical / land survey, as far as possible, supplied by the client. Where topographical information has not identified the position of trees these have been plotted using a global positioning system and aerial photography to provide approximate locations. The crown spread, root protection area and shade pattern (where appropriate) are also indicated on this plan.

3.15 As part of this assessment, a Tree Retention Plan (1796-T-08) has been prepared to show the proposed layout in relation to the existing tree cover allowing an assessment of any potential conflicts. The plan also identifies which trees would be required to be removed or retained as part of the proposed access.

3.16 A Tree Protection Plan (1796-T-09) has also been included which outlines proposed tree protection measures to be enacted during the construction phase.

Tree Constraints and Root Protection Areas

3.17 Below ground constraints to future development are represented by tree roots and the soil environment in which they grow which needs to be protected if the tree is to be retained. Tree rooting systems are essential for the uptake of water and nutrients, serving the storage of carbohydrates for the future growth and function of the tree, and form structural anchorage and support for the stem and crown. The perceived rooting area of the tree; referred to as the root protection area (RPA) needs to be protected if the tree is to be retained.

3.18 The RPA is a notional area considered to be the minimum zone that must be protected to avoid any adverse impacts on retained trees. The RPA has been calculated in accordance with Annex C, D and Section 4.6 of BS5837:2012 and requires suitable protection in order for the tree to be successfully incorporated into any future scheme. As such, the RPA of existing trees is an important material consideration when considering site constraints and planning development activities.

3.19 Where applicable the shape of the Root Protection Area has been modified to consider the presence of any nearby obstacles (existing or past) which may have restricted root growth and the likely root distribution i.e. the presence of hard standing, structures and underground apparatus. Where groups of trees have been assessed, the Root Protection Area has been shown based on the maximum sized tree in any one group and so may exceed the Root Protection Area required for some of the individual specimens within the group. Further detailed inspection of the individual trees forming a group may be required where development impacts upon the group.

3.20 Whilst it is generally accepted that a trees roots may extend far greater distances than the notional RPA, with the distribution of the root system relating directly to the availability of suitable conditions for growth (namely oxygen, water and nutrients), with roots predominantly located in the upper 1,000 mm of the soil horizon; the RPA offers an accepted protective buffer from development.

3.21 Above ground constraints such as the current crown spread of the trees and an illustration of the shade pattern (where appropriate) have been considered and identified within the Tree Survey Plan and Tree Retention Plan indicates their potential area of shading influence.

Considerations and Limitations of the Tree Survey

3.22 The survey was completed from ground level only and from within the boundary of the site. Aerial tree inspections or an assessment of the internal condition of the stem/s or branches were not undertaken at this stage as this level of survey is beyond the scope of the initial assessment.

3.23 The statements made in this report regarding the assessed trees does not take into account the effects of extreme / adverse weather conditions, changes in land use prior to the site's development, unforeseen accidents or anti-social behaviours, such as vandalism, which occur since the date of the survey. As such, the assessment of tree condition given within applies to the date of survey and cannot be assumed to remain unchanged.

3.24 It will be necessary to review all comments and observations made within this report, in accordance with sound arboricultural practice, within two years of the date of survey (unless explicitly stated elsewhere within this report). Further review may also be necessary where site conditions change or works to trees are carried out which have not been specified in detail within this report.

3.25 Hedgerows are identified as a Habitat of Principal Importance (HPI) as listed within Section 41 of the Natural Environment and Rural Communities (NERC) Act 2006. The tree survey conducted, in accordance with BS5837, does not assess hedgerows against the Hedgerow Regulations 1997 or specifically from an ecological perspective, and is outside the scope of this assessment.

3.26 It may be necessary during detailed design to undertake further assessment and accurate positioning of woody species within tree groups and hedgerows to assist structural calculations for foundation design of structures in accordance with current building regulations. The exact position of individual trees or species included as part of a tree group should be checked and verified on site prior to any decisions for foundation design, tree operations or construction activity being undertaken. Further survey work would be required for calculating foundation depths in accordance with NHBC Chapter 4.2 Building near Trees.

4.0 RESULTS

4.1 A total of eleven individual trees, four group of trees and five hedgerows were surveyed as part of the Arboricultural Assessment. Trees were surveyed as individual trees and groups of trees where examples are clearly present as per the description. Refer to the Tree Survey Plan and Appendix A – Tree Schedule for full details of the trees included in this assessment. The table below summarises the trees assessed.

Tree Schedule

4.2 Appendix A provides a schedule of trees and hedgerows for the wider site but only those trees within the vicinity of the proposed junction have been reviewed and information pertaining to those trees updated as required. All other trees subject to the original survey (except for those affected by the two remaining points of access and Haul Route, covered by separate Arboricultural Impact Assessment Reports) have not been reviewed at this stage and information pertaining to those trees in the Tree Schedule within the wider site remain as per the 2017 Tree Survey.

4.3 Appendix A presents details of any individual trees, groups and hedgerows found during the assessment including heights, diameters at breast height, crown spread (given as a radial measurement from the stem), age class, comments as to the overall condition at the time of inspection, BS5837 category of quality and suitability for retention and the root protection area.

4.4 General observations particularly of structural and physiological condition for example the presence of any decay and physical defect and preliminary management recommendations have also been recorded where appropriate.

Results Summary

Table 1: Summary of Trees by Retention Category

	Individual Trees	Total	Groups of Trees & Hedgerows	Total
Category U - Unsuitable	T64, T66	2		0
Category A (High Quality / Value)	T65	1		0
Category B (Moderate Quality / Value	T59, T62, T67, T205	4	G32	1
Category C (Low Quality / Value)	T58, T60, T61, T63, T204	5	G31, G34, H28, H29, H30, H32, H88	8

Ancient and Veteran Trees

4.5 None of the assessed trees were considered as ancient or veteran trees in accordance with accepted methodologies and guidance.

5.0 ARBORICULTURAL IMPACT ASSESSMENT

5.1 The following paragraphs present a summary of the tree survey and discussion of particular trees and groups recorded in the context of any proposed development in the form of an Arboricultural Impact Assessment in accordance with section 5.4 of BS5837. Any final tree retentions will need to be reconciled with the advice contained within this report.

5.2 The AIA has been based upon the Drawing Title, '1335-HL-058-107H Planning Layout' produced by Brookbanks and seeks to outline the relationship between the proposals and the existing trees, groups and hedgerows. The drawing shows the proposals for a new junction between Old Vicarage Lane and the A420. An overlay of the layout has been incorporated in the Tree Retention (FPCR 1796-T-08) Tree Protection (FPCR1796-T-09) Plans to assist in identifying the relationship and any potential conflicts between the proposals and the existing trees and hedgerows.

Table 3: Summary of Impact on Tree Stock

	Trees to be Retained as part of the A420 Junction Application	Total	Trees to be Removed in full or part for the A420 Junction Application	Total
Category U (Unsuitable)	T66	1	T64	1
Category A (High Quality / Value)	T65	1		0
Category B (Moderate Quality / Value	T67, T62, T205, G32	5	T59*	1
Category C (Low Quality / Value)	T61, G34, H28, H88	4	T58*, T60*, T63, T204, H29, H30(P), H32*, G31	8

*** T58, T59, T60 and H32 are proposed to be removed as part of a separate Old Vicarage Lane improvement works.**

5.3 The A420 Junction proposals will necessitate the removal of the following:

Trees

5.4 Three trees require removal to facilitate the A420 junction proposals, one category U, and three Category C.

5.5 T63 was a category C ash *Fraxinus excelsior* specimen located within H29, close to the A420. This specimen was a coppice stool which displayed significant seed loading and epicormic growth, likely symptoms of ash dieback and an indication of declining condition. This specimen will require removal to facilitate the widening of Old Vicarage Lane where it meets the A420.

5.6 T64 was a category U specimen with similar form to T63 At the southern leader was dead, with deadwood within the canopy overhanging the highway. Due to the condition and road widening, this specimen requires removal.

5.7 T204, an English elm located immediately south of a small drainage ditch on the verge to the west of the site. This specimen will require removal to facilitate the widening of the road.

Hedges

5.8 Two hedgerows will require either full or partial removal to facilitate the junction proposals, all of which were category C due to their size and condition from an arboricultural perspective at the time of survey.

5.9 H29, located to the south of the railway line, this hedge was situated on the northern side of Old Vicarage Lane. It contained a number of elm *Ulmus procera* specimens but at the time of survey had been kept trimmed and so these specimens had not succumbed to Dutch elm disease. The proposed road widening in this area necessitates the removal of this hedgerow.

5.10 H30 was located along the north side of the A420, directly north of the drainage ditch. This hedgerow was regularly maintained which gave the hedge a consolidated form. A small portion of the southwestern end of the hedge will require removal to accommodate the visibility splay of the junction.

Groups

5.11 A single group, G31 will require pruning to the northeastern edge to facilitate the widening proposals, and to the southern edge to accommodate the visibility splay for the junction. G31, was a category C group containing crack willow, English elm and ash generally in fair condition with some suppressed specimens due to their proximity to one another and dense ivy growth.

Supervised Uplift of Tarmac within the RPA of T61 and T62

5.12 T61 and T62 have a portion of their Root Protection Area located within proposed construction areas. Currently the northeast side of these specimen's RPA is covered with tarmac. As the tarmac in that area will be replaced, but the subbase left in place, it is believed that limited to no disturbance will occur to any roots present in this area. However, as a precaution, it is proposed to provide arboricultural supervision of the works while being carried out.

5.13 The area which requires arboricultural supervision is shown on the Tree Protection Plan (1796-T-09) as a yellow cross-hatch.

Discussion

5.14 In conclusion for arboriculture, the proposals are considered to meet the aims and objectives of national policy through careful consideration of the design and the seeing retention of as much of the existing tree and hedgerow cover as possible whilst allowing for the proposed junction access. The wider development proposals will provide extensive new landscaping including tree and hedgerow planting around all of the new access point thus mitigating the loss of tree and hedgerow cover to the proposals.

Tree Management

5.15 All retained trees should be subjected to sound arboricultural management as recommended within section 8.8.3 of BS5837 *Post Development Management of Existing Trees,* where there is a potential for public access in order to satisfy the landowner's duty of care. Additionally, inspections annually and following major storms should be carried out by an experienced arboriculturist or arborist to identify any potential public safety risks and to agree remedial works as required.

5.16 All tree works undertaken should comply with British Standard 3998:2010 and should therefore be carried out by skilled tree surgeons. It would be recommended that quotations for such work be obtained from Arboricultural Association Approved Contractors as this is the recognised authority for certification of tree work contractors.

5.17 All vegetation and, particularly, woody vegetation proposed for clearance should be removed outside of the bird-breeding season (March - September inclusive) as all birds are protected under the Wildlife and Countryside Act, 1981 (as amended) whilst on the nest. Where this is not possible, vegetation should be checked for the presence of nesting birds prior to removal by an experienced ecologist.

General Design Principles in Relation to Retained Trees

5.18 The routing of below ground services should also be considered with regard to the retained trees. As recommended by the guidance given in section 7.7 of BS5837 services, where possible, should not encroach within the Root Protection Areas of retained trees. If below-ground services are proposed within a Root Protection Area, modifications to the alignment of the service route may need to be made in order to minimise adverse effects on root stability and overall tree health.

5.19 Consideration may also need to be given to the potential for tree roots of newly planted trees and hedgerows to affect or compromise the future services. As far as feasible, it would be preferable that proposed services near both the existing and any new planting should be ducted for ease of access and maintenance and grouped together to minimise any future disturbance.

6.0 NEW TREE AND HEDGEROW PLANTING

6.1 As part of the development proposals new tree planting will be proposed which will more than mitigate the losses required for the Old Vicarage Lane proposals.

6.2 As part of the mitigation for the losses of trees, it would be proposed that replacement planting would be included within public open space within the wider development.

6.3 Mitigation for the loss of tree stock as part of this application will see a 1:1 replacement using Heavy Standard (12-14cm) tree stock. This will include a total of three new trees planted as part of the future Public Open Space RMA to the east of Old Vicarage Lane and the north of the train line. Mitigation for the loss of hedgerows will also be included within the POS through the creation of new hedgerows at a 1:1 ratio, totaling 80m of new hedgerow.

6.4 The mitigation planting area has been highlighted within the Tree Retention and Protection Plans.

6.5 Species composition and locations for all trees, including those replacement trees for TPO losses, will be determined within future landscaping proposals.

6.6 Where Tree Preservation Order trees are removed, the replacement of these trees will be agreed and approved by the LPA as part of the wider landscaping proposals. No trees with Tree Protection Orders were present within the boundary for the Old Vicarage Lane and A420 Junction works.

Trees

6.7 The landscaping scheme should consider the use of both native tree species (for their low maintenance requirements and nature conservation value) and ornamental species (for their contribution to urban design and amenity value). Species choices should be selected on the basis of their suitability for the final site use. Furthermore, during the design process consultation should be made with the Local Planning Authority to obtain information on their tree strategy and incorporate the planting proposals with any local policies and initiatives and/or Biodiversity Action Plans (BAP).

6.8 In line with the NPPF all schemes should aim to achieve a net gain in biodiversity value. Nationally recognised biodiversity metrics allow for the inclusion of, not limited to, newly planted scattered trees, woodlands and hedgerows as a means of compensating for loss of habitat as part of the development. Tree and shrub planting can therefore be used to contribute to this biodiversity gain.

6.9 To maximise biodiversity value (and contribution to net gain) native species or varieties should be specified. Such provisions can be incorporated into both the hard and soft landscaping of the scheme. It is recommended that tree and hedgerow specifications are made following consultation with guidance published by the Local Planning Authority.

6.10 When deciding upon suitable tree species, careful consideration would need to be given to the following: ultimate height and canopy spread, form, habit, density of crown, potential shading effect, colour, water demand, soil type and maintenance requirements in relation to both the built form of the new development and existing properties.

6.11 Through careful species selection, the landscape scheme shall reduce the risk of trees being removed in the future on the grounds of nuisance. Nuisance can be perceived in a number of ways and vary from person to person however most commonly, within the context of trees, low overhanging branches, excessive shading, seasonal leaf fall and the misinformed perception that trees close to buildings cause damage.

Hedgerows

6.12 Hedgerows are identified as a Habitat of Principle Importance (HPI) as listed within Section 41 of the Natural Environment and Rural Communities (NERC) Act 2006. Consequently, it is important that the proposed scheme delivers a net gain in terms of linear hedgerows through new planting to compensate for any losses. Species should be native, and characteristic of the locality.

6.13 Recommended species for native hedgerow planting are as follows:

- *Crataegus monogyna*
- *Prunus spinosa*
- *Cornus sanguinea*
- *Corylus avellana*
- *Acer campestre*
- *Euonymus europaeus*

General Planting Recommendations

6.14 Wherever possible, following discussions with the developer and utility companies, common service trenches should be specified to minimise land take associated with underground service provision and facilitation access for future maintenance.

6.15 Tree planting should be avoided where they may obstruct overhead power lines or cables. Any underground apparatus should be ducted or otherwise protected at the time of construction to enable trees to be planted without resulting in future conflicts.

7.0 TREE PROTECTION MEASURES

7.1 Retained trees will be protected from construction work by Tree Protection Fencing as shown in the Tree Protection Plan (FPCR 1796-T-09) and in accordance with BS5837 (2012). Appendix B provides the specification of tree protective fencing that will be used.

7.2 Supervision of the uplift of tarmac within the RPA of T61 and T62 will ensure that impacts to retained trees are kept to a minimum and any roots encountered will be appropriately dealt with.

General Information and Recommendations

7.3 All trees retained on site will be protected by suitable barriers or ground protection measures around the calculated RPA, crown spread of the tree or other defined constraints of this assessment as detailed by section 6 and 7 of BS5837.

7.4 Barriers will be erected prior to commencement of any construction work and before demolition including erection of any temporary structures. Once installed, the area protected by fencing or other barriers will be regarded as a construction exclusion zone. Fencing and barriers will not be removed or altered without prior consultation with the Project Arboriculturist.

7.5 Any trees that are not to be retained as part of the proposals should be felled prior to the erection of protective barriers. Particular attention needs to be given by site contractors to minimise damage or disturbance to retained specimens.

7.6 Where it has been agreed, construction access may take place within the root protection area if suitable ground protection measures are in place. This may comprise single scaffold boards over a compressible layer laid onto a geo-textile membrane for pedestrian movements. Vehicular

movements over the root protection area will require the calculation of expected loading and the use of proprietary protection systems.

7.7 Confirmation that tree protective fencing or other barriers have been set out correctly should be gained prior to the commencement of site activity.

Tree Protection Barriers

7.8 Tree protection fencing should be fit for the purpose of excluding any type of construction activity and suitable for the degree and proximity of works to retained trees. Barriers must be maintained to ensure that they remain rigid and complete for the duration of construction activities on site.

7.9 In most situations, fencing should comprise typical construction fencing panels attached to scaffold poles driven vertically into the ground. For particular areas where construction activity is anticipated to be of a more intense nature, supporting struts, acting as a brace should be added and fixed into position through the application of metal pins driven into the ground to offer additional resistance against impacts.

7.10 Where site circumstances and the risk to retained trees do not necessitate the default level of protection an alternative will be specified appropriate to the level / nature of anticipated construction activity. The recommended methods of fencing specifications for this site have been illustrated in Appendix B.

7.11 It may be appropriate on some sites to use temporary site offices, hoardings and lower level barrier protection as components of the tree protection barriers. Details of the specific protection barriers for the site can be provided should the application be approved, as part of a site specific Arboricultural Method Statement for a Reserved Matters application and in accordance with the guidance contained within BS5837.

Protection outside the exclusion zone

7.12 Once the areas around trees have been protected by the barriers, any works on the remaining site area may be commenced providing activities do not impinge on protected areas.

7.13 All weather notices should be attached to the protective fencing to indicate that construction activities are not permitted within the fenced area. The area within the protective barriers will then remain a construction exclusion zone throughout the duration of the construction phase of the proposed development. Protection fencing signs can be provided upon request.

7.14 Wide or tall loads etc should not come into contact with retained trees. Banksman should supervise transit of vehicles where they are in close proximity to retained trees.

7.15 Oil, bitumen, cement or other material that is potentially injurious to trees should not be stacked or discharged within 10m of a tree stem. No concrete should be mixed within 10m of a tree. Allowance should be made for the slope of ground to prevent materials running towards the tree.

7.16 No fires will be lit where flames are anticipated to extend to within 5m of tree foliage, branches or trunk, taking into consideration wind direction and size of fire.

7.17 Notice boards, telephone cables or other services should not be attached to any part of a retained tree.

7.18 Any trees which need to be felled adjacent to or are present within a continuous canopy of retained trees, must be removed with due care (it may be necessary to remove such trees in sections).

Protection of Trees Close to the Site

7.19 A number of trees were located on the boundaries of the site and therefore the root protection area and crown spread of these trees will need to be protected in the same way as all the retained trees within the site. All trees located outside the boundaries of the assessment site yet within close proximity to works should be adequately protected during the course of the development by barriers or ground protection around the calculated root protection area.

7.20 Any trees which are to be retained and whose Root Protection Areas may be affected by the development should be monitored, during and after construction, to identify any alterations in quality with time and to assess and undertake any remedial works required as a result.

Protection for Aerial Parts of Retained Trees

7.21 Where it is deemed necessary to operate wide or tall plant within close proximity to trees it is best advised that appropriate, but limited tree surgery, be carried out beforehand to remove any obstructive branches as any such equipment would have potential to cause damage to parts of the crown material, i.e. low branches and limbs, of retained trees within the protective barriers. This is termed as 'access facilitation pruning' within BS5837. Any such pruning should be undertaken in accordance with a specification prepared by an arboriculturist.

7.22 A pre-commencement site meeting with contractors who are responsible for operating machinery is advised to firstly highlight the potential for damage occurring to tree crowns and to ensure that extra care is applied when manoeuvring machinery during such operations within close proximity to retained trees to avoid any contact.

7.23 In the event of having caused any branch or limb damage to retained trees it is strongly recommended that suitable tree surgery be carried out, in accordance with British Standard 3998:2010 and in agreement with the Local Planning Authority prior to correcting the damage, upon completion of development.

8.0 CONCLUSION

8.1 The proposed Junction of Old Vicarage Lane and the A420 will require the removal of three individual trees, one hedgerow, part of another hedgerow, and the partial removal of a single group to facilitate the proposals.

8.2 Whilst the proposals will require the loss of these trees, groups and hedgerows, they will be more than mitigated for through new high-quality tree and hedgerow planting across the wider development as part of the extensive Green Infrastructure proposals.

8.3 Protection for retained trees surrounding the proposals will be provided in the form of tree protection fencing. An area of tarmac uplift within the RPAs of T61 and T62 will be required, this work will be supervised by the Arboricultural Clerk of Works to reduce the impacts to these trees.

FIGURES

This page has been left blank intentionally.

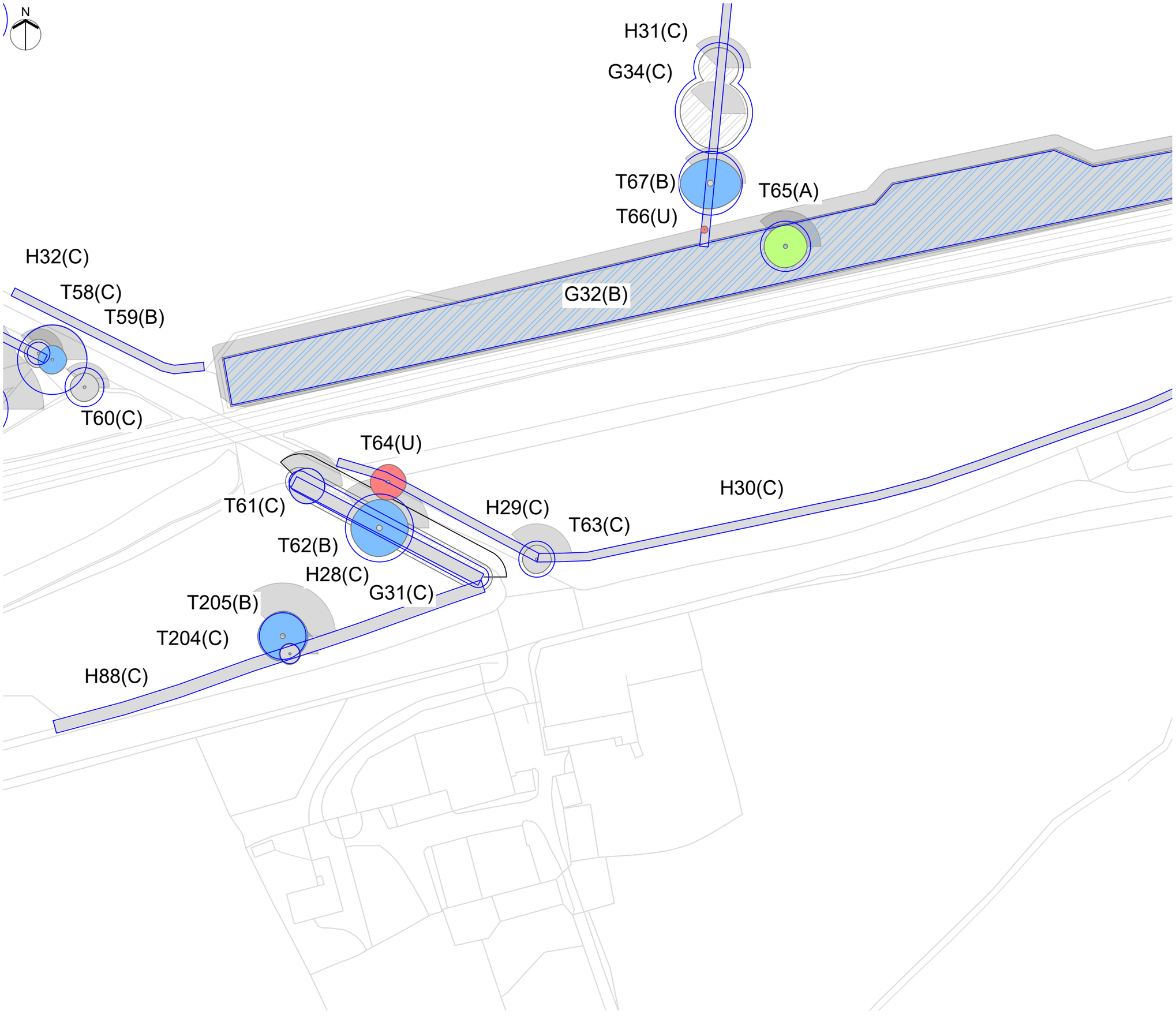

KEY

- Category U - Trees / Groups Unsuitable for Retention (BS 5837:2012)
- Category A - Trees / Groups of High Quality (BS 5837:2012)
- Category B - Trees / Groups of Moderate Quality (BS 5837:2012)
- Category C - Trees / Groups of Low Quality (BS 5837:2012)
- Hedgerow (Colour indicates BS5837:2012 Category)
- Root Protection Area (The RPA has been altered where appropriate to reflect underground constraints)
- T1 (A) G1 (A) — Individual / Group Number and BS5837:2012 Category
- Indicative Shade Pattern (in accordance with BS5837:2012 where appropriate)

Scale 1:1000 @ A3

0 25 50m

NOTES

All dimensions to be verified on site. Do not scale this drawing, use figured dimensions only. All discrepancies to be clarified with project Arboriculturalist. Drawing to be read in conjunction with Arboricultural Assessment and Appendix A - Tree Schedule.

Drawing has been produced in colour and is based on digital information in .dwg format, aerial images and/or GPS location where appropriate. A monochrome copy should not be relied upon. The exact position of individual trees or species included as part of a tree group, woodland or hedgerow should be checked and verified on site prior to any decisions for foundation design, tree operations or construction activity being undertaken. Further survey work would be required for calculating foundation depths.

Trees are living organisms that change over time, the condition of all trees illustrated herein, are to be checked by the project Arboriculturalist should works commence 12 months after the date of this survey.

SOME TREES MAY BE SUBJECT TO STATUTORY CONSTRAINTS. IT IS THEREFORE ADVISED THAT NO WORKS SHOULD BE UNDERTAKEN TO ANY TREES ILLUSTRATED HEREIN WITHOUT FIRST OBTAINING THE RELEVANT AUTHORISATION TO DO SO UNLESS AGREED AS PER THE APPROVED PLANS THROUGH PLANNING CONSENT.

This drawing is the property of FPCR Environment and Design Ltd and is issued on the condition it is not reproduced, retained or disclosed to any unauthorised person, either wholly or in part without written consent of FPCR Environment and Design Ltd. FPCR Environment and Design Ltd accept no liability for third party use.

Ordnance Survey material is used with the permission of The Controller of HMSO, Crown copyright 100019980.

rev	date	description	by
-	25.01.2022	First Issue	AG
A	08.06.2022	H33 Update	MHE
B	24.01.2025	Layout Update	LES

fpcr

masterplanning
environmental assessment
landscape design
urban design
ecology
architecture
arboriculture

FPCR Environment and Design Ltd
Lockington Hall
Lockington
Derby DE74 2RH

t: 01509 672772
e: mail@fpcr.co.uk
w: www.fpcr.co.uk

client
Taylor Wimpey and Vistry

project
Land North of A420 South Marston and Rowborough, Swindon

drawing title
TREE SURVEY PLAN
Junction of Old Vicarage Lane and A420

scale	drawn/checked	date
1:1000 @ A3	AG/ME	January 2022

drawing number **1796-T-07**

rev **B**

CAD file: S:\1700\1796\ARB\January 2022 - Site Clearance\Plans\Tree Survey Plan - Rev B.dwg

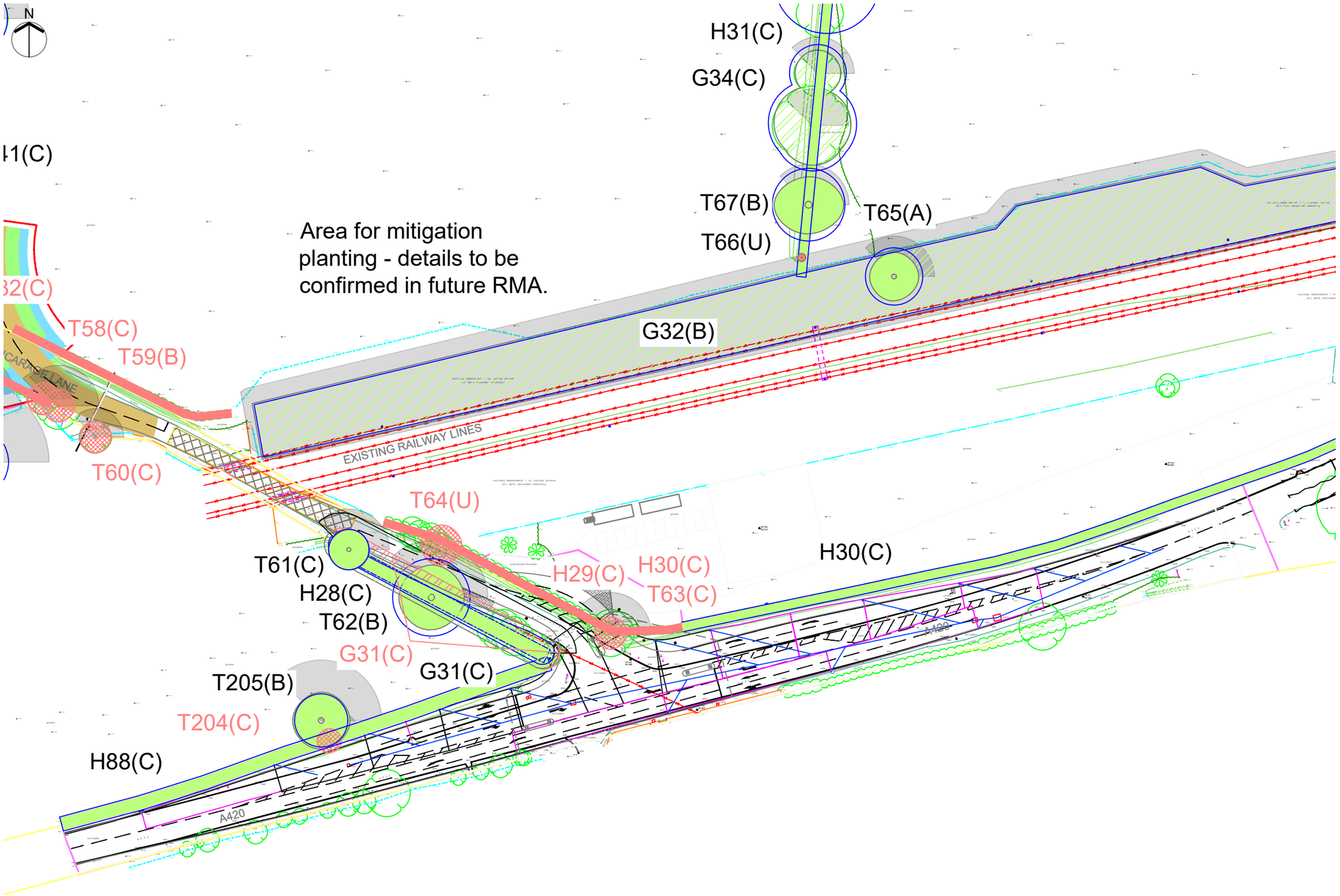

KEY

- Tree/Group to be Retained
- Tree/Group proposed to be removed subject to relevant permissions
- Category U - Unsuitable for retention on arboricultural grounds
- Hedgerow Proposed to be Retained and Incorporated into the New Development
- Hedgerow proposed to be removed subject to relevant permissions
- Root Protection Area (Shown for retained trees only)
- T1 (A) G1 (A) — Individual / Group Number and BS Category
- T1 (A) G1 (A) — Individual / Group Number to be Removed and BS 5837:2012 Category
- Indicative Shade Pattern (in accordance with BS5837:2012 where appropriate)
- A420 Junction Redline Boundary

NOTES

All dimensions to be verified on site. Do not scale this drawing, use figured dimensions only. All discrepancies to be clarified with project Arboriculturalist. Drawing to be read in conjunction with Arboricultural Assessment and Appendix A - Tree Schedule.

Drawing has been produced in colour and is based on digital information in .dwg format, aerial images and/or GPS location where appropriate. A monochrome copy should not be relied upon. The exact position of individual trees or species included as part of a tree group, woodland or hedgerow should be checked and verified on site prior to any decisions for foundation design, tree operations or construction activity being undertaken. Further survey work would be required for calculating foundation depths.

Trees are living organisms that change over time, the condition of all trees illustrated herein, are to be checked by the project Arboriculturalist should works commence 12 months after the date of this survey.

SOME TREES MAY BE SUBJECT TO STATUTORY CONSTRAINTS. IT IS THEREFORE ADVISED THAT NO WORKS SHOULD BE UNDERTAKEN TO ANY TREES ILLUSTRATED HEREIN WITHOUT FIRST OBTAINING THE RELEVANT AUTHORISATION TO DO SO UNLESS AGREED AS PER THE APPROVED PLANS THROUGH PLANNING CONSENT.

This drawing is the property of FPCR Environment and Design Ltd and is issued on the condition it is not reproduced, retained or disclosed to any unauthorised person, either wholly or in part without written consent of FPCR Environment and Design Ltd. FPCR Environment and Design Ltd accept no liability for third party use.

Ordnance Survey material is used with the permission of The Controller of HMSO, Crown copyright 100019980.

rev	date	description	by
-	25.01.2022	First Issue	AG
A	03.02.2022	Key Edit	MHE
H	22.08.2022	Layout Update	MHE
I	10.01.2023	Layout Update:1335/HL/58/107F	MHE
J	20.01.2023	Viewport Scale Update	MHE
K	27.01.2025	Layout update	LES
L	12.11.2025	Inclusion of Mitigation Planting Area	MHE

fpcr

masterplanning
environmental assessment
landscape design
urban design
ecology
architecture
arboriculture

FPCR Environment and Design Ltd
Lockington Hall
Lockington
Derby DE74 2RH

t: 01509 672772
e: mail@fpcr.co.uk
w: www.fpcr.co.uk

client
Taylor Wimpey and Vistry

project
Land North of A420 South Marston and Rowborough, Swindon

drawing title
TREE RETENTION PLAN
Junction of Old Vicarage Lane and A420

scale	drawn/checked	date
1:1000 @ A3	AG/MHE	January 2022

drawing number **1796-T-08** rev **L**

Scale 1:1000 @ A3

0 25 50m

CAD file: S:\1700\1796\ARB\January 2022 - Site Clearance\Plans\Tree Retention Plan - Rev N.dwg

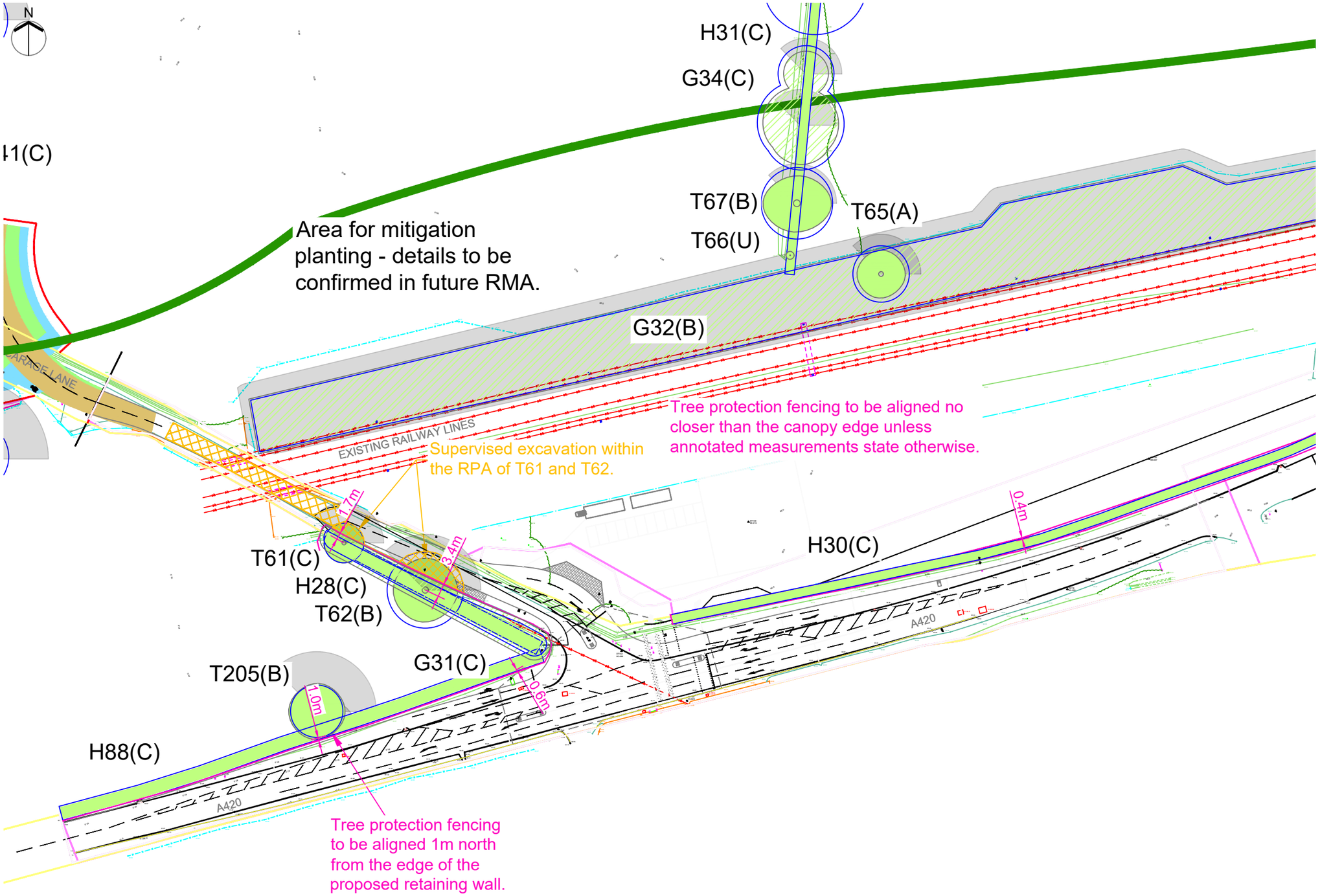

KEY

- Tree/Group to be Retained
- Hedgerow Proposed to be Retained and Incorporated into the New Development
- Root Protection Area (Shown for retained trees only)
- T1 (A) G1 (A) — Individual / Group Number and BS Category
- Indicative Shade Pattern (in accordance with BS5837:2012 where appropriate)
- 6.0m — Line of Protective Barriers (and distance from tree or retained structure)
- Area of Supervised Excavation Within RPA of Retained Trees
- A420 Junction Redline Boundary

Scale 1:1000 @ A3

0 25 50m

NOTES

All dimensions to be verified on site. Do not scale this drawing, use figured dimensions only. All discrepancies to be clarified with project Arboriculturalist. Drawing to be read in conjunction with Arboricultural Assessment and Appendix A - Tree Schedule.

Drawing has been produced in colour and is based on digital information in .dwg format, aerial images and/or GPS location where appropriate. A monochrome copy should not be relied upon. The exact position of individual trees or species included as part of a tree group, woodland or hedgerow should be checked and verified on site prior to any decisions for foundation design, tree operations or construction activity being undertaken. Further survey work would be required for calculating foundation depths.

Trees are living organisms that change over time, the condition of all trees illustrated herein, are to be checked by the project Arboriculturalist should works commence 12 months after the date of this survey.

SOME TREES MAY BE SUBJECT TO STATUTORY CONSTRAINTS. IT IS THEREFORE ADVISED THAT NO WORKS SHOULD BE UNDERTAKEN TO ANY TREES ILLUSTRATED HEREIN WITHOUT FIRST OBTAINING THE RELEVANT AUTHORISATION TO DO SO UNLESS AGREED AS PER THE APPROVED PLANS THROUGH PLANNING CONSENT.

This drawing is the property of FPCR Environment and Design Ltd and is issued on the condition it is not reproduced, retained or disclosed to any unauthorised person, either wholly or in part without written consent of FPCR Environment and Design Ltd. FPCR Environment and Design Ltd accept no liability for third party use.

Ordnance Survey material is used with the permission of The Controller of HMSO, Crown copyright 100019980.

rev	date	description	by
-	26/01/2022	First Issue	MHE
A	25.02.2022	Layout Update	MHE
H	22.08.2022	Layout Update	MHE
I	10.01.2023	Layout Update:1335/HL/58/107F	MHE
J	20.01.2023	Viewport Scale Update	MHE
K	27.01.2025	Layout Update	LES
L	12.11.2025	Inclusion of Mitigation Planting Area	MHE

masterplanning
environmental assessment
landscape design
urban design
ecology
architecture
arboriculture

FPCR Environment and Design Ltd
Lockington Hall
Lockington
Derby DE74 2RH

t: 01509 672772
e: mail@fpcr.co.uk
w: www.fpcr.co.uk

client
Taylor Wimpey and Vistry

project
Land North of A420 South Marston and Rowborough, Swindon

drawing title
TREE PROTECTION PLAN
Junction of Old Vicarage Lane and A420

scale	drawn/checked	date
1:1000 @ A3	MHE/HCK	January 2022

drawing number **1796-T-09** rev **L**

CAD file: S:\1700\1796\ARB\January 2022 - Site Clearance\Plans\Tree Protection Plan - Rev M.dwg

This page has been left blank intentionally.

This page has been left blank intentionally.

Appendix A - Tree Schedule

Measurements	Age Classes	Quality Assessment of BS Category	ULE (relates to BS Category)
Height - Measured using a digital laser clinometer (m)	**YNG**: Establishing, typically with good vigour and fast growth rates and strong apical dominance; c. less than 1/3 life expectancy	**Category U -** Trees in such a condition that they cannot realistically be retained as living trees in the context of the current land use for longer than 10 years.	<10 years
Stem Dia. - Diameter measured (mm) in accordance with Annex C of the BS5837	**SM:** Semi-mature trees less than 1/3 life expectancy	**Category A -** Trees of high quality with an estimated remaining life expectancy of at least 40 years.	40+ years
Crown Radius - Measured using a digital laser clinometer radially from the main stem (m)	**EM:** Established, typically vigorous and increasing in apical height and lateral spread; 1/3 - 2/3 life expectancy. Offers landscape significance	**Category B -** Trees of moderate quality with an estimated remaining life expectancy of at least 20 years.	20-40 years
Abbreviations est - Estimated stem diameter avg - Average stem diameter for multiple stems upto - Maximum stem diameter of a group	**M:** Fully established over 2/3 life expectancy, generally good vigour and achieving full height potential with crown still spreading	**Category C -** Trees of low quality with an estimated remaining life expectancy of at least 10 years, or young trees with a stem diameter below 150mm.	10-20 years
	OM: Fully mature, at the extremes of expected life expectancy, vigour decreasing, declining or moribund	Sub-categories: (i) - Mainly arboricultural value (ii) - Mainly landscape value (iii) - Mainly cultural or conservation value	
	V: biological, cultural or aesthetic value comprising niche saproxylic habitat. Individuals of large proportions (stem girth) in comparison to trees of the same species/surviving beyond the typical age range for their species.	**The BS category particular consideration has been given to the following:** • The presence of any structural defects in each tree/group and its future life expectancy • The size and form of each tree/group and its suitability within the context of a proposed development • The location of each tree relative to existing site features e.g. its screening value or landscape features • Age class and life expectancy	

Structural Condition	Physiological Condition
Good - No significant structural defects	**Good -** No significant health problems
Fair - Structural defects that can be remediated	**Fair -** Symptoms of ill-health that can be remediated
Poor - Significant defects beyond remediation, present a risk of failure in the foreseeable future	**Poor -** Significant ill-health. Unlikely the tree will recover in the long term
Dead - Dead tree with structural integrity of tree severely compromised	**Advanced Decline / Dead -** Advanced state of decline and unlikely to recover or Dead

Root Protection Area (RPA)
• The RPA Radius column provides the extent of an equivalent circle from the centre of the stem (m). • The RPA is calculated using the formulae described in paragraph 4.6.1 of British Standard 5837: 2012 and is indicative of the rooting area required for a tree to be successfully retained. Tree roots extend beyond the calculated RPA in many cases and where possible a greater distance should be protected. • Where veteran trees have been identified the RPA has been calculated in accordance with Natural England guidance i.e. 15x the stem diameter, uncapped.

Appendix Summary

	Individual Trees	Totals	Tree Groups and Hedgerows	Totals
Category U	T2, T3, T23, T29, T32, T33, T46, T47, T50, T54, T64, T66, T68, T85, T91, T104, T107, T108, T120, T121, T123, T124, T129, T136, T143, T146, T147, T149, T151, T153, T155, T156, T157, T166, T175, T176, T177, T179, T180, T198	40	G3, G56	2
Category A	T37, T65, T76, T78, T83, T87, T88, T95, T98, T160, T170, T194	12		0
Category B	T11, T12, T21, T24, T28, T30, T34, T38, T53, T55, T56, T57, T59, T62, T67, T70, T71, T72, T73, T74, T75, T77, T82, T84, T102, T122, T125, T130, T133, T161, T165, T167, T173, T178, T181, T187, T188, T189, T190, T191, T199, T202, T203, T205, T207, T208, T214	47	G1, G4, G6, G7, G13, G19, G20, G21, G22, G24, G32, G33, G39, G40, G41, G44, G45, G46, G50, G51, G55, G60, G61, G63, G64, G68, G72, G74, G76	29
Category C	T1, T4, T5, T6, T7, T8, T9, T10, T13, T14, T15, T16, T17, T18, T19, T20, T22, T26, T27, T31, T35, T36, T39, T40, T41, T42, T43, T44, T45, T48, T49, T51, T52, T58, T60, T61, T63, T69, T79, T80, T81, T86, T89, T90, T92, T93, T94, T103, T105, T109, T110, T111, T112, T113, T116, T118, T119, T126, T127, T128, T131, T132, T134, T135, T137, T138, T140, T141, T142, T144, T145, T148, T150, T152, T154, T158, T159, T162, T163, T164, T168, T169, T171, T172, T174, T182, T183, T184, T185, T186, T192, T193, T195, T196, T197, T200, T201, T204, T206, T209, T210, T211, T212, T213, T215, T216, T217	107	G5, G8, G9, G10, G11, G12, G14, G15, G16, G17, G18, G23, G26, G27, G28, G29, G30, G31, G34, G35, G36, G37, G38, G42, G43, G47, G48, G49, G52, G53, G54, G57, G58, G59, G62, G65, G66, G69, G70, G71, G73, G75, G77, H1, H2, H3, H4, H5, H6, H7, H8, H9, H10, H11, H12, H13, H14, H15, H16, H17, H18, H19, H20, H21, H22, H23, H24, H25, H26, H27, H28, H29, H30, H31, H32, H33, H34, H35, H36, H37, H38, H39, H40, H41, H42, H43, H44, H45, H46, H47, H48, H49, H50, H51, H52, H53, H54, H55, H56, H57, H58, H59, H60, H61, H62, H63, H64, H65, H66, H67, H68, H69, H70, H71, H72, H73, H74, H75, H76, H77, H78, H79, H80, H81, H82, H83, H84, H85, H86, H87, H88, H89, H90,	134
	Total	206	**Total**	165

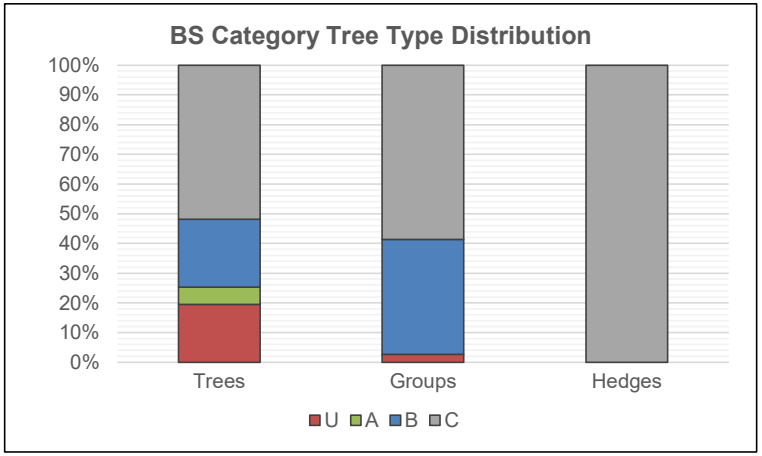

BS Category Tree Type Distribution displays the proportion of trees assessed in each type to enable a better understanding of the category

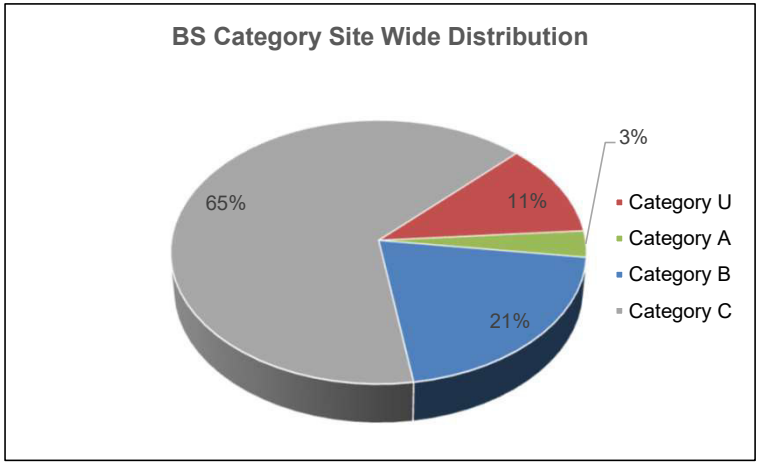

BS Category Site Wide Distribution shows the proportion of trees assessed in each category across the whole site which allows an interpretation of the site's overall quality.

Tree No	Species	Height	Stem Dia.	Crown Radius	Age Class	Overall Condition	Structural Condition	RPA	RPA Radius	BS5837 Cat
INDIVIDUAL TREES										
T1	Common Ash Fraxinus excelsior	7	300	N - 4.0 S - 3.5 E - 3.0 W - 3.0	SM	F	Self set with establishing crown. Located in hedgeline. Unmanaged form with ivy clad stem.	41	3.6	C (i)
T2	Crack Willow Salix fragilis	10	460 460 460	N - 4.0 S - 6.0 E - 6.0 W - 6.0	M	P	Stem positioned within dry ditch. Main stem split from ground level. Poor crown formation to North. Minor broken branches to the West.	N/A	N/A	U
T3	Crack Willow Salix fragilis	10	500	N - 1.0 S - 7.0 E - 5.0 W - 6.0	M	P	Located within drainage ditch. Multiple stem failure with collapsed stems on ground. Poor form with reduced arboricultural and amenity value. Could be reduced down to hedge level and retained as part of hedge.	N/A	N/A	U
T4	Crack Willow Salix fragilis	12	1300	N - 8.0 S - 9.0 E - 8.0 W - 7.0	OM	P	Old pollarded Willow. Large bole with cavities and cracks which provide bat potential. Part collapsed leaders with well established crown. Recommend to be repollarded back to the old pruning wounds and check for bats prior to tree works.	707	Capped at 15m	C (ii)
T5	Sycamore Acer pseudoplatanus	12	300	3	EM	F	No obvious defects	41	3.6	C (i)
T6	Common Ash Fraxinus excelsior	9	270	N - 4.0 S - 4.0 E - 5.0 W - 4.0	EM	F	Northern ground level side stem	33	3.2	C (i)
T7	Common Ash Fraxinus excelsior	10	160 160 160 160 160	N - 3.0 S - 4.0 E -3.0 W - 3.0	EM	F	Original stem failure with regrowth through 5 new stems. Basal sucker growth	58	4.3	C (i)
T8	Common Ash Fraxinus excelsior	9	240 160	3	EM	F	Twin stems above 0.5m. Typical form of species	38	3.5	C (i)
T9	English Oak Quercus robur	7	220	3	EM	F	Typical form of species. Sparse crown noted.	22	2.6	C (i)
T10	English Elm Ulmus procera	7	220 200	4	EM	F	Basal sucker growth	40	3.6	C (i)

Tree No	Species	Height	Stem Dia.	Crown Radius	Age Class	Overall Condition	Structural Condition	RPA	RPA Radius	BS5837 Cat
T11	Field Maple Acer campestre	6	230	4	EM	G	This tree is within the hedgerow. Off-site	24	2.8	B (i)
T12	Field Maple Acer campestre	9	280 240 190	5	M	F	Multistemmed form from close to ground level. Stem fusion/ mid stem	78	5.0	B (i)
T13	Crack Willow Salix fragilis	12	420 310 240 310	8	M	F	Four stems. Pruned on the North side to provide clearance for overhead power lines. Located to East of access drive to farm. Stem bases within 1m of driveway.	193	7.8	C (i)
T14	Crack Willow Salix fragilis	11	420 500	N - 2.0 S - 9.0 E - 7.0 W - 2.0	M	F	Twin stemmed form. Pruned on the South for clearance of overhead power cables. Located to East of access drive to farm. Stem bases within 1m of driveway. Branches pruned for access	193	7.8	C (i)
T15	Crack Willow Salix fragilis	8	230	3	EM	F	Stem bases within 1m of driveway. Branches pruned for access	24	2.8	C (i)
T16	Crack Willow Salix fragilis	12	avg 325	6	M	F	Multiple stems x 7. Located to East of access drive to farm. Stem bases within 1m of driveway. Branches pruned for access	48	3.9	C (i)
T17	Crack Willow Salix fragilis	12	290 360 310 440 240	7	M	F	Multiple stems x 5. Located to East of access drive to farm. Stem bases within 1m of driveway. Branches pruned for access Southern trending leader which bifuricates at 0.5m has failed to the south and it partially hung up in T18. Recommend pollard of whole tree to 2m to reduce the risk of future failure of the remaining leader.	254	9.0	C (i)
T18	Crack Willow Salix fragilis	9	500	3	EM	F	Located to East of access drive to farm. Stem bases within 1m of driveway. Branches pruned for access	113	6.0	C (i)
T19	Crack Willow Salix fragilis	5	330 300 200	N - 4.0 S - 3.0 E - 2.0 W - 1.0	EM	P	Three stems at ground level. Abundance of crown deadwood. Located to East of access drive to farm. Stem bases within 1m of driveway. Branches pruned for access	108	5.9	C (i)
T20	Common Ash Fraxinus excelsior	8	220 250	N - 3.5 S - 3.0 E - 4.0 W - 3.0	EM	F	Twin stemmed from ground level. Located on bank of drainage ditch	50	4.0	C (i)
T21	Beech Fagus sylvatica	10	450	6	M	G/F	Good crown/ branch structure with raised crown. Located offsite (private garden) within managed hedgerow	92	5.4	B (i)

Tree No	Species	Height	Stem Dia.	Crown Radius	Age Class	Overall Condition	Structural Condition	RPA	RPA Radius	BS5837 Cat
T22	Weeping Willow Salix x chrycosoma	14	Est 500	6	M	G	Typical form of species. Located 2m off-site within private garden	113	6.0	C (i)
T23	Hybrid Black Poplar Populus x canadensis	26	1440	N - 15 S - 11 E - 11 W - 15	M	G	The tree has a large crown structure and branch scaffold with low hanging branches. North side of main stem has vertical crack running down from the bole to ground level which is a high stress area. This significantly increases the risk of catastrophic failure.	N/A	N/A	U
T24	English Oak Quercus robur	12	510	N - 5.0 S - 4.0 E - 6.0 W - 5.0	M	G	Symmetric crown/ branch structure. Located within hedgeline. Ivy clad stem. Minor dead wood (aesthetic only)	118	6.1	B (i)
T25							Removed as of 2024 Resurvey			
T26	Beech Fagus sylvatica	12	Est 550	N - 6.0 S - 4.0 E - 6.0 W - 6.0	M	P	Located off site behind stone wall in residential garden. Bifurcated at 4m Ivy growth present. Minor branch damage to East with some dieback and deadwood	137	6.6	C (i)
T27	Common Ash Fraxinus excelsior	10	310 270 250	N - 5.0 S - 4.0 E - 5.0 W - 5.0	M	F	Located off site in raised position. Stem set within stone wall. Multi stem form with typical crown/branch structure. Ivy clad stems Topped at 8m	105	5.8	C (i)
T28	Yew Taxus baccata	8	600 300	N - 7.0 S - 5.0 E - 7.0 W - 3.0	M	F	Located off-site in residential garden. Crown asymmetrical, pruned East side (field)	204	8.0	B (i)
T29	Common Ash Fraxinus excelsior	11	1315	N -4.0 S - 7.0 E - 8.0 W - 9.0	OM	P	Major decay of main structure with branch shedding and leader loss. Limited life expectancy. Major deadwood, woodpecker holes, numerous branch socket cavities, hollowing main lead stem. Possible bat potential which would need further assessment by a suitably qualified ecologist. This tree provides habitat potential. Any remedial works need to take into consideration public safety and the habitat potential	N/A	N/A	U
T30	Horse Chestnut Aesculus hippocastanum	16	1230	N - 8.0 S - 8.0 E - 7.0 W - 7.0	M	F	Strong scaffold with some structural damage and decay in old wounds. Symmetrical crown with open grown habit. Stock fence embedded in stem. No obvious signs of Horse Chestnut Bleeding Canker. Basal suckers	684	14.8	B (i)

Tree No	Species	Height	Stem Dia.	Crown Radius	Age Class	Overall Condition	Structural Condition	RPA	RPA Radius	BS5837 Cat
T31	Common Ash Fraxinus excelsior	16	1050	N - 8.0 S - 7.0 E - 6.0 W - 6.0	M	F	Loss of branches due to storm damage. Fungal bracket (Inonotus hispidus) within central leader with dieback in upper crown. Prominent root buttresses. Branch socket cavities Due to the presence of Inonotus, if this tree is to be retained then appropriate remedial treatment is recommended	499	12.6	C (i)
T32	Goat Willow Salix caprea	6	N/A	6	M	P	Collapsed form and recommendation would be to pollard and retain as part of hedge	N/A	N/A	U
T33	Common Ash Fraxinus excelsior	7	320 120 120	N - 3.0 S - 4.0 E - 3.5 W - 3.0	M	F	Specimen in extensive decline at time of 2022 resurvey. Re-growth from old coppiced stool following past hedgerow management. Multi stemmed form with three main stems from ground level and forming part of the hedgerow. Small stature but original stool large (approximately 650mm)	N/A	N/A	U
T34	English Oak Quercus robur	15	900	N - 7.0 S - 6.0 E - 6.0 W - 7.0	M	F	Visible deadwood and branch damage within crown. Evidence of possible water-logging ground contibuting to the dieback and amount of accumulated deadwood. Recommendation would be to remove deadwood in the interests of safety	366	10.8	B (i)
T35	English Oak Quercus robur	12	820	N - 7.0 S - 8.0 E - 7.0 W - 7.5	M	F	Tearout wound to southern branch at 4m Crown showing decline Visible deadwood and branch damage within crown. Evidence of possible water-logging ground contibuting to the dieback and amount of accumulated deadwood. Recommendation would be to remove deadwood in the interests of safety	304	9.8	C (i)
T36	Common Ash Fraxinus excelsior	8	220 200	N - 4.0 S - 4.0 E - 2.5 W - 3.0	SM	F	Selfset within hedgeline.Twin stem 1m above ground level with moderate stature. Part suppressed to East by T37. Minor branch damage. Minor deadwood.	40	3.6	C (i)
T37	English Oak Quercus robur	15	1000	N - 9.0 S - 7.0 E - 9.0 W - 7.5	M	G	Good crown/branch structure. Minor deadwood (aesthetic only). Prominent specimen	452	12.0	A (i)
T38	English Oak Quercus robur	12	950	N - 4.0 S - 5.5 E - 5.0 W - 6.0	M	F	Good crown/branch structure. Minor deadwood and branch damage associated with tree's maturity. Large bole. Established hedgerow tree. Light Ivy cladding on stem. Burring on lower stem	408	11.4	B (i)

Tree No	Species	Height	Stem Dia.	Crown Radius	Age Class	Overall Condition	Structural Condition	RPA	RPA Radius	BS5837 Cat
T39	Common Ash Fraxinus excelsior	10	Est 750	N - 6.0 S - 4.5 E - 5.0 W - 5.5	M	F/P	Main stem located to West of drainage ditch. Crown indicating signs of decline with decay in old branch wounds. Ivy clad with weighted branch over adjacent highway. Storm damage. Fungal bracket (Inonotus Hispidus) on ground. Recommend tree to be pollarded for safety	254	9.0	C (i)
T40	Common Ash Fraxinus excelsior	9	220 220	N - 5.0 S - 3.5 E - 4.5 W - 3.0	SM	G	Specimen is part of hedgerow and has a form comprising co-dominant stems	44	3.7	C (i)
T41	Common Ash Fraxinus excelsior	8	550	N - 4.0 S - 5.5 E - 4.0 W - 4.0	SM	F	Form comprises a heavily weighted branch to South West. Located within hedgerow. Minor branch degradation. Dense Ivy to 6m	137	6.6	C (ii)
T42	English Oak Quercus robur	14	1200	N - 8.0 S - 6.0 E - 6.0 W - 8.0	M	F	Heavily waterlogged on the northern side at the time of the resurvey. Symmetrical crown structure with visible dieback and major deadwood distribution throughout which may be due to localised waterlogging of the ground. Recommend deadwood to be removed. May need to heavily reduce crown	651	14.4	C (i)
T43	Common Ash Fraxinus excelsior	6	350	N - 3.0 S - 2.5 E - 3.0 W - 3.0	SM	P	Poor form and small structure with central leader exhibiting signs of decline. Broken branches lower crown	55	4.2	C (ii)
T44	Common Ash Fraxinus excelsior	8	850	N - 5.0 S - 2.0 E - 5.0 W - 3.0	M	P	Old pollarded specimen with signs of general decline and decaying thoughtout with a hollow base. Recommend for pruning in the interests of safety (East side overhangs highway)	327	10.2	C (ii)
T45	Common Ash Fraxinus excelsior	9	680	N - 5.5 S -7.0 E - 5.0 W -6.0	M	P	Decaying leader orientated towards highway. Branch damage with visible fungal bracket (Inonotus hispidus). Stem appears to be hollowing. Recommend repollard to remove the decaying leader on safety grounds	209	8.2	C (ii)
T46	Crack Willow Salix fragilis	9	550 320	N - 4.0 S - 4.0 E - 2.0 W - 6.0	M	P	Main leader failed into the field to the northwest of the stem location. Remove specimen.	N/A	N/A	U
T47	Crack Willow Salix fragilis	2	1000	2	M	P	Whole stem failed into the field to the northwest Stump with minor regrowth. Recommended for removal	N/A	N/A	U

Tree No	Species	Height	Stem Dia.	Crown Radius	Age Class	Overall Condition	Structural Condition	RPA	RPA Radius	BS5837 Cat
T48	Crack Willow Salix fragilis	8	220	N - 3.0 S -3.0 E - 3.0 W - 6.0	EM	F	Leaning at 25 degrees to the northwest, recommend coppice to reduce chance of failure. Self set with stem leaning to West. Typical form of species otherwise	22	2.6	C (i)
T49	Crack Willow Salix fragilis	10	Est 320	8	M	P	Collapsed in the past and regrown. Multi stemmed form with three main stems and one cut back on the western side	46	3.8	C (i)
T50	Crack Willow Salix fragilis	13	880	N - 2.0 S - 5.0 E - 7.0 W - 4.0	M	P	Poor form with major failure of main stem. Open wound with structural decay, stem lying on ground. Hollow stem potentially. Recommend pollard to 2m height and remove fallen stem.	N/A	N/A	U
T51	Crack Willow Salix fragilis	11	350 290	N - 5.0 S - 5.0 E - 5.0 W - 6.0	SM	F	Leader snapped 2m above union with stem in field to the northwest, remove failed limb	93	5.5	C (ii)
T52	Goat Willow Salix caprea	7	360 200 350	4	M	F	Typical form of species. Evenly balanced crown. Multiple stems at ground level. Minor deadwood visible. Off-site	132	6.5	C (i)
T53	English Oak Quercus robur	11	830	6	M	G	Symmetrical crown with good crown/branch structure. Minor deadwood (aesthetic only)	312	10.0	B (i)
T54	English Oak Quercus robur	12	900	N - 5.0 S - 8.0 E - 6.0 W - 5.0	M	P	Declining form with visible dieback of the crown especially to the North and West sides. Decaying base of the stem with cavities and in particular major root buttress damage on the South West side. Dieback of the crown would be considered as major due to the majority of the upper crown being dead and of stag headed form especially where the northern side is almost entirely dead. Evidence of active crown retrenchment. Also major bark delamination to South and West sides of the stem for almost full height of the stem	N/A	N/A	U
T55	English Oak Quercus robur	14	970	N - 6.0 S - 6.0 E - 7.0 W - 4.0	M	F	Declining form with visible dieback of the crown especially on the upper eastern side which has a stag headed form. Major deadwood and storm damaged branch material. Canopy overhangs highway. Slightly leaning stem to East. Recommend removal of deadwood on safety grounds	426	11.6	B (i)
T56	English Oak Quercus robur	16	980	N - 5.0 S - 7.0 E - 8.0 W - 7.0	M	G	Symmetrical crown and good balance. Major deadwood on the Northside, with other storm damaged branch material. Ivy clad. Recommend removal of deadwood on safety grounds	434	11.8	B (i)

Tree No	Species	Height	Stem Dia.	Crown Radius	Age Class	Overall Condition	Structural Condition	RPA	RPA Radius	BS5837 Cat
T57	English Oak Quercus robur	14	950	N - 7.0 S - 7.0 E - 6.0 W - 7.0	M	F	Branch tearout wound at 3m on southern aspect, partially occluded Major deadwood on the Northside and some storm damaged branch material. Root plate compaction from livestock and damage to root buttresses on the South West side. Recommend removal of deadwood on safety grounds	408	11.4	B (i)
T58	English Oak Quercus robur	7	270	4	M	F	Ivy to 6m. Generally suppressed form. Broken branches to road side.	33	3.2	C (i)
T59	English Oak Quercus robur	10	840	4	M	P	Broken branches and pruning wounds to road side. Major deadwood. Eastern crown pruned off. Tree showing signs of distress. Dense Ivy throughout tree. Recommend removal of deadwood on safety grounds	319	10.1	B (i)
T60	Goat Willow Salix caprea	7	460	4	M	F	Typical of species. Off site behind fencing.	96	5.5	C (i)
T61	Common Ash Fraxinus excelsior	10	400 170 146	5	M	F	Old coppiced stool. Multi stemmed form with three stems from ground level. Ivy clad.Some broken branches and root suckers. Dense Ivy throughout specimen. Has a snapped sidestem Epicormic growth noted within the canopy, likely as a result of Ash Dieback stress	95	5.5	C (i)
T62	English Oak Quercus robur	14	800	8	M	F	Densely ivy clad. Minor deadwood throughout.	290	9.6	B (i)
T63	Common Ash Fraxinus excelsior	10	240 210 190 150 140	4	M	F	Close to A420. Old coppiced stool. Multi stemmed form with five stems from ground level. Has an understory of elm Showing ash dieback symptoms, high seed loading and epicormic growth within the canopy.	81	5.1	C (i)
T64	Common Ash Fraxinus excelsior	9	260 210 480	5	EM	F	Southern leader dead, major deadwood within the canopy overhanging road. Unmanaged hedgerow stands with poor form and group suppression. Set within hedgeline. Possible large old coppice with three main stems on opposite side of ditch. Light ivy. Part of hedgerow H29 Extensive epicormic growth noted within the canopy, likely as a result of Ash Dieback stress	N/A	N/A	U
T65	Hornbeam Carpinus betulus	10	Est 590	6	M	G	On railway embankment. Evenly balanced form and no obvious defects	157	7.1	A (i)
T66	Crack Willow Salix fragilis	10		1	M	P	Collapsed stems and regrowth in Western side (10m).Recommend pollarding in the interests of safety			U

Tree No	Species	Height	Stem Dia.	Crown Radius	Age Class	Overall Condition	Structural Condition	RPA	RPA Radius	BS5837 Cat
T67	English Oak Quercus robur	10	750	N - 7.0 S - 7.0 E - 8.5 W - 8.5	M	G	Symmetrical crown. Minor deadwood (aesthetic only). Low crown and spreading form. Would recommend crown lifting if needed to suit scheme proposals	254	9.0	B (i)
T68	Common Ash Fraxinus excelsior	12	770	N - 5.0 S - 2.0 E - 4.0 W - 4.5	M	P	Specimen in structural decline with evidence of significant heartwood decay in main stem resulting from failure of the main stem. Dieback and deadwood throughout crown structure. A hollow stem which has an opening leading to internal cavity in a south facing direction. Recommendation would be to pollard at a height of approximately 3m and retain for habitat	N/A	N/A	U
T69	Common Ash Fraxinus excelsior	14	600	N - 6.0 S - 8.0 E - 7.0 W - 6.0	M	F	Minor storm damaged branch material some dieback. Ivy clad with stem located on watercourse bank Epicormic growth noted within the canopy, likely as a result of Ash Dieback stress	163	7.2	C (i)
T70	English Oak Quercus robur	15	650	N - 7.0 S - 8.0 E - 7.0 W - 8.0	M	G	Symmetrical crown. Minor deadwood. Located on site boundary	191	7.8	B (i)
T71	English Oak Quercus robur	13	600	N - 5.0 S - 8.0 E - 8.0 W - 7.0	M	F	Minor deadwood and broken branches. Located West of ditch	163	7.2	B (ii)
T72	English Oak Quercus robur	10	350	N - 3.0 S - 5.0 E - 4.0 W - 6.0	M	F	Suppressed to North by T71. Minor deadwood. Located on site boundary to West of ditch	55	4.2	B (ii)
T73	English Oak Quercus robur	11	650	N - 4.0 S - 5.0 E - 7.0 W - 6.0	M	F	Suppressed to South. Minor deadwood. Located on site boundary. Interlocking crown with T74	191	7.8	B (ii)
T74	English Oak Quercus robur	9	430	N - 3.0 S - 7.0 E - 6.0 W - 5.0	M	F	Located on site boundary to West of ditch. Some minor deadwood. Interlocking growth of crown with T73 &74	84	5.2	B (ii)

Tree No	Species	Height	Stem Dia.	Crown Radius	Age Class	Overall Condition	Structural Condition	RPA	RPA Radius	BS5837 Cat
T75	English Oak Quercus robur	9	400	5	M	F	Form defined by group suppression. Minor deadwood and damaged branches evident. Located at site boundary to West of ditch. Interlocking crown growth with T74	72	4.8	B (ii)
T76	English Oak Quercus robur	15	Est 900	N - 9.0 S - 9.0 E - 8.0 W - 8.0	M	G	Symmetrical crown. Minor deadwood. Located off site west of ditch. Branches overhang into site, prominent specimen	366	10.8	A (i)
T77	English Oak Quercus robur	10	Est 650	N - 6.0 S - 6.0 E - 7.0 W - 6.0	M	F	Located to West of drainage ditch. Dieback and major deadwood visible. Branches overhang site to East. Recommend removing deadwood overhanging the site on safety grounds	191	7.8	B (ii)
T78	English Oak Quercus robur	15	Est 800	N - 9.0 S - 10.0 E - 9.0 W - 10.0	M	G	Symmetrical crown. Minor deadwood. Located off site. Branches overhang into site up to 4m	290	9.6	A (i)
T79	Common Ash Fraxinus excelsior	8	480	N - 3.5 S - 5.0 E - 4.5 W - 3.0	M	F	Located to West of drainage ditch. Past branch reduction westside Ivy on main stem, specimen showing decline.	104	5.8	C (i)
T80	Common Ash Fraxinus excelsior	7	800	5	M	P	Heavily ivy clad structure located on watercourse bank South side. Reduced arboricultural and amenity value but has wildlife value	290	9.6	C (ii)
T81	Field Maple Acer campestre	8	400	4	M	F	Densely ivy clad to full height. South side of ditch. Low crown	72	4.8	C (i)
T82	Field Maple Acer campestre	8	350 380 350	4	M	G	Multiple stems with three main stems from ground level. Typical form of species	176	7.5	B (i)
T83	English Oak Quercus robur	14	1100	N - 8.0 S - 10.0 E - 8.0 W - 6.0	M	F	Unbalanced crown/branch structure with a considerable amount of storm damaged branches, deadwood and dieback. Large weighted branch to South (offsite). Ivy clad stem. The structural features contained within the tree may have potential to provide habitat to support roosting bats, therefore further assessment should be undertaken by a suitably qualified ecologist prior to any tree works being carried out. It would be recommend to remove deadwood and to rebalance the crown	547	13.2	A (i)

Tree No	Species	Height	Stem Dia.	Crown Radius	Age Class	Overall Condition	Structural Condition	RPA	RPA Radius	BS5837 Cat
T84	English Oak Quercus robur	10	810	N - 8.0 S - 3.0 E - 7.0 W - 6.0	M	F	One sided crown/branch structure to the north. Minor deadwood and storm damaged branches. Low branches	297	9.7	B (i)
T85	Common Ash Fraxinus excelsior	8	850	2	M	D	Specimen has failed at 8m leaving a main stem and a small quantity of primary scaffold branches which are extensively decayed. Woodpecker holes present within branches and main stem. Good ecological habitat. The structural features contained within the tree may have potential to provide habitat to support roosting bats, therefore further assessment should be undertaken by a suitably qualified ecologist prior to any tree works being carried out.	N/A	N/A	U
T86	Common Ash Fraxinus excelsior	9	350	N - 5.0 S - 5.0 E - 4.0 W - 5.0	EM	P	Open form and sparse crown. Minor deadwood and some bark damage on main stem	55	4.2	C (ii)
T87	English Oak Quercus robur	14	940	N - 7.0 S - 9.0 E - 9.0 W - 7.0	M	G	Minor deadwood and damaged branches. Exposed root buttresses. South West root butress has some damage and a small cavity. Epicormic growth on stem.	400	11.3	A (i)
T88	English Oak Quercus robur	12	600	7	M	G	Symmetrical crown. Minor deadwood. Some low branches.	163	7.2	A (i)
T89	Field Maple Acer campestre	6	200 150	Up to 3	EM	F	Typical form of species. Twin stem from ground level.	28	3.0	C (i)
T90	Common Ash Fraxinus excelsior	7	200 150	Up to 2	EM	F	Ivy up to 6m. Twin stemmed at ground level. Typical form of species	28	3.0	C (i)
T91	Crack Willow Salix fragilis	13	Est 1000	N - 5.0 S - 5.0 E - 5.0 W - 9.0	M	P	Position of tree is on the bend in the stream course to the north of the stream. Specimen has collapsed and is lying on the ground with only one single stem remaining in a north direction. Ivy clad lower stem. Recommendation would be to pollard the specimen and allow to regenerate growth	N/A	N/A	U
T92	Common Ash Fraxinus excelsior	14	350 350 200 200	5	M	F	Multiple stemmed with four main stems. Light ivy. South side of stream NB. Adjacent (West) a small Field Maple with dense ivy (suppressed form) and other side (East) is a Hazel coppice	147	6.8	C (i)

Tree No	Species	Height	Stem Dia.	Crown Radius	Age Class	Overall Condition	Structural Condition	RPA	RPA Radius	BS5837 Cat
T93	Crack Willow Salix fragilis	13	430 400 390	N - 10.0 S - 8.0 E - 8.0 W - 8.0	M	P	Multi stemmed form. One stem North is horizontal with regrowth	225	8.5	C (i)
T94	English Oak Quercus robur	11	680	N - 4.0 S - 2.0 E - 4.0 W - 4.0	M	P	Hedgerow tree with asymmetrical structure being suppressed to South West. Storm damaged branches with fractures and stubs visible. Stem just offsite	209	8.2	C (ii)
T95	English Oak Quercus robur	16	1200	N - 7.0 S - 7.0 E - 8.0 W - 8.0	M	G	Located off site adjacent to drainage ditch. Some minor storm damaged branches and deadwood	651	14.4	A (i)
T96							Removed as of 2024 Resurvey			
T97							Removed as of 2024 Resurvey			
T98	English Oak Quercus robur	16	950	N - 7.0 S - 8.0 E - 6.0 W - 8.0	M	G	Symmetrical crown. Large shed branch at base South West side (on-site). Minor deadwood. High amount of broken branches and storm damage	408	11.4	A (i)
T99							Removed as of 2024 Resurvey			
T100							Removed as of 2024 Resurvey			
T101							Removed as of 2024 Resurvey			
T102	Horse Chestnut Aesculus hippocastanum	11	650	7	M	G	End tree in a line of trees on private land (Off-site). Three leaders from 2m with a tight union (possible included bark)	191	7.8	B (i)

Tree No	Species	Height	Stem Dia.	Crown Radius	Age Class	Overall Condition	Structural Condition	RPA	RPA Radius	BS5837 Cat
T103	Pear Pyrus communis	10	Est 450	6	M	G	Minor deadwood. Typical form of species. 2m off site	92	5.4	C (i)
T104	Common Ash Fraxinus excelsior	2	500	1	M	P	Only stump remaining	N/A	N/A	U
T105	Common Ash Fraxinus excelsior	5	180	2	Yng	F	In hedgerow H49. Typical form of species with no obvious defects. Minor broken branches	15	2.2	C (i)
T106							Removed as of 2024 Resurvey			
T107	Common Ash Fraxinus excelsior	7	350	N - 4.5 S - 3.0 E - 4.0 W - 2.0	OM	P	Decayed base which would raise concerns for structural stability. Base of the tree contains a major cavity development at ground level North facing entrance. Small stature and declining form with limited useful life expectancy. Service lines to South. Recommend removal on grounds of safety	N/A	N/A	U
T108	Common Ash Fraxinus excelsior	8	450	N - 4.0 S - 3.0 E - 2.5 W - 2.5	OM	P	Declining form with limited useful life expectancy. Failed branch to North Side with exposed heartwood. Fungal Pathogen (Inonotus hispidus) present	N/A	N/A	U
T109	Common Ash Fraxinus excelsior	6	180	N - 3.5 S - 2.5 E - 2.5 W - 2.5	EM	G	Hedgerow tree. Establishing form with good crown/branch structure. Small stature with service lines to South Stem measuremen estimated due to dense vegetation.	15	2.2	C (i)
T110	Common Ash Fraxinus excelsior	6	200 150	3	EM	F	Twin stem form with position within hedgeline which prevented accurate inspection and measurment at the time of the survey. Stem measuremen estimated due to dense vegetation.	28	3.0	C (i)
T111	Common Ash Fraxinus excelsior	7	220 220 220 220 220	4	EM	F	Multi stem form with with position within hedgeline which prevented accurate inspection and measurment at the time of the survey. Stem measuremen estimated due to dense vegetation.	109	5.9	C (i)
T112	Common Ash Fraxinus excelsior	7	720	4	M	F	Mature old pollarded ash located within hedgerow. Decaying stem with strong re-growth from past damage Stem measuremen estimated due to dense vegetation.	235	8.6	C (ii)

Tree No	Species	Height	Stem Dia.	Crown Radius	Age Class	Overall Condition	Structural Condition	RPA	RPA Radius	BS5837 Cat
T113	Common Ash Fraxinus excelsior	9	Est 400	N - 3.0 S - 3.5 E - 5.0 W - 3.0	M	F	Dense ivy growth on the stems and therefore obscurred closer assessment. Recommend a more detailed assessment following ivy clearance. Recommend removing ivy to allow close inspection Stem measuremen estimated due to dense vegetation.	72	4.8	C (i)
T114							Removed as of 2024 Resurvey			
T115							Removed as of 2024 Resurvey			
T116	Common Ash Fraxinus excelsior	9	460	5	M	P	Open form. Ivy present. Epicormic growth noted within the canopy, likely as a result of Ash Dieback stress Positioned South West side of the ditch	96	5.5	C (ii)
T117							Removed as of 2024 Resurvey			
T118	Crack Willow Salix fragilis	17	Est 1200	9	M	F	Old pollard with sizable stem girth. Positioned on the North East side of ditch course. Main stem sub divides at approximately 2m into numerous lead stems. Minor dead wood, storm damage, and broken branches present within the crown. Partial collapse of some stems which have split or completely failed	651	14.4	C (i)
T119	Field Maple Acer campestre	7	360 120	4	M	F	Twin stemmed. South West side of ditch	65	4.6	C (i)
T120	Common Ash Fraxinus excelsior	8	Est 750	4	OM	P	Stump 2.5m and regrowth on top. Partially collapsed. Ivy clad. Recommend pollarding in the interests of safety	N/A	N/A	U
T121	Crack Willow Salix fragilis	9	1000	9	OM	F	Large old collapsed willow pollard. Typically multi leadered form with historic failure where some individual stems have torn away from the main stem. Ivy growth present. It would be recommended to pollard the specimen and retain for habitat	N/A	N/A	U
T122	Sycamore Acer pseudoplatanus	10	420 280 280	N - 5.5 S - 5.0 E - 6.0 W - 4.0	M	G	Good crown/branch structure with three main stems forking at 1.4m	151	6.9	B (ii)

Tree No	Species	Height	Stem Dia.	Crown Radius	Age Class	Overall Condition	Structural Condition	RPA	RPA Radius	BS5837 Cat
T123	Crack Willow Salix fragilis	9		5	OM	P	Totally collapsed, only one stem remaining upright (Southwest). It would be recommended to pollard the specimen and retain for habitat			U
T124	Crack Willow Salix fragilis	12	330 260 300 300	7	OM	P	Multi stemmed form with four main stems. Positioned South West side of ditch. It would be recommended to pollard the specimen and retain for habitat	N/A	N/A	U
T125	Crack Willow Salix fragilis	12	14 x 250	8	M	F	Willow on watercourse bank. Multiple stems with approximately fourteen main stems. Visible minor branch damage. One failed stem on East side-come away from union	396	11.2	B (ii)
T126	Common Ash Fraxinus excelsior	9	330 300 250	4	M	P	Three main stems from past hedgerow laying. Ivy clad. Epicormic growth noted within the canopy, likely as a result of Ash Dieback stress. C.20% of the crown dead.	118	6.1	C (i)
T127	Common Ash Fraxinus excelsior	9	300 250 200	5	M	P	Three main stems from past hedgerow laying. Ivy clad. Epicormic growth and deadwood noted within the canopy, likely as a result of Ash Dieback stress. C.20% of the crown dead.	87	5.3	C (i)
T128	Common Ash Fraxinus excelsior	12	820	N - 6.0 S - 5.0 E - 6.0 W - 6.0	M	P	Evidence of decay and crown dieback. Visible branch damage. Ivy clad Located in water filled drainage ditch.It would be recommended to pollard or heavily crown reduce the crown of the specimen and retain for habitat due to the high amount of crown die back, in the interests of safety	304	9.8	C (ii)
T129	Common Ash Fraxinus excelsior	8	750	N - 3.5 S - 2.5 E - 4.0 W - 4.0	OM	P	Poor crown structure from past leader loss of leader at 7m. Decaying and possibly hollowing stem. Located within hedgeline with drainage ditch to North. It would be recommended to pollard the specimen and retain for habitat Stem measuremen estimated due to dense vegetation.	N/A	N/A	U
T130	English Oak Quercus robur	11	550	N - 5.0 S - 5.5 E - 5.0 W - 6.0	M	F	Minor deadwood. Ivy encroaching into the crown. Typical of species	137	6.6	B (ii)
T131	Common Ash Fraxinus excelsior	7	250 220 250	N - 3.0 S - 3.0 E - 3.5 W - 3.5	EM	F	Established hedgerow tree. Form defined by past laying. Small stature with minor bark damage from browsing livestock Stem measuremen estimated due to dense vegetation.	78	5.0	C (i)
T132	Scots Pine Pinus sylvestris	7.5	390	N - 2.0 S - 2.5 E - 4.0 W - 3.0	M	F	Minor branch damage to East. Located in hedgeline	69	4.7	C (i)

Tree No	Species	Height	Stem Dia.	Crown Radius	Age Class	Overall Condition	Structural Condition	RPA	RPA Radius	BS5837 Cat
T133	English Oak Quercus robur	11	640	7	M	F	Some storm damage and deadwood. Slight stagheaded form	185	7.7	B (i)
T134	Common Ash Fraxinus excelsior	7	200 190 170	4	M	F	Establishing hedgerow tree with symmetrical crown. Multi stem form created from past hedgerow management	48	3.9	C (i)
T135	Common Ash Fraxinus excelsior	7	170 170 170 170	3	EM	F	Establishing hedgerow tree with symmetrical crown. Multi stem form from past hedgerow management	52	4.1	C (i)
T136	Common Ash Fraxinus excelsior	9	500	4	M	P	Declining form with dieback of central leaders. Adjacent to drainage ditch with minor lean to East. Woodpecker holes visible. Fungal pathogen Inonotus hispidus present on lower stem. It would be recommended to pollard the specimen and retain for habitat	N/A	N/A	U
T137	Common Ash Fraxinus excelsior	7	600	N - 3.5 S - 3.0 E - 4.5 W - 3.0	OM	P	Poor form with heartwood decay and 2m of hollow. Small stature with limited useful life expectancy. Fungal pathogen Inonotus hispidus present. It would be recommended to pollard the specimen and retain for habitat Minimal ash dieback symptoms noted, good bud presence. Possible future veteran due to extent of decay, currently not enough qualifying features to warrant classification.	163	7.2	C (ii)
T138	Common Ash Fraxinus excelsior	6.5	400	N - 2.0 S - 4.0 E - 5.0 W - 4.5	M	P	Specimen consists of mainly re-growth from an original stool. Structural form poor with evidence of branch collapse and some outer dieback. Stagheaded form developing with visible branch socket cavities also developing. Evidence of a woodpecker hole on the west side. May have potential to support roosting bats in the structural features present and this would require further assessment by a suitably qualified ecologist	72	4.8	C (ii)
T139							Removed as of 2024 Resurvey			
T140	Common Ash Fraxinus excelsior	9	350	N - 5.0 S - 4.0 E - 4.0 W - 3.0	M	P	Form is bifurcated at approximately 2m. Visible damage to the bark of several limbs. Crown also contains a high quantity of deadwood and damaged branches with some visible wood decay in exposed areas. Woodpecker holes. Sucker growth at base. Exposed heartwood with visible surface decay in an Eastern limb Epicormic growth noted within the canopy, likely as a result of Ash Dieback stress	55	4.2	C (ii)

Tree No	Species	Height	Stem Dia.	Crown Radius	Age Class	Overall Condition	Structural Condition	RPA	RPA Radius	BS5837 Cat
T141	Common Ash Fraxinus excelsior	9	450	4	M	F	Hedgerow tree. Ivy clad. Minor branch damage Epicormic growth and a high seed loading noted within the canopy, likely as a result of Ash Dieback stress	92	5.4	C (i)
T142	Common Ash Fraxinus excelsior	8	300	4	M	F	Hedgerow tree comprising an old coppice stool and one remaining stem. Ivy clad. Minor branch damage	41	3.6	C (i)
T143	Common Ash Fraxinus excelsior	9	450	5	OM	P	Declining structure with missing bark on the West face and exposed decaying heartwood. Basal sucker growth. Fungal pathogen Inonotus hispidus present. It would be recommended to pollard the specimen and retain for habitat	N/A	N/A	U
T144	Common Ash Fraxinus excelsior	7	450	N - 1.5 S - 4.5 E - 4.0 W - 3.0	M	P	Heavily ivy clad hedgerow tree. Poor crown/branch structure with visible damage and deadwood Epicormic growth and a high seed loading noted within the canopy, likely as a result of Ash Dieback stress	92	5.4	C (ii)
T145	Common Ash Fraxinus excelsior	10	500	N - 5.5 S - 4.0 E - 4.5 W - 4.5	M	F	Established tree from old coppice stool. Ivy clad to 6m. Minor branch wounds Epicormic growth and a high seed loading noted within the canopy, likely as a result of Ash Dieback stress	113	6.0	C (i)
T146	Common Ash Fraxinus excelsior	7.5	200	N - 3.0 S - 4.0 E - 4.5 W - 1.5	EM	F	Extensive Ash dieback symptoms present	N/A	N/A	U
T147	Common Ash Fraxinus excelsior	7.0	180	N - 3.0 S - 1.0 E - 1.5 W - 3.0	EM	P	Extensive Ash dieback symptoms present	N/A	N/A	U
T148	Hawthorn Crataegus monogyna	5.5	180	N - 3.0 S - 3.5 E - 1.5 W - 1.5	M	P	Established tree with reduced form and suppressed crown to the West	15	2.2	C (ii)
T149	Common Ash Fraxinus excelsior	7.5	200	N - 4.0 S - 4.0 E - 3.0 W - 3.0	EM	F	Extensive Ash dieback symptoms present	N/A	N/A	U

Tree No	Species	Height	Stem Dia.	Crown Radius	Age Class	Overall Condition	Structural Condition	RPA	RPA Radius	BS5837 Cat
T150	Common Ash Fraxinus excelsior	7.5	200	N - 4.0 S - 2.0 E - 3.5 W - 3.0	EM	F	Hedgerow tree. Minor level of branch damage and basal sucker growth Specimen in decline, likely due to ash dieback, but not to the extent of the surrounding specimens.	18	2.4	C (i)
T151	Common Ash Fraxinus excelsior	7.5	200	3	EM	F	Extensive Ash dieback symptoms present	N/A	N/A	U
T152	Common Ash Fraxinus excelsior	8	200	N - 3.5 S - 2.5 E - 3.0 W - 3.5	EM	F	Hedgerow tree. Minor level of branch damage Specimen in decline, likely due to ash dieback, but not to the extent of the surrounding specimens.	18	2.4	C (i)
T153	Common Ash Fraxinus excelsior	7	230	N - 3.0 S - 2.4 E - 4.5 W - 2.0	EM	P	Dead standing specimen	N/A	N/A	U
T154	Field Maple Acer campestre	5	170	3	EM	G	Good form hedgerow specimen	13	2.0	C (i)
T155	Common Ash Fraxinus excelsior	6	500	1	M	F	Specimen has failed at 4m with a small quantity of branch material remaining.	N/A	N/A	U
T156	Crack Willow Salix fragilis	9	1000	N - 5.0 S - 5.0 E - 5.0 W - 3.5	OM	P	Poor form, multiple failed stems-split away from the bole. Aesthetically poor but wildlife value. It would be recommended to pollard the specimen and retain for habitat	N/A	N/A	U
T157	Common Ash Fraxinus excelsior	11	800	N - 6.0 S - 6.0 E - 6.5 W - 3.0	M	P	In decline with visible decay in main structure. Cavity in buttress with branch shedding and major deadwood. Woodpecker holes visible, evidence of basal hollowing. Bird box on stem. It would be recommended to pollard the specimen and retain for habitat	N/A	N/A	U
T158	Common Ash Fraxinus excelsior	8	320	N - 3.5 S - 4.0 E - 4.5 W - 0.5	M	P	Fair to poor branch structure from suppression to West. Part leaning with one sided crown growth	46	3.8	C (i)

Tree No	Species	Height	Stem Dia.	Crown Radius	Age Class	Overall Condition	Structural Condition	RPA	RPA Radius	BS5837 Cat
T159	Common Ash Fraxinus excelsior	10	320	N - 5.0 S - 5.0 E - 4.5 W - 4.0	M	F	Established hedgerow tree from old layed stand. Regrowth from one stem with fair crown/branch structure. Sucker growth at base	46	3.8	C (i)
T160	Common Ash Fraxinus excelsior	9	1390	N - 5.5 S - 6.5 E - 6.0 W - 5.0	V	P	Sizable stem diameter of old field boundary pollard with extensive internal hollowing extending from the open upper to ground level. Regrowth from the 2m high main stem has developed around the edges of the original pollarding point and has formed the current crown. West facing entrance to hollow all the way to ground level. A recommendation would be to either crown reduce to lessen windsail or phased re-pollard to prevent any structural collapse thereby maintaining tree in the future as a resource for local wildlife. A veteran tree with value to landscape and nature conservation Epicormic growth noted within the canopy, likely as a result of Ash Dieback stress	1366	20.9	A (iii)
T161	Field Maple Acer campestre	8	460	N - 5.5 S - 4.0 E - 5.0 W - 4.0	M	F	Established hedgerow tree. Dense sucker growth at base Good multi-stem form	96	5.5	B (ii)
T162	Common Ash Fraxinus excelsior	10	870	6	OM	P	Main stem decaying with re-growth from old pollard at 2.5m. Hollowed out main stem with partial opening on East side. Multiple leaders. Hedgerow tree with habitat value	342	10.4	C (ii)
T163	Crack Willow Salix fragilis	16	1130	10	M	F	Multi leadered from bole with a dense branch structure. Other stem previously failed	578	13.6	C (i)
T164	Crack Willow Salix fragilis	8	1000	N - 7.0 S - 8.0 E - 8.0 W - 6.0	OM	P	Old pollard from a 2m stem with 6m of regrowth. Main stem is hollow stem. It would be recommended to pollard the specimen and retain for habitat	452	12.0	C (ii)
T165	Common Ash Fraxinus excelsior	14	650	N - 5.0 S - 6.0 E - 7.0 W - 6.0	M	F	Symmetrical crown Minor deadwood (aesthetic only). Bifurcated at 3m. On ditch/stream side	191	7.8	B (ii)
T166	Common Ash Fraxinus excelsior	10	750	N - 6.0 S - 3.0 E - 9.0 W - 2.0	M	P	Old pollard with regrowth from old branch wounds.Hollowing out of main stem from bole. Multiple leaders. Crown Interlocked with T167. It would be recommended to pollard the specimen and retain for habitat	N/A	N/A	U

Tree No	Species	Height	Stem Dia.	Crown Radius	Age Class	Overall Condition	Structural Condition	RPA	RPA Radius	BS5837 Cat
T167	English Oak Quercus robur	12	800	N - 6.0 S - 6.0 E - 3.0 W - 8.0	M	F	Fair crown/branch structure despite suppression to East. Minor lean to West. Minor deadwood throughout crown (aesthetic only). Crown interlocking with T166	290	9.6	B (ii)
T168	Crack Willow Salix fragilis	8	1200	5	OM	F	Pollarded with 150mm regrowth present above pollard point.	651	14.4	C (ii)
T169	Crab Apple Malus sylvestris	8	390 300 310	N - 4.5 S - 4.0 E - 4.0 W - 5.0	M	F	Good form with well established crown. Multiple leaders with three sub-dividing from 0.5m height. One stem has fallen, which is a fourth stem on the South side	153	7.0	C (i)
T170	English Oak Quercus robur	14	980	N - 8.0 S - 8.0 E - 9.0 W - 8.0	M	F	Large amount of deadwood and dieback. Stagheaded form and appears in decline.Woodpecker holes visible	434	11.8	A (i)
T171	English Oak Quercus robur	7	520	N - 3.0 S - 3.0 E - 5.0 W - 5.0	OM	P	Stag head structure with large amounts of deadwood. Ivy growth present	122	6.2	C (ii)
T172	Crack Willow Salix fragilis	6	500	7	OM	P	Fallen apart from ground level. Would recommend to be coppiced as part of the hedge Fallen stem with 100-150mm of regrowth along the length of the horizontal stem.	113	6.0	C (ii)
T173	Field Maple Acer campestre	10	avg 270	5	M	G	Established hedgerow tree with good crown/branch structure. Multiple leaders from past coppicing Minor broken branches.No obvious defects	33	3.2	B (i)
T174	Crack Willow Salix fragilis	9	650	4	M	F	Pollarded with 150mm regrowth present above pollard point.	191	7.8	C (i)
T175	Common Ash Fraxinus excelsior	2	600	2	M	P	2m tall main stem which has failed, wth 100mm of regrowth present from the failure point.	N/A	N/A	U
T176	Common Ash Fraxinus excelsior	17	900	N - 7.0 S - 5.0 E - 4.0 W - 8.0	M	P	Poor form from past leader loss and continuing decline. Cavity and wood decay central stem (North side) with crack. Remaining leader likely to fail. It would be recommended to pollard the specimen and retain for habitat	N/A	N/A	U

Tree No	Species	Height	Stem Dia.	Crown Radius	Age Class	Overall Condition	Structural Condition	RPA	RPA Radius	BS5837 Cat
T177	Common Ash Fraxinus excelsior	Up to 9	500	5	M	P	Dead specimen. Original stem has failed at 4m with regrowth above. One remaining original lateral at low level. Open hollow stem.	N/A	N/A	U
T178	Common Ash Fraxinus excelsior	Up to 10	1200	7	OM	F	Old pollarded specimen at approximately 2m above ground level with regrowth of numerous leaders. Evidence of hollowing. It would be recommended to pollard the specimen and retain for habitat Possible future veteran specimen No major epicormic growth noted within the canopy, good bud presence	651	14.4	B (i)
T179	Goat Willow Salix caprea	5		6	OM	P	Collapsed form with some stems remaining standing. It would be recommended to pollard the specimen and retain for habitat			U
T180	Dead	8		NA	OM	D	Dead			U
T181	English Oak Quercus robur	10	590	6	M	F	Triple leadered form from 1.5m. Positioned directly on road side. Noted broken branches on road side as well as dead wood throughout the crown. Ivy on all stems to a height of approximately 5m	157	7.1	B (i)
T182	Common Ash Fraxinus excelsior	9	280	4	EM	F	Typical form of species. No obvious defects. Road side position	35	3.4	C (i)
T183	English Oak Quercus robur	8	570	5	M	F	Stressed overall appearance of growth and form. Noted particularly short external growth. Some storm damaged branches and deadwood within the crown	147	6.8	C (i)
T184	Goat Willow Salix caprea	6	180 160	3	M	F	Twin stemmed from 0.5m above ground level. Leaning stem to West. Stubs from past pruning	26	2.9	C (i)
T185	Common Ash Fraxinus excelsior	11	310 290	5	M	G	Twin stemmed from ground level. Typical form. Significant epicormic growth and high seed loading noted within the canopy, likely as a result of Ash Dieback stress. Bud presence c.50%.	82	5.1	C (i)

Tree No	Species	Height	Stem Dia.	Crown Radius	Age Class	Overall Condition	Structural Condition	RPA	RPA Radius	BS5837 Cat
T186	Crack Willow Salix fragilis	14	avg 315	N - 8.0 S - 8.0 E - 9.0 W - 9.0	M	F	Located at base of old drainage ditch. Multiple stemmed form with seven main stems including one stem that has collapsed. Major deadwood and broken branches thoughout. Low crown also. Eastern leader has recently failed into the field - consider pollarding the specimen to reduce likelihood of further failures and to retain tree in the long term.	45	3.8	C (i)
T187	English Oak Quercus robur	12	820	N - 5.0 S - 9.0 E - 7.0 W - 6.0	M	G	Located within hedgeline. Minor deadwood (aesthetic only). Typical form of species	304	9.8	B (ii)
T188	English Oak Quercus robur	11	850	N - 5.0 S - 5.0 E - 6.0 W - 6.0	M	F	Large amount of deadwood throughout crown and storm damaged branches with fractured stubs. Prominent root buttresses and basal flaring. Active retrenchment with some staghead development	327	10.2	B (ii)
T189	Field Maple Acer campestre	10	370 340	N - 6.0 S - 3.0 E - 6.0 W - 4.0	M	G	Twin stem at ground level. Typical form of species. Located in hedgerow Ivy clad stem and main branches to almost full height. Leaning stem to North East	114	6.0	B (i)
T190	Common Ash Fraxinus excelsior	11	340 300 330 270 270	N - 8.0 S - 6.0 E - 7.0 W - 5.5	M	F	Five main stems define form. Set within hedgeline. Possible coppiced form from close to ground level. Minor deadwood Epicormic growth noted within the canopy, likely as a result of Ash Dieback stress	208	8.1	B (ii)
T191	Common Ash Fraxinus excelsior	11	Est 600	6	M	F	Established tree within hedgeline. Ivy growth	163	7.2	B (ii)
T192	Common Ash Fraxinus excelsior	9	330	5	EM	F	Symmetrical crown with no obvious defects Epicormic growth noted within the canopy, likely as a result of Ash Dieback stress	49	4.0	C (i)
T193	Crack Willow Salix fragilis	9	Plus 1000	N - 4.0 S - 2.5 E - 3.0 W - 2.0	OM	P	Old lapsed coppice with collapsed and decaying stem. Nesting boxes attached to stem North side	452	12.0	C (ii)
T194	English Oak Quercus robur	9	520	N - 5.0 S - 4.0 E - 4.0 W - 5.0	M	G	Isolated specimen located 30m into field parcel. Evenly balanced form.No obvious defects. Standing water surrounding specimen c.150mm deep in places, extending upto 25m from stem. On the northern aspect.	122	6.2	A (i)

Tree No	Species	Height	Stem Dia.	Crown Radius	Age Class	Overall Condition	Structural Condition	RPA	RPA Radius	BS5837 Cat
T195	English Oak Quercus robur	14	850	N - 5.0 S - 5.0 E - 6.0 W - 4.0	M	F	Major dieback and deadwood throughout crown with developing stagheaded form. Bifurcated at 3m.. It would be recommended to remove dead wood in the interests of safety	327	10.2	C (i)
T196	Common Ash Fraxinus excelsior	8	230 160 200 140	4	SM	F	Multi stemmed form. Set within hedgeline.	62	4.5	C (i)
T197	English Oak Quercus robur	6	250	4	EM	G	Typical form of species. No obvious defects. Within hedgerow	28	3.0	C (i)
T198	Ash Fraxinus excelsior	12	520	N - 4.5 S - 3.0 E - 4.0 W - 4.0	M	F	Storm damage branches and crown dieback. Branch socket cavities visible. Fungal brackets of Inonotus hispidus present Specimen in extensive decline likely due to ash dieback.	N/A	N/A	U
T199	English Oak Quercus robur	9	500	N - 4.0 S - 5.0 E - 6.5 W - 5.5	M	G	Evenly balanced crown. Minor deadwood	113	6.0	B (i)
T200	Crack Willow Salix fragilis	8	500	N - 5.0 S - 5.0 E - 4.0 W - 4.0	M	F	Bifurcated at 1.5m with two leaders. Some branch damage. Located within hedgeline. It would be recommended to pollard the specimen and retain for habitat	113	6.0	C (i)
T201	Crack Willow Salix fragilis	6	300	N - 4.0 S - 3.5 E - 3.0 W - 3.5	EM	F	Located in hedgeline. No obvious defects	41	3.6	C (i)
T202	English Oak Quercus robur	12	650	6	M	G	Established hedgerow tree with good crown/branch structure. Minor deadwood	191	7.8	B (i)
T203	English Oak Quercus robur	7	280	4.5	M	F	Small stature with distorted stem from past suppression	35	3.4	B (ii)
T204	English Elm Ulmus procera	8	240	3	EM	F	Major Pruning wound at 1.5m on southern aspect, partially occluded. Located immediately south of drainage ditch c.4m north of road kerb	26	2.9	C (i)
T205	Goat Willow Salix caprea	15	300 320 250 220	7	M	F	Located 3m north of drainage ditch to the north of the A420 Multileadered from 1m First southern trending branch at 5m	137	6.6	B (i)

Tree No	Species	Height	Stem Dia.	Crown Radius	Age Class	Overall Condition	Structural Condition	RPA	RPA Radius	BS5837 Cat
T206	Ash Fraxinus excelsior	9	upto 300 310 280	N - 4 S - 4 E - 1 W - 4	EM	F	Tree No. T1 Priory Lodge Survey Established ivy cover Minor dead wood evident in the crown (<75mm) Multi leadered form Located next to the road within residential garden. Crown looks low on bud count. Small individual suppressed by neighbouring Leyland. Scrappy individual.	120	6.2	C (i)
T207	Leyland Cypress Cupressocyparis leylandii	11	upto 550 520	5	M	F	Tree No. T2 Priory Lodge Survey Multi stemmed from base Pruning wounds noted Good screening value. Both stems start to bifurcate at 1.5 stem measurements taken just below bifurcation. Located next to the road within residential garden. Crown is managed to 5m over road side	259	9.1	B (i)
T208	English Oak Quercus robur	9	upto 550	6	EM	F	Tree No. T3 Priory Lodge Survey Established ivy cover Minor dead wood evident in the crown (<75mm) Crown managed to 5m over road side Located next to the road in residential verge. Small unremarkable hawthorn growing beneath stem <75mm.	137	6.6	B (i)
T209	Common Ash Fraxinus excelsior	9	270	N - 4.0 S - 4.0 E - 5.0 W - 4.0	EM	F	Typical form for species. Set witin boundary hedgerow.	33	3.2	C (i)
T210	Common Ash Fraxinus excelsior	7	120 120 120	3	EM	F	Typical form for species. Set witin boundary hedgerow Multi stem from ground level	20	2.5	C (i)
T211	Crack Willow Salix fragilis	8	310	4	EM	F	Characteristic for species Set adjacent to ditch	43	3.7	C (i)
T212	Goat Willow Salix caprea	9	450	5	EM	F	Within site boundary group, unable to access	92	5.4	C (i)

Tree No	Species	Height	Stem Dia.	Crown Radius	Age Class	Overall Condition	Structural Condition	RPA	RPA Radius	BS5837 Cat
T213	Hawthorn Crataegus monogyna	5	200	2	EM	F	Characterisitic for species Most southerly tree on access track	18	2.4	C (i)
T214	Horse Chestnut Aesculus hippocastanum	12	upto 800	5	M	F	Specimen located 3m west of footpath. Small quantity of epicormic growth at the base of the tree. Lowest branch height 2.5m.	290	9.6	B (i)
T215	Hawthorn Crataegus monogyna	5	upto 200	3	EM	G	Isolated specimen to the south west of track. Specimen has been pruned on the north eastern aspect in the past for track clearance to a height of 3 m unmanaged thereon.	18	2.4	C (i)
T216	Elder Sambucus nigra	4	upto 7x 80	2.5	SM	F	Self seeded specimen within field parcel. Unremarkable multi stemmed from ground level form.	20	2.5	C (i)
T217	Ash Fraxinus excelsior	12	upto 500	7	M	F	Ash specimen located within H70. Compacted track located 1.5m south of tree. Good open grown form with some signs of ash dieback including epicormic growth within the canopy. Adjacent offsite early mature ash show significant decline so category C warranted. Powerlines within falling distance to the south of the tree.	113	6.0	C (i)

Group No	Species	Height	Stem Dia.	Crown Radius	Age Class	Overall Condition	Structural Condition	RPA	RPA Radius	BS5837 Cat
GROUPS OF TREES										
G1	Yew Taxus baccata	8	480	N - 4.0 S - 3.0 E - 2.0 W - 2.0	M	F	Three main trees with one dead tree. Located within garden with fair form. Group suppression to East and West	104	5.8	B (ii)
G2							Group removed as of January 2022 survey			
G3	Apple Malus domestica	7	400	3	M	P	Only the apple remains of the group, the two pears have snapped main leaders at c.2m One specimen located in the field parcel. Declining condition with decay and structural damage. Apple has fungal pathagen (Inonotus hispidus) and is catorgorised as U	N/A	N/A	U
G4	Silver Birch Betula pendula Weeping Willow Salix x chrycosoma	11	500	3.5	Y-M	F	Ornamental planting located in neighbouring garden. Establishing trees Evidence of management with minimal crown encroachment into site (2m).	113	6.0	B (ii)
G5	Cypress- Chamaecyparis sp.	10	350	3	SM-M	F	Conifer screening located off site in neighbouring garden. Positioned on raised bank. Good form with minor canopy encroachment. 6 trees to the south of TG6 and 2 trees to the north	55	4.2	C (i)
G6	Crack Willow Salix fragilis	12	400 540 400 690	N - 5.5 S - 5.5 E - 9.0 W - 9.0	M	F	Located to West of drainage ditch in part raised position. Evidence of past leader damage with broken branches within crown. Fair condition despite damage. Canopies overhang site to East.One South end twin stem at ground level. Up to 4m crown spread onto site	492	12.5	B (ii)
G7	English Oak Quercus robur Common Ash Fraxinus excelsior	10	Est 200	Up to 4	EM	G	On site. No obvious defects. Interlocking crowns. Typical forms of species	18	2.4	B (i)
G8	Hawthorn Crataegus monogyna Contorted Crack Willow Salix fragilis	7	Est 250	3	M	F	Off site over fence. Typical form of species. No obvious defects	28	3.0	C (i)

Group No	Species	Height	Stem Dia.	Crown Radius	Age Class	Overall Condition	Structural Condition	RPA	RPA Radius	BS5837 Cat
G9	Field Maple Acer campestre Hawthorn Crataegus monogyna	7	upto 350	3	M	F	Lots of hedgerow hawthorn and some additional fruit trees, elder and bramble. Overgrown and unmanaged group	55	4.2	C (i)
G10	Apple Malus domestica	5	upto 440	4	M	P	Old small area of orchard trees with varying level of decay, deadwood and damage. Only four trees left. Overall unmanaged form with reduced arboricultural value. Some have been felled. Some of the group are category U. Eastern tree failed but still alive	88	5.3	C (ii)
G11	Cypress- Chamaecyparis sp.	6	250	N - 2.0 S - 2.0 E - 2.5 W - 2.5	SM	G	Conifer screening with encroaching canopies from minimal management	28	3.0	C (i)
G12	Crack Willow Salix fragilis	13	600	5	M	F	Located within garden with one of the group having a poor crown formation due to storm damage. One Willow has been pruned to clear utility lines. 2m off site	163	7.2	C (ii)
G13	Common Ash Fraxinus excelsior English Oak Quercus robur	10	400	5	M	G	Good condition with minor suppression to group. Located within garden with part managed canopy to south for clearance over adjacent track. Light ivy growth on some stems	72	4.8	B (i)
G14	Cypress- Chamaecyparis sp.	4	200	1.5	M	G	Conifer screening with reduced height to control upward growth. Maintained form	18	2.4	C (i)
G15	Common Ash Fraxinus excelsior Horse Chestnut Aesculus hippocastanum Field Maple Acer campestre	8	310	6	M	F	1 x Large Horse Chestnut - multi stem 250x240x220x200x250 1 x Small Horse Chestnut has failed (U) Ash and Field Maple have typical form of their species with no obvious defects	43	3.7	C (i)
G16	Crack Willow Salix fragilis	12	360 310 330 220	7	OM	P	On opposite side of ditch. Most northerly tree has collapsed at bole with one stem remaining. The group have some storm damage and broken branches and some stems are ivy clad. It would be recommended to pollard the specimens and retain for habitat	173	7.4	C (i)

Group No	Species	Height	Stem Dia.	Crown Radius	Age Class	Overall Condition	Structural Condition	RPA	RPA Radius	BS5837 Cat
G17	Crack Willow Salix fragilis	12	Av 500	7	M	P	Eastern most individual now removed Second eastern most individual pollarded to 2m with c. 2 year old regrowth present. Unmanaged group of Willow located within/close to drainage ditch. Overall poor with many collapsed leaders and consiquent re-growth. Ivy on many stems. Recommend pollarding as required to reduce risk of future stem failure, especially trees located close to public footpath	113	6.0	C (ii)
G18	Apple Malus domestica Pear Pyrus communis	6	300	3	M	P	Remnants of old orchard with the majority of trees in decline or dead. There are only four live trees remaining. Some of the trees are considered to be category U	41	3.6	C (ii)
G19	Mixed group (ornamental)	12	300	4	M	G	Group have been recorded from distance. Comprise trees on the residential boundary. Varied sizes, types and ages. Mostly amenity / ornamental varieties	41	3.6	B (i)
G20	11 x Common Ash Fraxinus excelsior 1 xEnglish Oak Quercus robur	11	200 250 350	6	M	F	This unmanaged group is centred around the field pond. The ash trees are generally multi-stemmed and have a typical form for the species. Some of the stems are leaning and they are ivy clad. Landscape and wildlife value within context of locality. Fungal pathogen (Inonotus hispidus) present on at least one of the ash	102	5.7	B (i)
G21	3 x Common Ash Fraxinus excelsior	12	300 330 350	5	M	F	Group located to west of drainage ditch. They have a slightly suppressed form due to the closeness of the group	145	6.8	B (ii)
G22	Horse Chestnut Aesculus hippocastanum Sycamore Acer pseudoplatanus Common Ash Fraxinus excelsior	14	480	7	M	F	Tree belt of mature ash, sycamore and horse chestnut. Located off site in residential garden with small ditch to North East. Minimal canopy encroachment. Mixed ages, interlocking crowns, good screen	104	5.8	B (ii)
G23	Rowan Sorbus aucuparia English Oak Quercus robur Sycamore Acer pseudoplatanus Common Ash Fraxinus excelsior	7	250	3	EM	F	Boundary between playing field and site. Scattered small trees of amenity planting. Broken branches numerous. Line of rowan slightly further off site upto 4m high and stem diameters less than 150mm New planting noted to fill in gaps	28	3.0	C (i)

Group No	Species	Height	Stem Dia.	Crown Radius	Age Class	Overall Condition	Structural Condition	RPA	RPA Radius	BS5837 Cat
G24	Common Ash Fraxinus excelsior White Poplar Populus alba	9	300	4	Y-SM	F	Numerous self set ash and the occasional poplar located both within hedgeline and in the corner of the field. Generally multi stem form. Unmanaged with selected trees having weak fork junctions	41	3.6	B (ii)
G25							Removed as of 2024 Resurvey			
G26	2 x Common Ash Fraxinus excelsior 4 x Hornbeam Carpinus betulus	6	250	3	EM	F	Along fenceline. Pruned for clearance of branches over the track	28	3.0	C (i)
G27	Crack Willow Salix fragilis Common Ash Fraxinus excelsior	11	Av 500	6	M	F	Willow group with 1x Ash. Growing within or around pond. Unmanaged form with part collapsed stems. Some of the trees within the group are of poor quality. Providing wildlife habitat	113	6.0	C (ii)
G28	Crack Willow Salix fragilis	17	1000	8	M	F/P	Most of the trees are old pollards. Selected trees have collapsed stems and associated cracks/splits. Some recent branch removals and possible storm damage remediation. Some younger trees have failed also Recommend removing failed stems and undertaking remedial work if public access is to be considered in close proximity	452	12.0	C (ii)
G29	Crack Willow Salix fragilis	10	Est 1000	7	M	F	Old pollards. Recently collapsed leaving rotting stumps. It would be recommended to pollard the specimens and retain for habitat	452	12.0	C (i)
G30	Hybrid Black Poplar Populus x canadensis	20	760 320	8	M	F	Located at base of railway embankment. Established canopies with minor leader damage and branch shedding. One single stem and two multi-stemmed trees. Some minor storm damage and deadwood	308	9.9	C (i)
G31	Crack Willow Salix fragilis English Elm Ulmus procera Common Ash Fraxinus excelsior	8	upto 250	4	M	F	Small copse close to the A420. Generally willow with some elm and one ash which form an understory to several larger trees. Ivy on most stems to 5-6m	28	3.0	C (i)

Group No	Species	Height	Stem Dia.	Crown Radius	Age Class	Overall Condition	Structural Condition	RPA	RPA Radius	BS5837 Cat
G32	English Oak Quercus robur Hawthorn Crataegus monogyna Common Ash Fraxinus excelsior Hornbeam Carpinus betulus	8	Est 300	4	EM	G	Sporadic group comprises the material present along the northern slopes of the railway embankment. The hawthorn are established bush forms. Occasional dead trees	41	3.6	B (i)
G33	Crack Willow Salix fragilis	16	460	N - 6.0 S - 8.0 E - 7.0 W - 5.0	M	F	Group located in waterfilled depression in small triangular area of land. A420 runs adjacent to group. Unmanaged with leaning canopies towards road. Vehicular damage to branches. Some multi stemmed forms and some single stemmed forms	96	5.5	B (ii)
G34	Common Ash Fraxinus excelsior	9	250 230 180 160	N - 3.0 S - 4.0 E - 4.0 W - 3.5	M	F	Multi stemmed form with evidence of past coppicing. There has been regrowth within the old hedgeline Epicormic growth noted within the canopy, likely as a result of Ash Dieback stress	78	5.0	C (ii)
G35	Crack Willow Salix fragilis	6	1100	5	OM	F	All specimens have been pollarded in the past with c.80-150mm regrowth present. Main stems have new re-growth from pollarded cuts. Pollard at below 3m and appears to be regularly undertaken	547	13.2	C (ii)
G36	Crack Willow Salix fragilis	9	Plus 1000	5	OM	F	150mm regrowth present from pollard points	452	12.0	C (ii)
G37	Common Ash Fraxinus excelsior	8	250	N - 3.0 S - 3.0 E - 5.0 W - 3.0	EM	P	Poor form with weak crown formations. One ash ivy clad with visible dieback and leader damage. Self set in hedge, west side of ditch	28	3.0	C (ii)
G38	Crack Willow Salix fragilis	10	Plus 1000	6	OM	F	Located off site to South of main watercourse. Canopies overhang watercourse into site. Mixture of standing and fallen trees with some having been pollarded in the past. It would be recommended to pollard the specimens and retain for habitat	452	12.0	C (ii)
G39	Mixed group Crack Willow Salix fragilis Field Maple Acer campestre Hawthorn Crataegus monogyna	10	620	6	M	F	Interlocking crowns some with ivy. Some single stemmed forms and some multi-stemmed forms	174	7.4	B (ii)

Group No	Species	Height	Stem Dia.	Crown Radius	Age Class	Overall Condition	Structural Condition	RPA	RPA Radius	BS5837 Cat
G40	Field Maple Acer campestre	7	250 250 250	3	M	G	Coppice specimens with multiple stemmed forms. Typically characteristic for species in appearance otherwise. No obvious defects	85	5.2	B (i)
G41	Common Ash Fraxinus excelsior	14	500	6	M	F	Hedgerow grouping. Overall fair structure and condition with good height clearance site side. Located off site to South of drainage ditch. Some lightly ivy clad stems. Overall, typical form for the species. Some multiple stems but most of single stemmed form	113	6.0	B (i)
G42	Common Ash Fraxinus excelsior Crab Apple Malus sylvestris Hawthorn Crataegus monogyna	9	Est 500	5	M	P	Residential gardens. Mixed species with all stems located outside the site boundary by approximately 1-2m. Overhanging as much as 4m in places. One Ash is a large coppice stool. Several Ash in a row, possibly part of an old hedgerow boundary. One large pear (T103). Outgrown hawthorn hedgerow at South end up to 5m. Contains ivy clad stems	113	6.0	C (ii)
G43	Weeping Willow Salix x chrycosoma Horse Chestnut Aesculus hippocastanum	5	upto 320	4	M	F	Small corner group in garden. Willow has a leaning stem to the West. Suppressed form growth due to corner hedge. Stems are positioned 2m off site and the crowns overhang 3m onto site.	46	3.8	C (i)
G44	Field Maple Acer campestre	7	Av 380	3	M	F	Hedgerow group all of outgrown forms. Some bark damage on lower stems. Ivy clad stems. Some hawthorn understory	65	4.6	B (i)
G45	Common Ash Fraxinus excelsior Field Maple Acer campestre Goat Willow Salix caprea English Elm Ulmus procera	6	Av 400	5	M	F-G-P	The group is on both sides of the ditch with a range of qualities in individual trees. Includes one hollow stemmed ash with regrowth (U) which would be recommended for pollarding to retain for habitat. Goat willow is multi stemmed and some of the elms are dead	72	4.8	B (i)
G46	Crack Willow Salix fragilis Field Maple Acer campestre Common Ash Fraxinus excelsior Sycamore Acer pseudoplatanus Goat Willow Salix caprea	12	Est 450	5	M/EM	F	Trees present on both sides of the ditch. Crowns are interlocked and most of the trees have typical forms for their respective species. There are a mixture of multi, twin and single stemmed trees in the group. Hawthorn and laurel understory	92	5.4	B (i)

Group No	Species	Height	Stem Dia.	Crown Radius	Age Class	Overall Condition	Structural Condition	RPA	RPA Radius	BS5837 Cat
G47	Cypress- Chamaecyparis spp.	10	200	3	M	F	Conifer screening. Located in residential garden. Fair condition with open habit at base. Minor branch encroachment into site. Clear lower stems 3m	18	2.4	C (i)
G48	Western Red Cedar Thuja plicata	5.5	Av 150	3	EM	G	Located off site along garden boundary. Good condition with only minor branch encroachment onto site. The lower 3m of stems are clear of branches	10	1.8	C (i)
G49	Mainly English Elm Ulmus procera 5 x Common Ash Fraxinus excelsior Field Maple Acer campestre	9	Avg 300	3	M	F/P	Hedgerow trees consisting mainly of elm, a number of which are dead Some of the trees within the group are category U	41	3.6	C (ii)
G50	Cherry - Prunus sp. Silver Birch Betula pendula Common Ash Fraxinus excelsior Sycamore Acer pseudoplatanus Hazel Corylus avellana English Oak Quercus robur Common Lime Tilia x europaea	10	280	5	EM	G	Multiple stems x 5. Located to East of access drive to farm. Stem bases within 1m of driveway. Branches pruned for access Southern trending leader which bifuricates at 0.5m has failed to the south and it partially hung up in T18. Recommend pollard of whole tree to 2m to reduce the risk of future failure of the remaining leader.	35	3.4	B (ii)
G51	Norway Spruce Picea abies and some other varieties	11	220	3	EM	G	Conifer plantation most likely having been planted for Christmas tree production. Dense grouping with establishing forms. Overall good condition	22	2.6	B (ii)
G52	Willow - Salix sp.	12	est 800	8	M	F/P	Consisting mainly of crack willow within/around pond. Multi stemmed forms with part collapsed stems on selected willow. There is one field maple and one goat willow	290	9.6	C (ii)
G53	Weeping Birch Betula pendula Youngii Cherry - Prunus sp.	4	140	2	Yng/M	G	Typical form of species with no obvious defects Ornamental trees	9	1.7	C (i)

Group No	Species	Height	Stem Dia.	Crown Radius	Age Class	Overall Condition	Structural Condition	RPA	RPA Radius	BS5837 Cat
G54	Apple Malus domestica	10	550	5	M	F	Old orchard assocaited with farm supporting approximately six fruit trees and a few conifer/hawthorn. No access at the time of the survey and therefore assessed from a distance. Typical form of species. Some dead wood/broken branches	137	6.6	C (i)
G55	Grey Poplar Populus canescens	17	540	6	M	F	The group consists of mature and younger self set multi-stemmed trees	132	6.5	B (ii)
G56	Common Ash Fraxinus excelsior	7	250	2.5	M	P	Three main stems set within hedgeline. Poor form with declining structures. High quantity of dead wood and die back within the crowns	N/A	N/A	U
G57	Hawthorn Crataegus monogyna	7	250	2.5	M	F/P	Densely ivy clad specimens and set within a hedgeline. Containing minor dead wood. Typical form of the species	28	3.0	C (ii)
G58	Common Ash Fraxinus excelsior	7	200	3	M	F/P	Two stems emenating from an old laid stem. Suppressed form. Appears from a distance as one tree. Suckers at base with some wood decay in old stools	18	2.4	C (ii)
G59	Common Ash Fraxinus excelsior	9	250 250	4	SM/M	F	Two stems emenating from an old laid stem. Suppressed form. Appears from a distance as one tree. Suckers at base with some wood decay in old stools	57	4.2	C (ii)
G60	Common Ash Fraxinus excelsior	10	330 330	5	M	F	Hedgerow trees with young trees growing within group. Re-growth from past laying or coppice large original stools. Unmanaged but overall fair crown/branch structure with minor decay visible in old stools	99	5.6	B (ii)
G61	2 x Common Ash Fraxinus excelsior 1 x Field Maple Acer campestre	10	340 320 270	4	EM/M	F	Set within hedgeline. Growth of old laid trees. Minor crown suppression.	132	6.5	B (ii)
G62	2 x Willow Salix sp.	15	more than 1000	12	M	P	Poor condition and generally unmanaged willow group. Multi stemmed structures, with a number of collapsed leader and cracks/splits/cavities in main stems. Bird boxes attatched to structures. Major dead wood and storm damage. Access poor for assessment at the time of the survey	452	12.0	C (ii)

Group No	Species	Height	Stem Dia.	Crown Radius	Age Class	Overall Condition	Structural Condition	RPA	RPA Radius	BS5837 Cat
G63	English Oak Quercus robur Common Ash Fraxinus excelsior Field Maple Acer campestre Grey Poplar Populus canescens Willow - Salix sp.	14	700 predominately Oak	7	M/OM	G/F	A substantial continuous tree belt formed with interlocking crowns due to close spacing between individual trees, consisting mainly of Oak and the majority of trees are located to north of ditch. Evidence of some storm damage/broken branches and an abundance of ivy. There is an understory of Hawthorn/Blackthorn and Goat Willow forming the lower levels. A more detailed survey would be recommended if any scheme be approved to identify suitable remedial works to be undertaken, especially if the intention is to increase the level of public access	222	8.4	B (ii)
G64	English Oak Quercus robur Common Ash Fraxinus excelsior Lime - Tilia sp. Crack Willow Salix fragilis Field Maple Acer campestre Hawthorn Crataegus monogyna Elder Sambucus nigra Grey Poplar Populus canescens	16	700	6	M	G/F	A substantial continued belt of tree cover comprising mostly unmanaged trees growing along and either side of the brook course. In places the cover is broken. The belt includes many large mature and overmature trees with some individual trees of significance. There are occasional old dead stumps and fallen stems which have resulted from the effects of adverse weather conditions and and absence of any formal targeted management. Additional species present includes some large lime trees in varying conditions, pollarded Willow and occassional Poplar. There is an understory hedgerow generally made up of Hawthorn and Blackthorn running consistently along the length. A more detailed survey would be recommended if any scheme be approved to identify suitable remedial works to be undertaken, especially if the intention is to increase the level of public access	222	8.4	B (ii)
G65	Willow Salix sp. Common Ash Fraxinus excelsior	10	more than 1000	3	M	F/P	Numerous pollarded Willows around pond. One large collapsed stem in pond. One young ash	452	12.0	C (ii)
G66	Crack Willow Salix fragilis	7	Below 150	3	Yng/EM	F	Large area of willow coppice currently some uncut and some cut Planted as a crop for biomass	10	1.8	C (i)
G67	Crack Willow Salix fragilis	7	800	4	OM	F	Pollarded specimens / collapsed in parts. Cracks and splits evident in main body of the stems with areas of hollowing. Crown regrowth varied in height. Wildlife value and contribution.It would be recommended to pollard the specimens and retain for habitat	290	9.6	4C (i)
G68	Crack Willow Salix fragilis Hawthorn Crataegus monogyna	10	Est 850	5	OM	F	Drain course contains several willow- some larger stools/pollarded and some younger unpollarded specimens the occasional hawthorn	327	10.2	B (i)

Group No	Species	Height	Stem Dia.	Crown Radius	Age Class	Overall Condition	Structural Condition	RPA	RPA Radius	BS5837 Cat
G69	Hawthorn Crataegus monogyna Goat Willow Salix caprea	4	100	2	M	F	This group is on the railway embankment. The hawthorn is sporadic in distribution and of established mature form	5	1.2	C (i)
G70	Common Ash Fraxinus excelsior	10	300	5	M	P	Directly on road side. Dense ivy to 5m. Ash with several main lead stems	41	3.6	C (i)
G71	Goat Willow Salix caprea English Elm Ulmus procera	5	50	1	Yng	F	Scrappy, self set vegetation on the southern embankment of the train line. Unremarkable specimens.	1	0.6	C (i)
G72	Grey Poplar Populus canescens	15	530 340	5	M	G	Mixture of twin and single stem trees with interlocking crowns. Individual trees are suppressed but as a group it has good form H82 forms understorey	179	7.6	B (i)
G73	Common Ash Fraxinus excelsior Crack Willow Salix fragilis	16	310	7	M	P	Group of ash and willow at the south end of brook course. One of the large willows has fallen / collapsed	43	3.7	C (i)
G74	Common Ash Fraxinus excelsior Crack Willow Salix fragilis	18	500	6	M	F	Tree cover mainly off-site on the eastern side of the water course. On the west side of the water course (on-site) there is a large willow and three ash trees which generall have interlocking crowns with the trees on the eastern side on the water course. The willow has a large fallen branch on the west side Ash specimens within group are in extensive decline likely due to ash dieback.	113	6.0	B (ii)
G75	Blackthorn Prunus spinosa Crack Willow Salix fragilis Elder Sambucus nigra Hawthorn Crataegus monogyna	8	Up to 200	3	EM, M	P	Group of mixed speciesof mainly hawthorn, of mature shrub form that are sporadically distributed along the rivers edge on either side The majority of specimens were in decline and exhibited large amounts of dieback and poor forms All specimens were seen to have limited future potential due mostly to their poor structural forms	18	2.4	C (ii)

Group No	Species	Height	Stem Dia.	Crown Radius	Age Class	Overall Condition	Structural Condition	RPA	RPA Radius	BS5837 Cat
G76	English Oak Quercus robur Hawthorn Crataegus monogyna Hybrid Black Poplar Populus x canadensis Ash Fraxinus excelsior Goat Willow Salix caprea Crack willow Salix fragilis	7	300	3	EM	F	Offsite self-set group located on the embankment of the tran line. Established form specimens. Occasional dead trees present	41	3.6	B (ii)
G77	Elder Sambucus nigra Hawthorn Crataegus monogyna English Elm Ulmus procera	6	180	2.5	EM	P,D	Sporadic, self set group of trees located immediately north of the A420. Predominantly dead elm specimens	15	2.2	C (ii)

Hedge No	Species	Height	Stem Dia.	Crown Radius	Age Class	Overall Condition	Structural Condition	RPA	RPA Radius	BS5837 Cat
HEDGEROWS										
H1	Hawthorn Crataegus monogyna Blackthorn Prunus spinosa Common Ash Fraxinus excelsior	2	est 100	1	M	G	Not maintained north of northern most part of TG3. South of this, regularly trimmed to maintain a consolidated form and shape Roadside position directly adjacent to Thornhill Road Unbroken Some elm present also	5	1.2	C (ii)
H2	Field Maple Acer campestre Hawthorn Crataegus monogyna Elm Ulmus spp. Ash Fraxinus excelsior	3	est 100	1	M	G	Historically managed to maintain form and shape Recent flailing evidence on the south side Some elder creeping in Some growth, where less regularly managed has attained up to 4m height - particularly elm and hawthorn	5	1.2	C (ii)
H3	Hawthorn Crataegus monogyna Elder Sambucus nigra Elm Ulmus spp.	6	est 150	2	M	G	Prominent field boundary hedgerow separating field compartments growing along the line of a ditch course Outgrown form where any attempts at previous management has lapsed over some time - generally no signs of any form of management Occasional self set sycamore and ash standards with separate stems attaining up to 7m height Noted several dead elm	10	1.8	C (ii)
H4	Hawthorn Crataegus monogyna Elm Ulmus spp.	5	est 220	2	M	F	Field boundary Contains a high amount of dead hedgerow elm Outgrown form and gappy form, defunct in places High content of invasive bramble No active signs of management or regular maintenance	22	2.6	C (ii)
H5	Hawthorn Crataegus monogyna Elm Ulmus spp.	1.5	est 100	1	M	F	Short section around property boundary Contains some outgrown elder and elm up to 4m Holm oak specimen at the eastern end at approximately 6m height	5	1.2	C (ii)
H6	Hawthorn Crataegus monogyna	3	est 100	1.5	M	F	Another short section around property boundary Not maintained and is outgrown Post and rail fence forms the boundary	5	1.2	C (ii)

Hedge No	Species	Height	Stem Dia.	Crown Radius	Age Class	Overall Condition	Structural Condition	RPA	RPA Radius	BS5837 Cat
H7	Bramble Rubus fruiticosa	1	est 100	0.75	M	P	Position adjacent to the railway line boundary and along the fence line Mostly bramble but contains occasional free standing hawthorn up to approximately 4m height	5	1.2	C (ii)
H8	Blackthorn Prunus spinosa Hawthorn Crataegus monogyna Elm Ulmus spp	5	est 200	3	M	F	Forms field boundary and is predominantly hawthorn Gappy and outgrown form with no evidence of formal management Post and rail boundary marks the edge of the property Contains numerous dead elm and some elder Ivy present throughout	18	2.4	C (ii)
H9	Hawthorn Crataegus monogyna Elm Ulmus spp Crab Apple Malus sylvestris	6	est 200	3	M	G	Trackside position Evidence of past management to reduce growth over the track through flailing High content of invasive bramble Small quantity of more established crab apple and an occasional field maple	18	2.4	C (ii)
H10	Hawthorn Crataegus monogyna Elm Ulmus spp Crab Apple Malus sylvestris	6	est 200	3	M	G	Substantial boundary feature around field margin containing for the most part an outgrown hedgerow High content of bramble and many dead hedgerow elms Occasional more established crab apple and self set ash elder present too	18	2.4	C (ii)
H11	Hawthorn Crataegus monogyna Elm Ulmus spp	6	est 150	2	M	G	Well established field boundary hedgerow High content of dead hedgerow elm Outgrown form with no evidence of recent management Occasional crab apple	10	1.8	C (ii)
H12	Hazel Corylus avellana Hawthorn Crataegus monogyna	5	est 150	2	M	F	Property boundary Trees present within the property	10	1.8	C (ii)
H13	Oak Quercus robur Hawthorn Crataegus monogyna Holly Ilex aquifolium Elm Ulmus spp	7	est 200	3	M	G	Field boundary hedge outgrown in form Contains several early mature oak standards Gappy in places and contains dense bramble Occasional self set ash	18	2.4	C (ii)

Hedge No	Species	Height	Stem Dia.	Crown Radius	Age Class	Overall Condition	Structural Condition	RPA	RPA Radius	BS5837 Cat
H14	Elder Sambucus nigra Elm Ulmus spp Hawthorn Crataegus monogyna Blackthorn Prunus spinosa	6	est 150	2	M	G	Continuation of H13 around the field boundary and similar in form / composition High content of dead hedgerow elm Also contains several tree standards namely a small poplar, some self set ash and occasional crack willow No evidence of previous formal management	10	1.8	C (ii)
H15	Elm Ulmus spp Field Maple Acer campestre Elder Sambucus nigra	8	est 200	3	M	G	Northern boundary adjacent to industrial estate More established in growth to H13 and H14 Contained well established trees as individual standards with an under story of dense bramble Hedgerow contains also hawthorn and blackthorn more typically structured towards the eastern end	18	2.4	C (ii)
H16	Hawthorn Crataegus monogyna Crab Apple Malus sylvestris	5	est 150	2	M	F	Around the property boundary and on the fence line Contains many multiple stemmed specimens resulting from previous management Some elm	10	1.8	C (ii)
H17	Hawthorn Crataegus monogyna Elm/ Crab Apple Malus sylvestris Some substantial Field Maple Acer campestre	6	est 200	3	M	F	Field boundary hedgerow and along the course of a ditch Ivy growth in abundance Gappy and outgrown form Contains occasional poplar and many dead hedgerow elm	18	2.4	C (ii)
H18	Hawthorn Crataegus monogyna Crab Apple Malus sylvestris Elm Ulmus spp Small amount of Crack Willow	5	est 200	2.5	M	F	Field boundary Defunct form at the northern end High content of ivy throughout Well established structure for most part but of outgrown form Occasional blackthorn noted Some field access gaps	18	2.4	C (ii)
H19	Elm Ulmus spp Crack Willow Hawthorn Crataegus monogyna	6	est 250	4	M	F	Field boundary Gappy and defunct in places, with outgrown form Ivy and dead bramble noted In places, some hawthorn have become more developed to form standards	28	3.0	C (ii)

Hedge No	Species	Height	Stem Dia.	Crown Radius	Age Class	Overall Condition	Structural Condition	RPA	RPA Radius	BS5837 Cat
H20	Hawthorn Crataegus monogyna Field Maple Acer campestre	4.5	est 150	2	M	F	Short section along property boundary Contains occasional ash specimen of more developed form up to 7m	10	1.8	C (ii)
H21	Hawthorn Crataegus monogyna Holly Ilex aquifolium Sycamore Acer pseudoplatanus	8	est 200	3	M	G	Well established field boundary hedge / group of interlocked trees No evidence of past management and has an outgrown form Contains mature bird cherry *Prunus padus* at the eastern end Dense ivy growth throughout	18	2.4	C (ii)
H22	Hawthorn Crataegus monogyna	4	est 150	2	M	F	Property boundary hedgerow of dense and unmanaged structure Assessed from distance but has outgrown form Ivy present throughout	10	1.8	C (ii)
H23	Hawthorn Crataegus monogyna Elm Ulmus spp Common Ash Fraxinus excelsior Crab Apple Malus sylvestris	6	est 200	3	M	G	A well established boundary including trees within the adjoining properties of Manor Park Natural look and on the whole unmanaged Contains some elm and bramble, as well as many native tree species Noted in parts some properties have maintained growth along the residential boundary Occasional hedging cypress content following the boundary which has been used for screening / intersite privacy	18	2.4	C (ii)
H24	Cypress Hawthorn Crataegus monogyna	3	est 100	0.5	M	G	Describes the garden boundaries along northern edge of site For the most part any hedgerow is neat and well maintained to a consolidated form in each case Clipped boundary hedges between fences of mixed post and rail, and panels Scattered small amenity trees of ash and field maple noted also	5	1.2	C (ii)
H25	Goat Willow Salix caprea Hawthorn Crataegus monogyna Field Maple Acer campestre	3	est 100	1	M	P	Field boundary hedgerow Mainly formed of well maintained hawthorn Hedgerow dominated by bramble	5	1.2	C (ii)

Hedge No	Species	Height	Stem Dia.	Crown Radius	Age Class	Overall Condition	Structural Condition	RPA	RPA Radius	BS5837 Cat
H26	Hawthorn Crataegus monogyna Common Ash Fraxinus excelsior Elder Sambucus nigra Elm Ulmus spp	5	est 200	2.5	M	P	Short section of field boundary hedgerow Defunct, outgrown in form and gappy	18	2.4	C (ii)
H27	Hawthorn Crataegus monogyna Blackthorn Prunus spinosa Elm Ulmus spp	5	est 150	2	M	F	Field boundary hedgerow A large number of dead elm specimens present No evidence of past management and has become defunct in places	10	1.8	C (ii)
H28	Common Ash Fraxinus excelsior Hawthorn Crataegus monogyna Willow Salix fragilis	8	est 150	2	M	F	Roadside hedgerow of outgrown form No structure and evidence of formal management Contains individual trees Hedgerow for the most part contains hawthorn and forms an under story to the trees above Occasional blackthorn	10	1.8	C (ii)
H29	Hawthorn Crataegus monogyna and small content of Elm Ulmus spp	2	est 100	1	M	F	Roadside hedgerow Regularly trimmed to maintain a consolidated form and shape Some blackthorn	5	1.2	C (ii)
H30	Hawthorn Crataegus monogyna Elm Ulmus spp	2	est 100	1	M	F	Roadside hedgerow, located immediately north of drainage ditch Regularly trimmed to maintain a consolidated form and shape Some blackthorn The north side currently was unflailed Not as tightly clipped as H29	5	1.2	C (ii)
H31	Hawthorn Crataegus monogyna Blackthorn Prunus spinosa	3	est 100	1	M	G	Internal field boundary hedgerow Regularly trimmed to maintain a consolidated form and shape in places Some blackthorn	5	1.2	C (ii)
H32	Hawthorn Crataegus monogyna Blackthorn Prunus spinosa	4	est 100	1	M	G	Roadside hedgerow Regularly trimmed to maintain a consolidated form and shape Dead elm specimens present throughout	5	1.2	C (ii)

Hedge No	Species	Height	Stem Dia.	Crown Radius	Age Class	Overall Condition	Structural Condition	RPA	RPA Radius	BS5837 Cat
H33	Hawthorn Crataegus monogyna Blackthorn Prunus spinosa	4	est 100	1	M	F	Roadside hedgerow Has not been maintained for several years, vertical growth to 6m Dead elm throughout Several sections have been recently flailed to a height of 1m above ground level.	5	1.2	C (ii)
H34	Hawthorn Crataegus monogyna Blackthorn Prunus spinosa Elm Ulmus spp	6	est 200	6	M	F	Internal field boundary hedgerow Contains many dead elm as well as some elder and willow Unmanaged with an outgrown form. The hedgerow is not continuous and has a number of gaps	18	2.4	C (ii)
H35	Hawthorn Crataegus monogyna Blackthorn Prunus spinosa	3	est 100	1	M	F	Internal field boundary hedgerow Regularly trimmed to maintain a consolidated form and shape. It contains a some elm at it's northern end The hedgerow is not continuous and has a number of gaps	5	1.2	C (ii)
H36	Hawthorn Crataegus monogyna Blackthorn Prunus spinosa	2	est 100	1	M	F	Internal field boundary hedgerow Not maintained for several years, dead elm present Has been regularly trimmed in the past to maintain a consolidated form and shape though is now slightly outgrown. The blackthorn is predominantly at either end of the hedge with the central section being mainly hawthorn. The eastern end contains some elm and the middle section is broken	5	1.2	C (ii)
H37	Hawthorn Crataegus monogyna Blackthorn Prunus spinosa	2	est 100	1	M	G	Roadside hedgerow Has been regularly trimmed in the past to maintain a consolidated form and shape though is now slightly outgrown. Contains some crab apple and goat willow	5	1.2	C (ii)
H38	Blackthorn Prunus spinosa	4	est 150	1.5	M	G	Internal field boundary hedgerow Has been regularly trimmed in the past to maintain a consolidated form and shape though is now slightly outgrown, no recent management	10	1.8	C (ii)
H39	Elm Ulmus spp	7	est 200	2	M	P	Boundary hedge to Red House It is unmanaged and outgrown with dense brambles. There are some dead and broken sections	18	2.4	C (ii)

Hedge No	Species	Height	Stem Dia.	Crown Radius	Age Class	Overall Condition	Structural Condition	RPA	RPA Radius	BS5837 Cat
H40	Hawthorn Crataegus monogyna Blackthorn Prunus spinosa	1.5	est 100	1	M	G	Roadside hedgerow Regularly trimmed to maintain a consolidated form and shape. Predominantly hawthorn	5	1.2	C (ii)
H41	Field Maple Acer campestre Blackthorn Prunus spinosa Hawthorn Crataegus monogyna	5	est 100	1	M	G	Boundary between the site and the Carpenters Arms public house Has been regularly trimmed in the past to maintain a consolidated form and shape though is now slightly outgrown. It has a dense structure No vertical management	5	1.2	C (ii)
H42	Hawthorn Crataegus monogyna Elder Sambucus nigra Elm Ulmus spp Goat Willow Salix caprea	7	est 200	2.5	M	F	Boundary hedgerow between the site and private field There has been no recent management and the hedgerow has an outgrown form. The goat willow is now well established with a height of 7m. The rest of the hedge is lower. The north end has broken sections	18	2.4	C (ii)
H43	Field Maple Acer campestre Blackthorn Prunus spinosa Hawthorn Crataegus monogyna Elm Ulmus spp	7	est 200	3.5	M	F	Boundary hedgerow between the site and private fields It is located on the south side of the ditch and is unmanaged and has an outgrown form with ivy present. It also contains some small elder	18	2.4	C (ii)
H44	Hawthorn Crataegus monogyna Elm Ulmus spp Elder Sambucus nigra Blackthorn Prunus spinosa	3.5	est 100	1.5	M	G	Internal field boundary hedgerow Has been trimmed to maintain a consolidated form and shape. There are occasional standard hawthorn. Evidence of past laying is visible and there is an opening with a gate of access. The eastern end has a 15m length of unpruned blackthorn up to 5m in height.	5	1.2	C (ii)

Hedge No	Species	Height	Stem Dia.	Crown Radius	Age Class	Overall Condition	Structural Condition	RPA	RPA Radius	BS5837 Cat
H45	Hawthorn Crataegus monogyna Blackthorn Prunus spinosa	2	est 100	1	M	F	Internal field boundary hedgerow. For the most part it is trimmed to maintain a consolidated form and shape. The hedgerow is incomplete and has gaps in places	5	1.2	C (ii)
H46	Hawthorn Crataegus monogyna Field Maple Acer campestre	8	est 250	4	M	P	Boundary with private fields and is located on the south side of the ditch Unmanaged with and outgrown form and broken sections and no longer functional as a hedgerow. There are some standards of field maple present and a high quantity of ivy. There is only a small amount of blackthorn.	28	3.0	C (ii)
H47	Hawthorn Crataegus monogyna Hazel Crab Apple Malus sylvestris Field Maple Acer campestre	6	est 200	1.5	M	F	Boundary with private fields Unmanaged with an outgrown form. It contains some field maple, crab apple and elm. There are two ash standards at southern end and some ivy	18	2.4	C (ii)
H48	Hawthorn Crataegus monogyna Blackthorn Prunus spinosa Elm Ulmus spp	4	est 100	1.5	M	F, D	Roadside hedgerow Unmanaged outgrown and dense form with a high elm content, a number of which are dead	5	1.2	C (ii)
H49	Hawthorn Crataegus monogyna Blackthorn Prunus spinosa Elm Ulmus spp Field Maple Acer campestre Common Ash Fraxinus excelsior	2	est 100	1.5	M	G	Roadside hedgerow Regularly trimmed to maintain a consolidated form and shape and includes some field maple and ash. There is dense ivy present	5	1.2	C (ii)

Hedge No	Species	Height	Stem Dia.	Crown Radius	Age Class	Overall Condition	Structural Condition	RPA	RPA Radius	BS5837 Cat
H50	Hawthorn Crataegus monogyna Blackthorn Prunus spinosa Elm Ulmus spp Common Ash Fraxinus excelsior	2	est 100	1	M	G	Multiple stems x 5. Located to East of access drive to farm. Stem bases within 1m of driveway. Branches pruned for access Southern trending leader which bifuricates at 0.5m has failed to the south and it partially hung up in T18. Recommend pollard of whole tree to 2m to reduce the risk of future failure of the remaining leader.	5	1.2	C (ii)
H51	Hawthorn Crataegus monogyna	6	est 250	4	M	F	Boundary with private fields Multi stemmed hawthorn which is unmanaged and has an outgrown form and is broken in parts. There are some dead stems and ivy present	28	3.0	C (ii)
H52	Hawthorn Crataegus monogyna Blackthorn Prunus spinosa Field Maple Acer campestre Crab Apple Malus sylvestris	6	est 150	2	M	F	Boundary with private fields Unmanaged outgrown form with brambles and some ivy. Has been prunned to 3m where the power lines run.	10	1.8	C (ii)
H53	Field Maple Acer campestre Blackthorn Prunus spinosa Hawthorn Crataegus monogyna	5	est 150	2	M		Internal hedgerow running on either side of the ditch course Very broken presenting itself more as a line of bushes with the occasional ash and large willow. Ivy present	10	1.8	C (ii)
H54	Hawthorn Crataegus monogyna Field Maple Acer campestre Elm Ulmus spp	2	est 100	1	M	P	Roadside hedgerow Regularly trimmed to maintain a consolidated form and shape Defunct in places with gaps	5	1.2	C (ii)

Hedge No	Species	Height	Stem Dia.	Crown Radius	Age Class	Overall Condition	Structural Condition	RPA	RPA Radius	BS5837 Cat
H55	Sambucus nigra Hawthorn Crataegus monogyna Blackthorn Prunus spinosa Hazel Corylus avellana	4	est 100	1	M	P	Internal field boundary hedgerow Regularly trimmed to maintain a consolidated form and shape. There are several coppiced hazel at the west end Defunct in places with gaps Brambles present	5	1.2	C (ii)
H56	Elder Sambucus nigra Elm Ulmus spp	4	est 100	1	M	F	Roadside hedgerow Evidence of past laying and management. It presently has an outgrown form and is defunct in places. There are brambles and some dead elms	5	1.2	C (ii)
H57	Hawthorn Crataegus monogyna Blackthorn Prunus spinosa Elm Ulmus spp	6	est 150	2	M	F	Roadside hedgerow Partly maintained at 3m with some outgrown sections to 6m. Includes some elder and coppiced hazel	10	1.8	C (ii)
H58	Hazel Corylus avellana Goat Willow Salix caprea Damson	5	est 200	3	M	G	Roadside hedgerow The hedgerow is on the west side of the ditch and has been coppiced in the past but is now outgrown in form. There is some elder present and some established individual trees	18	2.4	C (ii)
H59	Hawthorn Crataegus monogyna Elder Sambucus nigra	2	est 100	3	M	G	Boundary with private fields Regularly trimmed to maintain a consolidated form and shape. There are some taller elder present and there is evidence that the hedgerow has been layed in the past	5	1.2	C (ii)
H60	Field Maple Acer campestre Blackthorn Prunus spinosa Hawthorn Crataegus monogyna	2	est 150	2	M	G	Internal field hedgerow Regularly trimmed to maintain a consolidated form and shape on the north side but unmanaged and is outgrown on the south side. It includes brambles, and some dogwood and wild privet	10	1.8	C (ii)

Hedge No	Species	Height	Stem Dia.	Crown Radius	Age Class	Overall Condition	Structural Condition	RPA	RPA Radius	BS5837 Cat
H61	Hazel Corylus avellana Hawthorn Crataegus monogyna Blackthorn Prunus spinosa Field Maple Acer campestre	2	est 150	2	M	G	Internal field hedgerow on the south west side of the ditch Regularly trimmed to maintain a consolidated form and shape. There are some large old field maple stools present along with brambles.	10	1.8	C (ii)
H62	Elder Sambucus nigra Hawthorn Crataegus monogyna Blackthorn Prunus spinosa Field Maple Acer campestre	3	est 100	1.5	M	G	Internal field hedgerow Regularly trimmed at 2m to maintain a consolidated form and shape. Some large old field maple stools and brambles	5	1.2	C (ii)
H63	Hawthorn Crataegus monogyna Blackthorn Prunus spinosa Elm Ulmus spp	2	est 150	2	M	G	Internal field hedgerow For the most part it is outgrown and includes some elm standards to a height of 7m and some occasional elder. The eastern end which is closest to the farm has been trimmed to maintain a consolidated form and shape	10	1.8	C (ii)
H64	Elder Sambucus nigra Hawthorn Crataegus monogyna	1	est 100	1	M	G	Boundary hedgerow with rowborough Farm Regularly trimmed to maintain a consolidated form and shape. There are two hawthorns to 5m height and 2m spread north side	5	1.2	C (ii)
H65	Blackthorn Prunus spinosa Hawthorn Crataegus monogyna Field Maple Acer campestre Crab Apple Malus sylvestris	5	est 150	2	M	G	Internal field hedgerow Wide and outgrown with brambles extending into the field	10	1.8	C (ii)

Hedge No	Species	Height	Stem Dia.	Crown Radius	Age Class	Overall Condition	Structural Condition	RPA	RPA Radius	BS5837 Cat
H66	Hawthorn Crataegus monogyna Field Maple Acer campestre Blackthorn Prunus spinosa Elm Ulmus spp	2	est 100	1	M	G	Internal field hedgerow Regularly trimmed to maintain a consolidated form and shape Several small gaps which have been stock proofed with post and rail fencing. There is some evidence of old laying and old coppice planting	5	1.2	C (ii)
H67	Hawthorn Crataegus monogyna Blackthorn Prunus spinosa	2	est 100	1	M	G	Internal field hedgerow Normally maintained to 4m high. There are small gaps where trees are located (TG 55). There are brambles present. It has a dense structure.	5	1.2	C (ii)
H68	Elm Ulmus spp Hawthorn Crataegus monogyna Field Maple Acer campestre Elder Sambucus nigra	4	est 100	0.5	M	G	Internal field hedgerow It sits on a low bank and consists mainly of elm. It has been flailed on the south side to maintain access on the adjacent track.	5	1.2	C (ii)
H69	Elm Ulmus spp Hawthorn Crataegus monogyna Field Maple Acer campestre Elder Sambucus nigra	8	est 200	3	M	G	Internal hedgerow between a field and track. The hedgerow consists of a double row growing either side of a small bank. Evidence of pasted coppicing and laying is present but it is now very outgrown presents itself as a row of small trees. The stems are ivy clad and it has been flailed on the track side (north) to maintain access.	18	2.4	C (ii)
H70	Blackthorn Prunus spinosa Hawthorn Crataegus monogyna Field Maple Acer campestre	4	est 100	1.5	M	G	Boundary hedgerow with private field Evidence of past coppicing and laying present. It is now partly maintained and has been flailed on the track side (south). There are some ash standards to 7m and brambles present	5	1.2	C (ii)

Hedge No	Species	Height	Stem Dia.	Crown Radius	Age Class	Overall Condition	Structural Condition	RPA	RPA Radius	BS5837 Cat
H71	Elder Sambucus nigra Hawthorn Crataegus monogyna Field Maple Acer campestre	4	est 100	1	M	G	Boundary hedgerow with private field Evidence of past layering and coppicing. It is now of an outgrown form and has been flailed on the west side. There are occasional field maple standards to 7m	5	1.2	C (ii)
H72	Elder Sambucus nigra Hawthorn Crataegus monogyna	3	est 100	1	M	F	Internal field hedgerow Regularly trimmed to maintain a consolidated form and shape. It has a dense structure and an access gap in the middle.	5	1.2	C (ii)
H73	Field Maple Acer campestre Elm Ulmus spp Hawthorn Crataegus monogyna Blackthorn Prunus spinosa	3	est 100	1	M	F	Internal field hedgerow Evidence of past coppicing and laying and is regularly trimmed to maintain a consolidated form and shape.	5	1.2	C (ii)
H74	Blackthorn Prunus spinosa Elder Sambucus nigra Hawthorn Crataegus monogyna Field Maple Acer campestre Crab Apple Malus sylvestris Hazel Corylus avellana	4	est 100	1	M	G	Boundary hedgerow with private field Dense structure and has been flailed on the west side. There are occasional field maple standards and old coppiced ash stools with regrowth to 5m	5	1.2	C (ii)
H75	Blackthorn Prunus spinosa Hawthorn Crataegus monogyna Field Maple Acer campestre Common Ash Fraxinus excelsior	4.5	est 100	1.5	M		Internal field hedgerow Regularly trimmed at 2m to maintain a consolidated form and shape. Coppiced hazel at western end	5	1.2	C (ii)

Hedge No	Species	Height	Stem Dia.	Crown Radius	Age Class	Overall Condition	Structural Condition	RPA	RPA Radius	BS5837 Cat
H76	Elm Ulmus spp Elder Sambucus nigra Hawthorn Crataegus monogyna	4	est 200	2.5	M		Boundary hedgerow with private field Evidence of old coppicing. It is currently unmanaged and outgrown. There is an occasional crab apple	18	2.4	C (ii)
H77	Elm Ulmus spp Hawthorn Crataegus monogyna Blackthorn Prunus spinosa	5	est 150	2	M	F	Internal field hedgerow Regularly trimmed to maintain a consolidated form and shape. Some outgrowth of elm and ash present	10	1.8	C (ii)
H78	Blackthorn Prunus spinosa Field Maple Acer campestre Elm Ulmus spp Hawthorn Crataegus monogyna	4	est 100	1.5	M	F	Internal field hedgerow There is evidence of the hedgerow being layed in the past. It is regularly trimmed to maintain a consolidated form and shape and there are some dead elms present.	5	1.2	C (ii)
H79	Crab Apple Malus sylvestris Blackthorn Prunus spinosa Goat Willow Salix caprea	5	est 250	4	M	F	Internal field hedgerow Unmanaged which is outgrown and dense. It presents itself more as a thicket than a hedgerow.	28	3.0	C (ii)
H80	Elder Sambucus nigra Goat Willow Salix caprea	4	est 150	2	M	F	Internal field hedgerow Consisting mostly of elder and some hawthorn. It is generally formed of a double row producing a thick hedgerow. There are some standards of crack willow and one large collapsed willow	10	1.8	C (ii)
H81	Elder Sambucus nigra Hawthorn Crataegus monogyna Ash	4	est 200	2.5	M	F	Internal field hedgerow Unmanaged with an outgrown form. Dense in structure with ivy and brambles. There is a self set ash standard	18	2.4	C (ii)

Hedge No	Species	Height	Stem Dia.	Crown Radius	Age Class	Overall Condition	Structural Condition	RPA	RPA Radius	BS5837 Cat
H82	Hawthorn Crataegus monogyna Blackthorn Prunus spinosa Elder Sambucus nigra Hazel Corylus avellana Crab Apple Malus sylvestris	5	est 200	4	M	F	Internal field hedgerow Unmanaged of a considerable time it now has a dense thick structure and an outgrown form. There is evidence of past laying and coppicing. Consisting mainly of hawthorn and blackthorn. The hawthorn is generally multi-stemmed from ground level. Maintained laterally on the northern and southwestern aspects.	18	2.4	C (ii)
H83	Blackthorn Prunus spinosa Hawthorn Crataegus monogyna	4	est 150	5	M	G	Boundary hedgerow with private field Unmanaged of a considerable time it now has a dense thick structure and an outgrown form. It consists mostly blackthorn	10	1.8	C (ii)
H84	Some Alder Alnus glutinosa Blackthorn Prunus spinosa Hawthorn Crataegus monogyna Crab Apple Malus sylvestris Elder Sambucus nigra	4	est 150	2	M		Boundary hedgerow with private field Unmanaged of a considerable time it now has a dense thick structure and an outgrown form. The far eastern end is more broken. There are occasional ash standards to 7m and there are some alder, buckthorn and crab apple	10	1.8	C (ii)
H85	Blackthorn Prunus spinosa Hawthorn Crataegus monogyna	5	est 100	1.5	M		Internal field hedgerow Consisting primarily of multi-stemmed hawthorn and blackthorn with the occasional elm and field maple. It has been flailed to maintain form. It also contains an occasional ash standard to 6m in height.	5	1.2	C (ii)
H86	Hawthorn Crataegus monogyna	5	est 200	3	M		Roadside hedgerow Lapsed management and has an outgrown form	18	2.4	C (ii)

Hedge No	Species	Height	Stem Dia.	Crown Radius	Age Class	Overall Condition	Structural Condition	RPA	RPA Radius	BS5837 Cat
H87	Hawthorn Crataegus monogyna Elder Sambucus nigra Elm Ulmus spp	5	est 200	2.5	M		Roadside hedgerow Lapsed management and has an outgrown form. There are occasional black thorn and willow	18	2.4	C (ii)
H88	Blackthorn Prunus spinosa Goat Willow Salix caprea Hawthorn Crataegus monogyna	5	est 150	1.5	M	F/P	Scrappy form hedgerow running along the northern edge of the verge to the north of the A420 Historically managed laterally but not for c.3 years No vertical management apparent	10	1.8	C (ii)
H89	Field Maple Acer campestre Hawthorn Crataegus monogyna Privet Ligustrum ovalifolium	3	avg 6x 60	1	EM	F	Hegde No. H1 Priory Lodge Survey Flail damage evident Maintained hedgerow Boundary hedgerow along roadside between residental property. Dense no gaps present	10	1.8	C (ii)
H90	Blackthorn Prunus spinosa Field Maple Acer campestre Hazel Corylus avellana	2	avg 6x 60	1.5	EM	F	Hedge No. H3 Priory Lodge Survey Flail damage evident Maintained hedgerow Boundary hedgerow along eastern roadside.	10	1.8	C (ii)

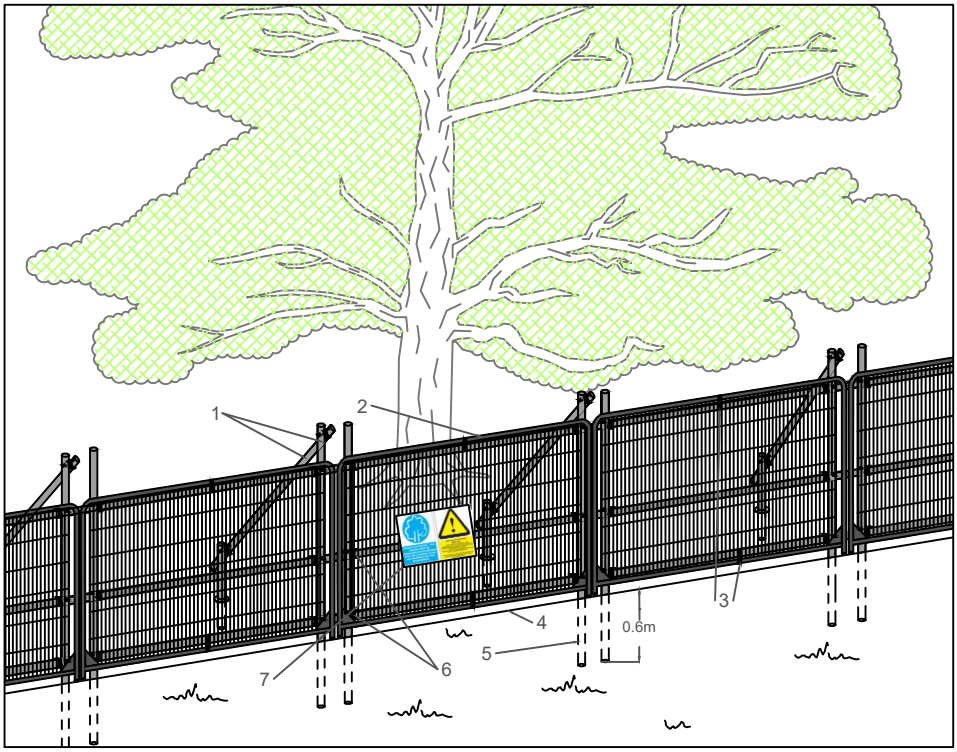

Standard specification for protective barrier

1. Standard scaffold poles
2. Heavy gauge 2m tall galvanized tube and welded mesh infill panels
3. Panels secured to scaffold frame with wire ties
4. Ground level
5. Uprights driven into the ground until secure (min depth of 0.6m)
6. Standard scaffold clamps
7. Construction Exclusion Zone signs

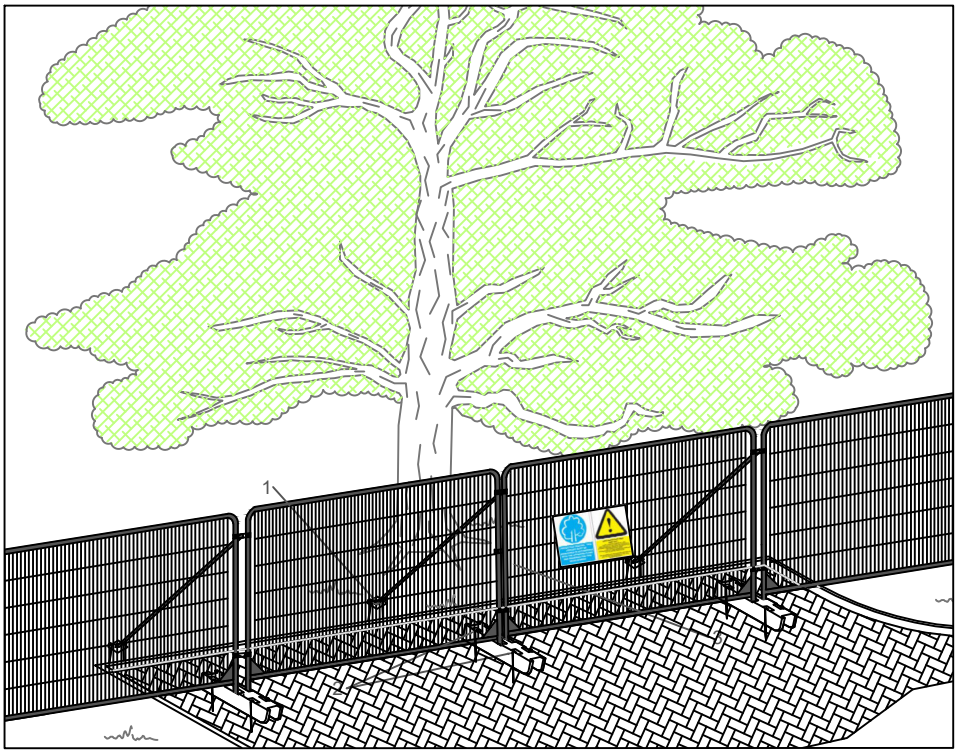

Above ground stabilising systems

1. Stabiliser strut with base plate secured with ground pins
2. Feet blocks secured with ground pins
3. Construction Exclusion Zone signs

masterplanning
environmental assessment
landscape design
urban design
ecology
architecture
arboriculture

FPCR Environment and Design Ltd
Lockington Hall
Lockington
Derby DE74 2RH

t: 01509 672772
f: 01509 674565
e: mail@fpcr.co.uk
w: www.fpcr.co.uk

NOTES

This drawing is the property of FPCR Environment and Design ltd and is issued on the condition it is not reproduced, retained or disclosed to any unauthorised person, either wholly or in part with written consent of FPCR Environment and Design Ltd.

drawing title

APPENDIX B
PROTECTIVE FENCING SPECIFICATIONS

CAD file: S:\Arb resources\Basic Templates\Tree Protection\Appendix B - Protective Fencing A4.dwg