Vistry Cotswold & Taylor Wimpey Bristol

December 2025

South Marston Primary Street & FWPS

Movement Phasing Strategy

Woodlands, New Eastern Villages, Swindon

DAVID LOCK ASSOCIATES

Contents

1.0 Introduction 2
Purpose of this Document 2
2.0 Site Wide Movement Network 3
Outline Planning Permission (S/OUT/13/1555) 3
Condition 8: Strategic Design Code (S/COND/22/0031) 3
Condition 6: Phasing Strategy (S/COND/23/0848) 4
Condition 9: Character Area Design Code (S/COND/22/0315) 4
3.0 Movement Phasing Plan 5
4.0 Sequence of Delivery 7
Old Vicarage Lane (OVL) Realignment 7
South Marston Foul Water Pumping Station 8
Marston Gate and Nightingale Corner 9
Primary Street through parkland to Thornhill Road 10
Thornhill Road Junction 13
5.0 Interaction with PRoW during construction 14

1.0. Introduction

Purpose of this Document

1.1. This document sets out the Movement Phasing Strategy details for the South Marston Primary Street Reserved Matters Application (LPA reference), pursuant to the extant outline planning permission (OPP) (ref: S/OUT/13/1555), in relation to Land at South Marston and is prepared behalf of Vistry Cotswolds and Taylor Wimpey Southern Counties ('VTW').

1.2. Condition 31 of the outline permission requires that:

> *Prior to commencement of works within each sub-phase of development, details of a phasing strategy for the 'Indicative Access and Movement Plan' (LHL005 / 162a P Apr 2019) movement framework within that sub-phase shall be submitted to and approved in writing by the Local Planning Authority. The 'movement phasing strategy' shall illustrate how existing and proposed cyclepath/footpath including Public Rights of Way will be maintained open for the pass and repass of the general public through phased construction works of each sub-phase or parcel and details of when each planned new cyclepath/footpath will be delivered to serve development parcels and to provide connections leading to infrastructure provisions in the wider New Eastern Villages and coordinate with their delivery. Infrastructure provisions to be considered shall include Primary and Secondary schools, planned local centres and the District Centre. Each planned new cyclepath/footpath shall be delivered in accordance with the 'movement phasing strategy' to a geometric and construction specification submitted to and approved in writing by the Local Planning Authority. Notwithstanding the above, the section of the foot/cycle way between Old Vicarage Lane and public right of way 5 (at junction with railway crossing) (as referred to on Swindon Borough Council's Definitive Map) shown indicatively dashed pink on 'Indicative Access and Movement Plan' (LHL005 / 162a P Apr 2019) shall be completed prior to 300th occupation.*
>
> *Reason: to ensure safe and sufficient sustainable access proposals are provided through construction and operational phases of development, to consider existing highway users, development occupiers and adjacent residents in interests of highway safety and in compliance with Local Plan Policy TR1 and TR2.*

1.3. As outlined in the wording of the condition above, the Movement Phasing Strategy establishes the anticipated sequence for development within the relevant sub-phase (as defined in the OPP decision notice 'refers to the part of the site within a Phase for which a reserved matters application is submitted') and demonstrates how the proposed development shall connect to the existing movement network as well as the future movement network (which shall come forward in future sub-phases).

2.0. Site Wide Movement Network

Outline Planning Permission (S/OUT/13/1555)

2.1. Condition 31 of the outline permission makes reference to an 'Indicative Access and Movement Plan' (drawing ref: LHL/162a/Rev P), which identified key elements of the all-mode movement network. An extract of the plan as relevant to the extent of this sub-phase, is provided below for reference. ***Figure 1***.

Figure 1: Extract of the Outline Indicative Access and Movement Plan

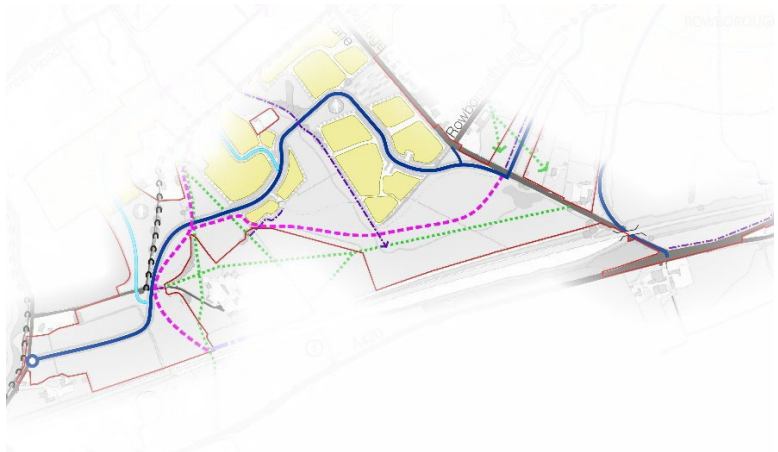

Condition 8: Strategic Design Code (S/COND/22/0031)

2.2. The approved Strategic Design Code (SDC), (ref: S/COND/22/0031) codes the strategic all mode routes for the development. The Strategic Coding Plan: Walking and Cycling, expands upon key movement details from those that formed part of the outline consent. The SDC also provides coding details (alignment and section) for the primary street. An extract of the approved Strategic Coding Plan, as relevant to the extent of this sub-phase is provided at ***Figure 2***.

Figure 2: Extract of Strategic Coding Plan

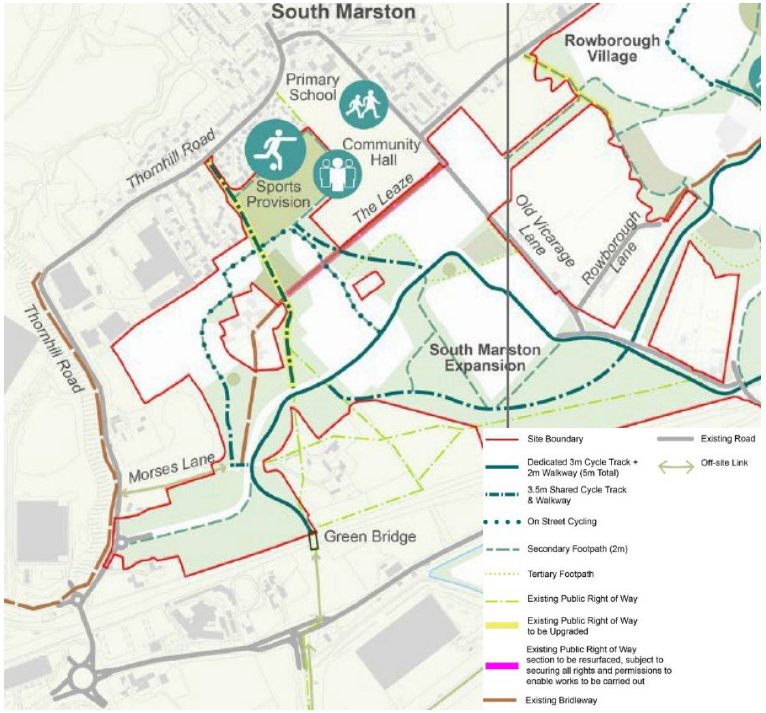

2.3. The sub-phase area to which this Movement Phasing Strategy relates is the primary street through South Marston - connecting a new roundabout Thornhill with a new priority junction to serve the expanded community off Old Vicarage Lane. The relevant routes to this reserved matters as coded by the SDC are:

- Dedicate 3m Cycle Track + 2m walkway (5m Total) (provided along the primary street);
- Secondary footpath (2m);
- Connections to wider movement network; and
- New Horse Route alongside Cycle Track and Walkway.

2.4. ***Figure 2*** also references key destinations, which will eventually be served by future connections to the primary street, which will come forward as part of future sub-phases. Further details of these connections are included within Section 3.0 of this Movement Phasing Strategy.

Condition 6: Phasing Strategy (S/COND/23/0848)

2.5. The Phasing Strategy (approved 1 September 2023) provides the details relating to the anticipated phasing for the delivery of the wider scheme, to illustrate the timely implementation of the development and delivery of associated infrastructure, including the movement network and connections. This Movement Phasing Strategy has therefore, drawn details from the Phasing Strategy to outline the proposed delivery of the movement network in this sub-phase.

Condition 9: Character Area Design Code (S/COND/22/0315)

2.6. The first Character Area Design Code (CADC) related to the South Marston East, which has been named 'Marston Gate and Nightingale Corner', was approved by SBC on 12 July 2024. The CADC has been considered as part of the design of this sub-phase, particularly in regard to the movement hierarchy and details provided in the document, and how the movement network may interact with the residential parcels.

Movement Phasing Plan

2.7. **Figure 3** identifies the components of the movement network that will be delivered as part of this reserved matters application for the South Marston Primary Street which connects the realigned Old Vicarage Lane to the new roundabout junction onto Thornhill Road.

2.8. The proposals will deliver a pedestrian and cycle network along the primary street and includes points of connection onto the existing movement network (SM5, SM6, SM15)including existing public rights of way and future residential parcels and the new strategic routes to be delivered as part of future development phases.

2.9. This strategy also considers movement components as relevant in relation to the foul water pumping station to the southeast of South Marston. (S/RES/24/0551)

Figure 3: Extract from drawing 1335-RMA-100-006

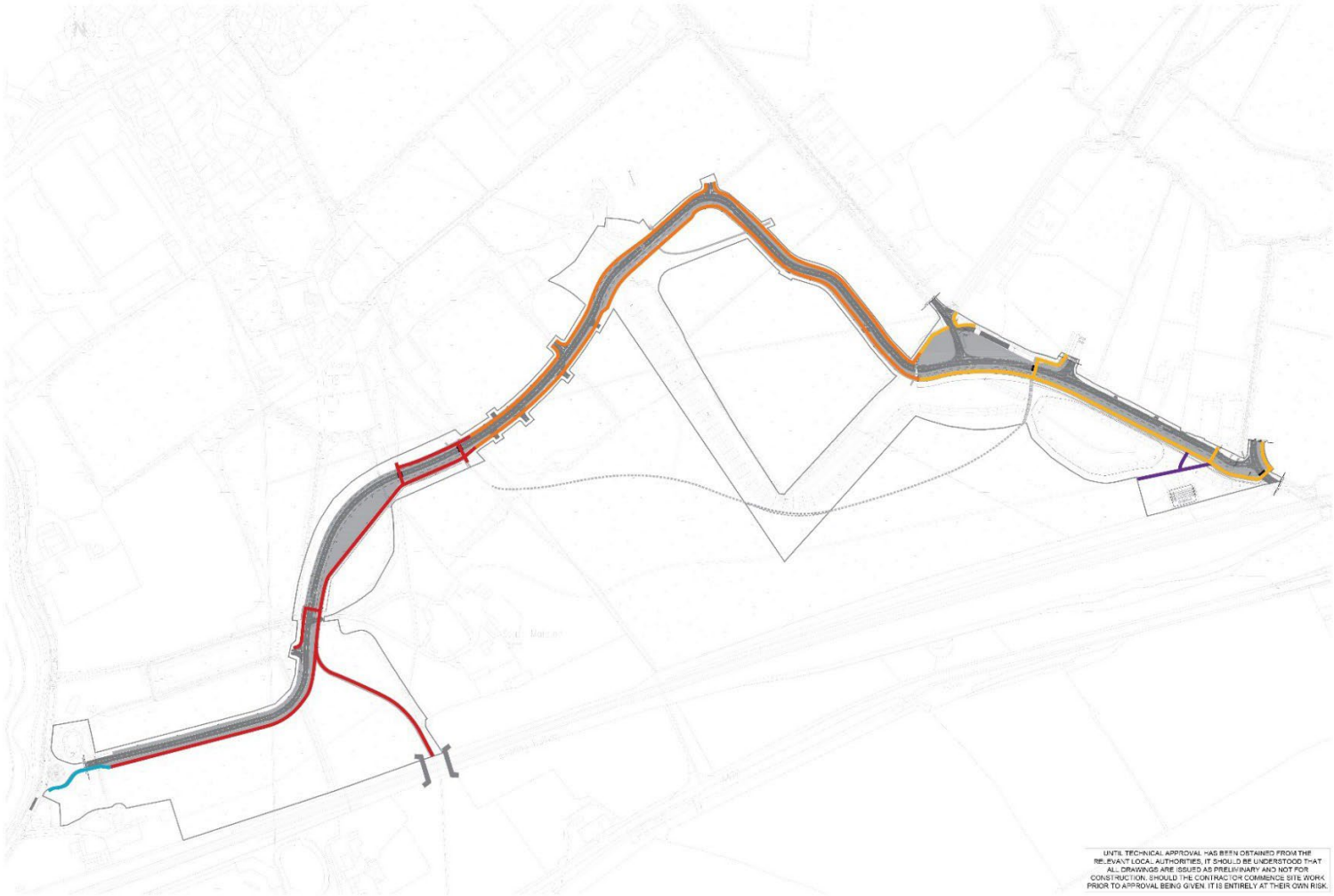

3.0. Sequence of Delivery

Old Vicarage Lane (OVL) Realignment

Figure 4: Movement network associated with OVL realignment

Delivery timeframe

3.1. The new priority junction off OVL into the development parcels within the expanded South Marston will provide the access to the first residential parcels. Condition 30 of the OPP, requires the junction is to be provided prior to the 1st occupation of any dwelling that takes access off the OVL.

Interaction with existing movement networks

3.2. The new South Marston junction off the OVL will provide a new safe pedestrian and cycle connection from the first phases of development at South Marston East the Carpenters Arms Pub (1).

3.3. The new route will also provide a connection to Public Right of Way (PRoW) SM15 (2), as shown on the Council's definitive map. A new pedestrian crossing point will be delivered as part of the S278 works in relation to the OVL.

3.4. A shared 3.5m cycle track and footway will be delivered adjacent to the OVL providing a connection to the existing track towards Rowborough Farm (3) which then connects to Bridleway SM8.

Future connections

3.5. The OVL works provide the future junctions spurs to provide onward connections into Rowborough and will also accommodate the future pedestrian and cycle network which will be delivered alongside the primary street carriageway within Rowborough.

South Marston Foul Water Pumping Station

Figure 5: Movement network associated with South Marston Foul Water Pumping Station

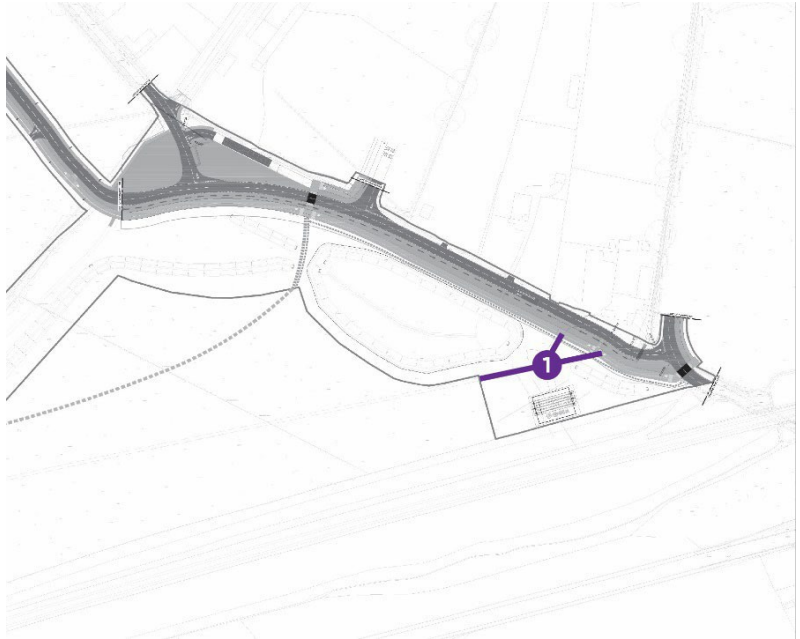

Delivery timeframe

3.6. The Foul Water Pumping Station (FWPS) that serves South Marston (S/RES/24/0551) is located adjacent to OVL and will be delivered as part of the first infrastructure works to support the first phase parcels.

Interaction with existing movement networks

3.7. Vehicular access for the FWPS intersects with PRoW SM15 and will therefore require a temporary diversion during the construction of the pumping station. No improvements to PRoW SM15 are required with the exception to a small section of the PRoW route where it intersects with the access for the FWPS (1). A tarmac surface treatment is proposed to ensure safe use for users.

Future connections

3.8. The existing PRoW shall be retained, to provide the connection to South Marston Country Park.

Marston Gate and Nightingale Corner

Figure 6: Section of Primary Street within Residential Parcels (Marston Gate and Nightingale Corner)

Delivery timeframe

3.9. This section of the movement network will be delivered alongside the delivery of the primary, as such the 3.5m cycle track and footway, and the 2m footway to the south and north of the primary street respectively. The foot/cycle routes will be delivered alongside the delivery of the housing parcels they serve.

3.10. The first play area will be delivered prior to 100 occupations. A a 2m footway linking the new play area to the adjacent parcel and primary street will be submitted as part of a future reserved matters application.

Interaction with existing movement network

3.11. A temporary footpath will be provided from the north of the primary street to provide a pedestrian connection to the bridleway to the north. This footpath will be broadly aligned with the future permanent footpath which will come forward as part of a future reserved matters application. Details of the temporary footpath materials and alignment can be found in Appendix 1

Future connections

3.12. The Character Area Design Code secures the indicative location for connection points between the residential parcels and the wider strategic open space.

3.13. There are 4 crossing points designed into this section of the primary street: 3 uncontrolled and 1 controlled. These crossings are located at key points along the street where existing or new pedestrian routes to the open space, intersect the primary street. The location of the crossing points has also been informed by the proposed bus stops, with the controlled crossing point located to the east.

Primary Street through parkland to Thornhill Road

Figure 7: South Marston Primary Street (through Parkland) to Thornhill Junction

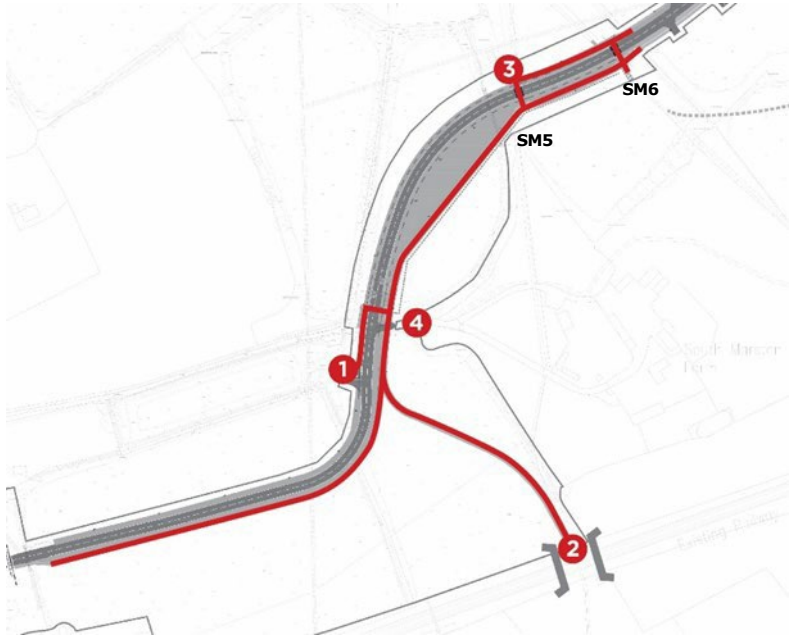

Delivery timeframe

3.14. The primary street from OVL to Thornhill Road must be delivered prior to 300 occupations. A 2m footway is provided south of the primary street connecting to the new Thornhill Roundabout to the west. The 2m footway transitions to a shared a 3.5m shared cycleway and footway where it meets Morses Lane (1). and then continues south to connect with the Green Bridge (2), providing foot and cycle crossing over the Great Western Railway. The bridge connection will be provided prior to 300 occupations.

3.15. A 2m footway is re-provided to the north of the carriageway, east of new crossing point of the PRoW SM5 (3).

Interaction with existing movement networks

3.16. The primary street intersects with both both PRoW SM5 and SM6. Crossing points are designed along the primary street in this section which connect to the existing public right of way network, connecting to Morses Lane and SM15, SM5 and SM6.

3.17. The existing routing of SM5 and SM6 is shown in **Figure 8** and **Figure 9** respectively. It is likely that there will be a need for a temporary closure of SM6 during the construction of the primary street, with an alternative route being available along SM5 to Bridleway SM4. The existing route has however been designed into the final design of the development and will therefore be reinstated following completion of the primary street.

The primary street also connects to the western edge of SM15 (4), which provides another route from the west to east of the site.).

Figure 8: SM5 Primary Street Crossing

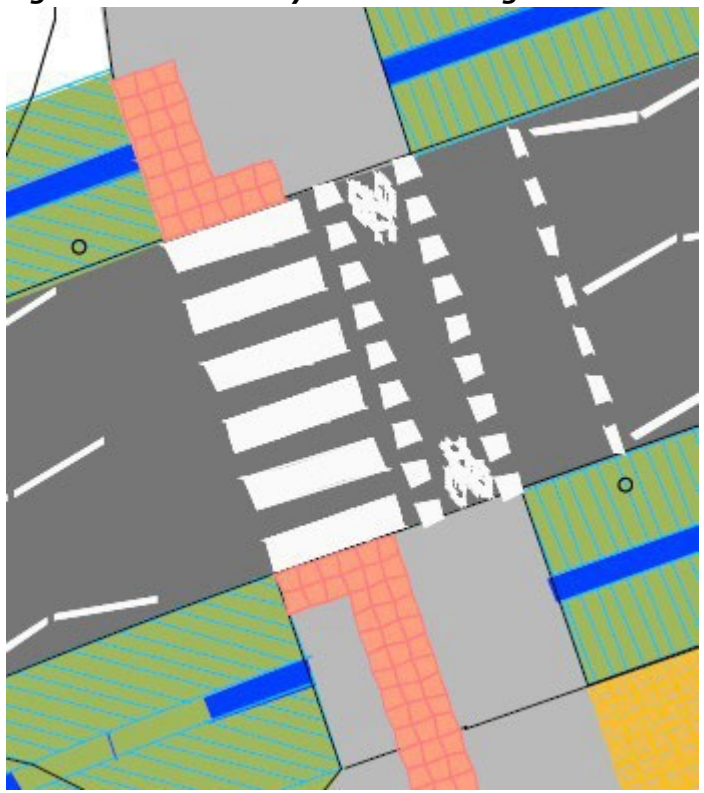

Figure 9: SM6 Primary Street Crossing

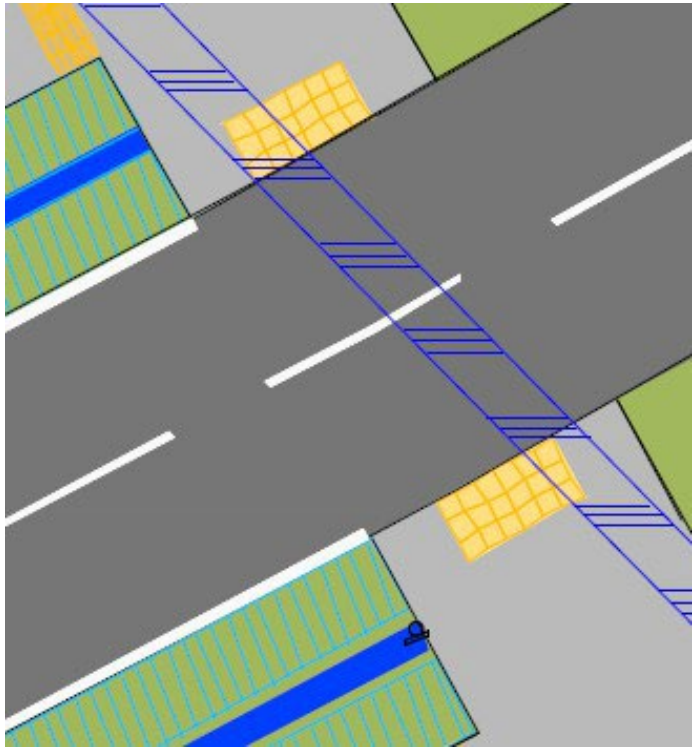

Figure 10: Interaction with South Marston Farm

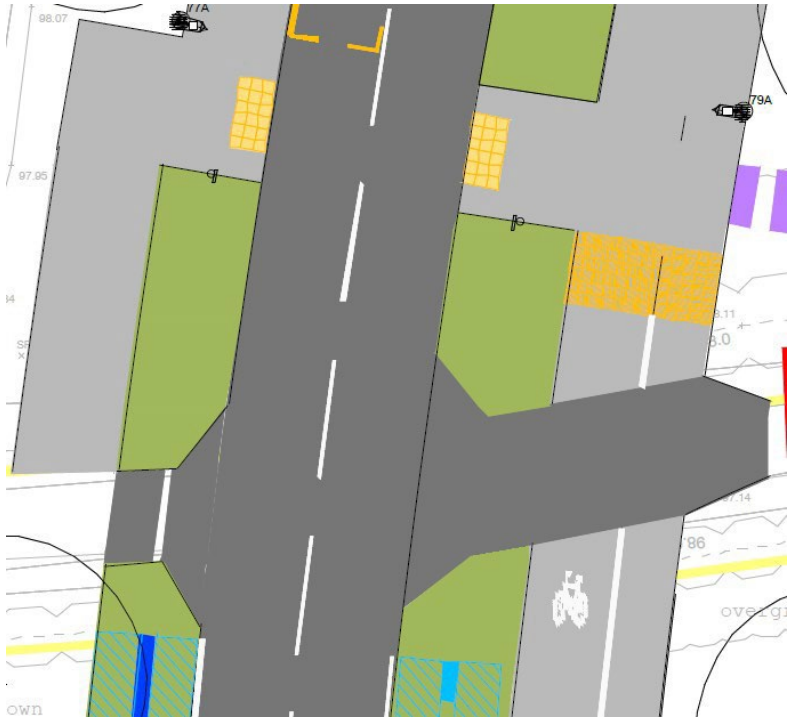

3.18. A direct pedestrian connection will be provided from the primary street to PRoW SM15 and a new private access for South Marston Farm, will be constructed.

3.19. During construction of the access arrangements for South Marston Farm, their access will be safeguarded from Morses Lane, until the works have completed. Heras fencing will be placed to the north and south of the existing access to secure the site and retain access across the primary street during construction. A manned gate will be operated during working hours to grant plant access to the site.

3.20. The residential access to Marston Farm along Morses Lane will remain in place until the completion of the primary street, thereafter, primary access to South Marston Farm will be off the Primary Street via a new junction to the existing access, as shown in ***Figure 10***.

Future connections

3.21. The reserved matters provide a grass strip adjacent to the cycle track and walkway, which serves as an alternative horse route, connecting Morses lane to the western portion of the Woodland Walk which will come forward as part of a future reserved matters application.

3.22. The shared 3.5m cycle track and walkway through the Oxleaze gateway (***Figure 7*** (2)) will also provide the connection to the wider NEV, including Symmetry Park following the crossing of the Green Bridge.

Thornhill Road Junction

Figure 11: Thornhill Junction

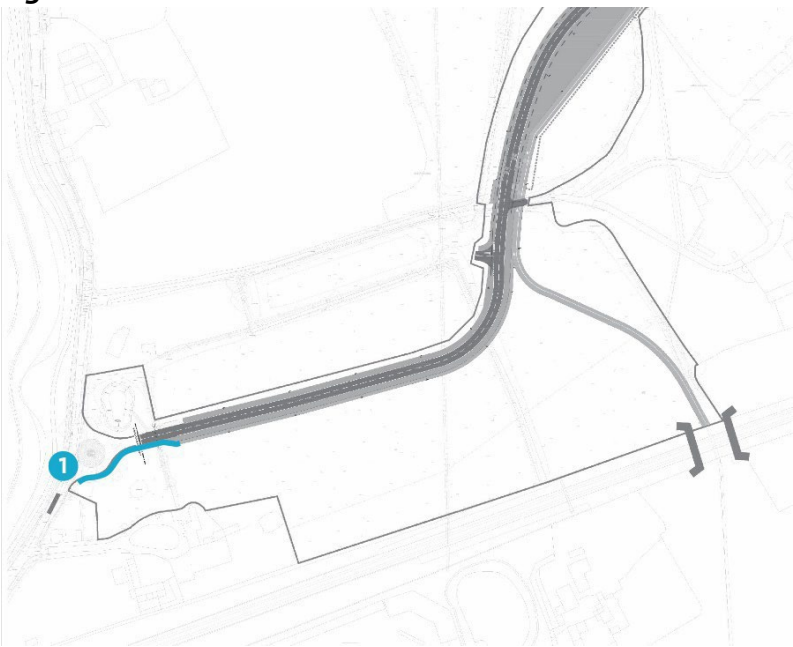

Delivery timeframe

3.23. The new junction at Thornhill as approved under planning permission (S/COND/22/0483) will act as the construction access for development at South Marston.

3.24. Prior to 300 occupations, the primary street shall be fully implemented, however the western section shall be utilised as a construction route until all residential units within South Marston are completed.

3.25. A 2m footway will extent from the roundabout and along the southern edge of the carriageway, shall be provided prior to 300 occupations.

Interaction with existing networks

3.26. The roundabout demonstrates the delivery of a safe connection from the new primary street, across Thornhill Road via tactile paving crossing points on the southern arm of the roundabout and then continuation of the footway west within the land the consortium control and/or highways land.

Future connections

3.27. A future connection to SM11 and the Eastern Flyer to the west of the junction (1) is supported and sought by the consortium, insofar as they will actively support the LPA/LHA in using its statutory powers to achieve a connection onto the bridle route.

4.0. Interaction with PRoW during construction

4.1. Public Rights of Way (PRoWs), SM5, SM6 and SM15, are located within extent of this reserved matters area. Where possible, the Consortium propose to keep the PRoWs open to the public, with some potential temporary diversions and closures as required.

4.2. Following discussion with South Marston Parish Council, is it proposed that SM5 will be kept open, whilst SM6 and SM15 will be temporarily closed. As SM5 will bisect construction working areas, the following measures will be implemented to ensure the safety of members of the public:

- The PRoW boundaries will be secured with double-clipped Heras fencing as a minimum to ensure the site working areas are fully secured from public pedestrians.
- Where any construction vehicles are required to cross the ProW, the Principal Contractor will carefully manage any traffic crossing points. The Principal Contractor will segregate the PRoW entirely and will install gated crossing points as required to be used by all construction plant and vehicles crossing over the PROWs, with the gates closing off the PRoW while the plant/vehicles cross. Due to the size of the site, it is expected that some PROWs may only require a small number of crossings per day, which would be managed by the operatives/drivers crossing the PROW. Where crossings will be frequent, a gateman / banksman will be permanently positioned on the crossing point to safely manage the interface between construction traffic and members of the public.
- Appropriate safety signage will be placed to clearly demarcate construction working areas beyond the fencing, giving warnings of hazards and potential dangers (such as "Danger: Keep Out", "No public access beyond this point" etc.).
- Where their works site is affected, each Site Manager (or an operative instructed by the Site Manager) will conduct visual checks at the start and end of each working day of the PRoW signage and boundary fencing each day, to ensure signage can be replaced if damaged / vandalised and any breaches in fencing can be dealt with quickly to maintain the security of the site and safety of members of the public.

Appendix 1: Temporary Footpath to the Leaze

Original Drawing Size A1

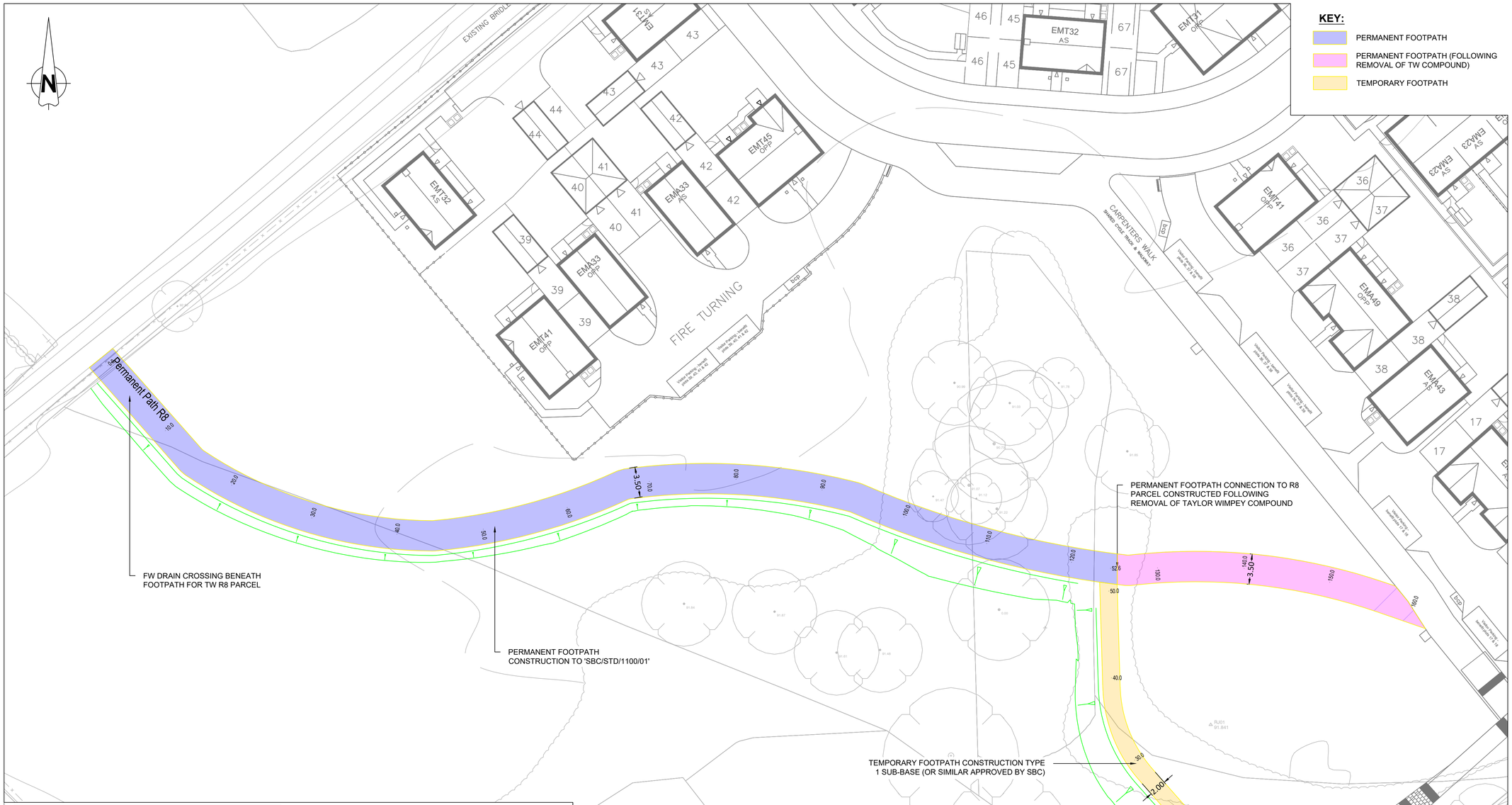

KEY:

- PERMANENT FOOTPATH
- PERMANENT FOOTPATH (FOLLOWING REMOVAL OF TW COMPOUND)
- TEMPORARY FOOTPATH

Construction Design and Management (CDM)
Key Residual Risks

Contractors entering the site should gain permission from the relevant land owners and/or principle contractor working on site at the time of entry. Contractors shall be responsible for carrying out their own risk assessments and for liaising with the relevant services companies and authorities. Listed below are Site Specific key risks associated with the project.

1) Overhead and underground services
2) Street Lighting Cables
3) Working adjacent to water courses and flood plain
4) Soft ground conditions
5) Working adjacent to live highways
6) Unchartered services

NOTES:

1. Do not scale from this drawing.
2. All dimensions are in metres unless otherwise stated.
3. Brookbanks consulting ltd has prepared this drawing for the sole use of the client. the drawing may not be relied upon by any other party without the express agreement of the client and Brookbanks consulting ltd. where any data supplied by the client or from other sources has been used, it has been assumed that the information is correct. no responsibility can be accepted by Brookbanks consulting ltd for inaccuracies in the data supplied by any other party. the drawing has been produced based on the assumption that all relevant information has been supplied by those bodies from whom it was requested.
4. No part of this drawing may be copied or duplicated without the express permission of Brookbanks consulting ltd.
5. All dimensions and all levels in metres unless noted otherwise.
6. Any discrepancies noted on site are to be reported to the engineer immediately.
7. Section 278 agreement highway works to carried out in strict accordance with Swindon Borough council's requirements.
8. All works within existing public highway, including any temporary works or traffic management measures, are subject to the approval of Swindon Borough Council. when works are required on the public highway, the contractor shall liaise with and obtain all statutory approvals from Swindon Borough Council, before commencing these works. these approvals include, but are not limited to, approval of traffic management measures, issue of works commencement notices, road opening notices, temporary traffic regulation orders etc.
9. All traffic management shall comply with the requirements as set out in chapter 8 of the traffic signs manual. warning signs may be erected outside the indicated boundaries. any obstructions to traffic or pedestrians shall be properly signed and protected with barriers, cones, signs, and lamps.
10. All planting in visibility splays to be agreed and approved by Swindon Borough Council and in all cases no planting to be above 600mm in height above the carriageway. also no obstructions of any kind within the visibility splay areas.
11. All tactile areas to be laid in accordance with detr "guidance on the use of tactile paving surfaces".
12. All traffic signs and road markings are to be in accordance with the 'Traffic Signs Regulations and General Directions 2016'.
13. Any damage caused to existing footways, roads or other third party property to be made good to the county engineers requirements.
14. Temporary works associated with the construction of the works shall be the responsibility of the contractor.

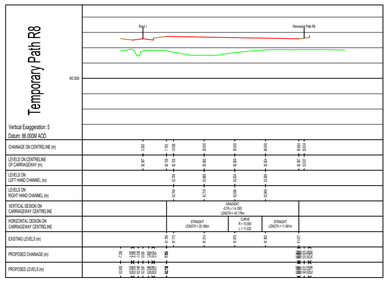

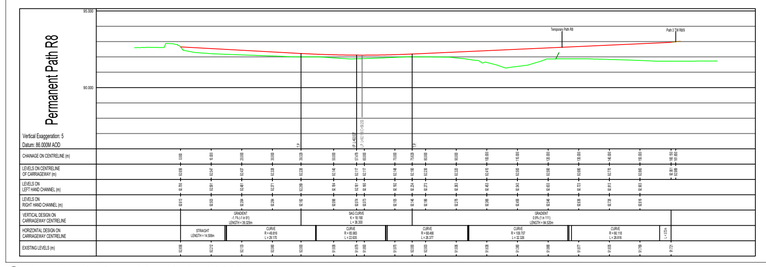

UNTIL TECHNICAL APPROVAL HAS BEEN OBTAINED FROM THE RELEVANT LOCAL AUTHORITIES, IT SHOULD BE UNDERSTOOD THAT ALL DRAWINGS ARE ISSUED AS PRELIMINARY AND NOT FOR CONSTRUCTION. SHOULD THE CONTRACTOR COMMENCE SITE WORK PRIOR TO APPROVAL BEING GIVEN, IT IS ENTIRELY AT THEIR OWN RISK.

-	First Issue	CM CM SM	25.11.25

BROOKBANKS

6150 Knights Court, Solihull Parkway, Birmingham, B37 7WY
T +44 (0)121 329 4330 E mail@brookbanks.com
W brookbanks.com

Swindon EDA Consortium

Proposed Development
Swindon EV Phase 1

R8 Temporary Footpath

Status		Status Date
Information		Nov' 2025
Drawn	**Checked**	**Date**
CM	SM	25.11.2025
Scale	**Number**	**Rev**
1:250	1335-SK-197	-

0 5 10 15 20 25
METRES

© Brookbanks Consulting Limited 2025

P:\1335\CAD\BCL\Current Drawings\1335-SK-197 R8 Temporary Footpath.dwg