Woodland Frontage

5.44 Woodland frontages are located along the development boundary and where development relates to The Nightingale Wood. Over the length of the frontage, a variety of materials, building heights and housing typologies are proposed to respond to specific locations.

5.45 Refer to section D-D and E-E on page 33 for typical street arrangement.

5.46 Existing hedgerows and trees are important landscape features that will act as natural boundaries defining the development edge and will be retained and enhanced where possible. Refer to Woodland buffer on SDC page 64 for details.

5.47 The table below sets out specific coding instructions for this frontage.

	WOODLAND FRONTAGE
BUILT FORM	
Overall Character	Informal character with mature trees and scrub planting along the development edge to create a soft transition to the woodland. Typically a predominantly green street with parking hidden behind hedgerow planting, and a more informal arrangement of housing with varying frontage depths and alignment along the edge of the street.
Set Back	Variation of building set backs and gaps to allow additional planting within the front gardens and between buildings. Occasional organic building orientation with irregular gaps between dwellings to create a 'looser' grain edge.
Frontage and Corners	Dwellings fronting landscape edges should be oriented to address the public open space while still allowing building rotation. Dwellings at corner locations must be dual aspect to ensure active frontages over both the forest and side streets. Frontage to allow for incidental views of the open space from within the parcel.
Access	Dwellings along the edges will be accessed via private drives from Tertiary Streets and Private Drive only. Grouped access to serve maximum 5 dwellings. Shared surface type arrangement are preferred. Direct access to dwellings is the predominant access arrangement.
Parking Typology	A variation of parking solutions is recommended, to include driveways, recessed garages, and occasionally on-street parking. Parallel parking in front of terraces is allowed where these are provided, subject to views onto this part of the frontage to be filtered by existing and / or new hedgerow planting.
BUILDING TYPOLOGY	
Building Types	A mix of detached and semi-detached dwellings should line the frontage with various gaps that allow mature planting to blend within the building line.
Building Height	Building heights of predominantly 2 storey, with occasional variation of height in carefully considered locations where there is a justified design response such as at key corners, vista terminations and where indicated as key buildings. Height variations along the edges should not be higher than 2.5 storeys as key buildings.
Roofscape	Variation of roof profiles and staggered building lines to create an informal development edge, positively responding to the forest.
ARCHITECTURAL DETAIL AND BOUNDARY TREATMENT	
Building Material	Multi buff brick to be used as primary materials and in correlation with timber weatherboarding at first floor for accent buildings.
Architectural Features	Protruding box window in contrasting colour to give interest to the facade. Large openings facing onto the open space. Fenestration to be in contrasting colour. Dormers and chimneys recommended.
Boundary Treatment	Boundary treatment to be compatible with woodland buffer prescribed in the SDC page 64. Boundary to be no taller than 1m, timber post and rail fence to edge of open space. Low level shrubs or hedges and scrubs to be incorporated in front of dwellings to create a soft transition onto the Woodland. Rear garden wall visible from street will use the same brick colour as the associated building.

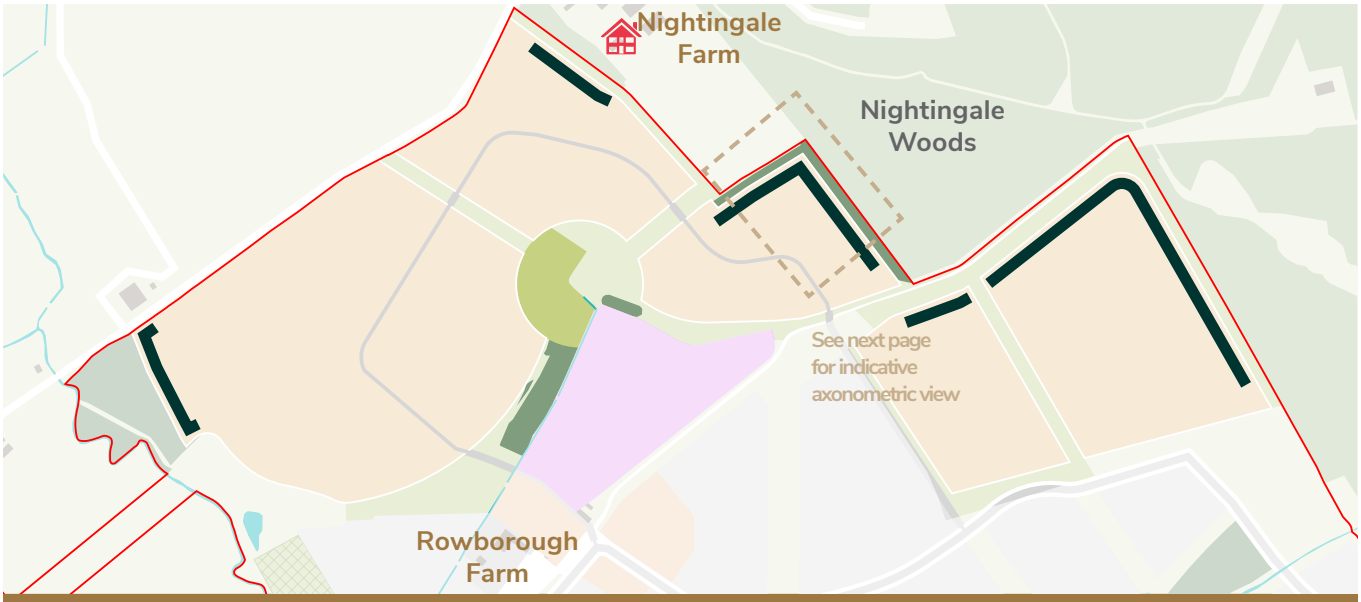

Nightingale Lane Frontage Location Diagram

Timber post and rail fence can be accommodated along the development edges to define the public and private realm

Projecting box window at first floor to bring interest and distinctness

Occasional use of accent material such as weatherboarding to create visual interest

Buildings to be screened behind retained hedgerows to create enclosure and filtered views to open space

Boundary Treatment

Timber post and rail fence

Scrubs and trees to be introduced

Materials

PRIMARY

Light Brown Multi Brick

Dark Red / Brown roof tile

ACCENT

Light colour weather-boarding

Architectural Detailing

Chimney on one side

Modern canopy entrance porch

Large box windows at first floor



Rectangular roof dormers or bays

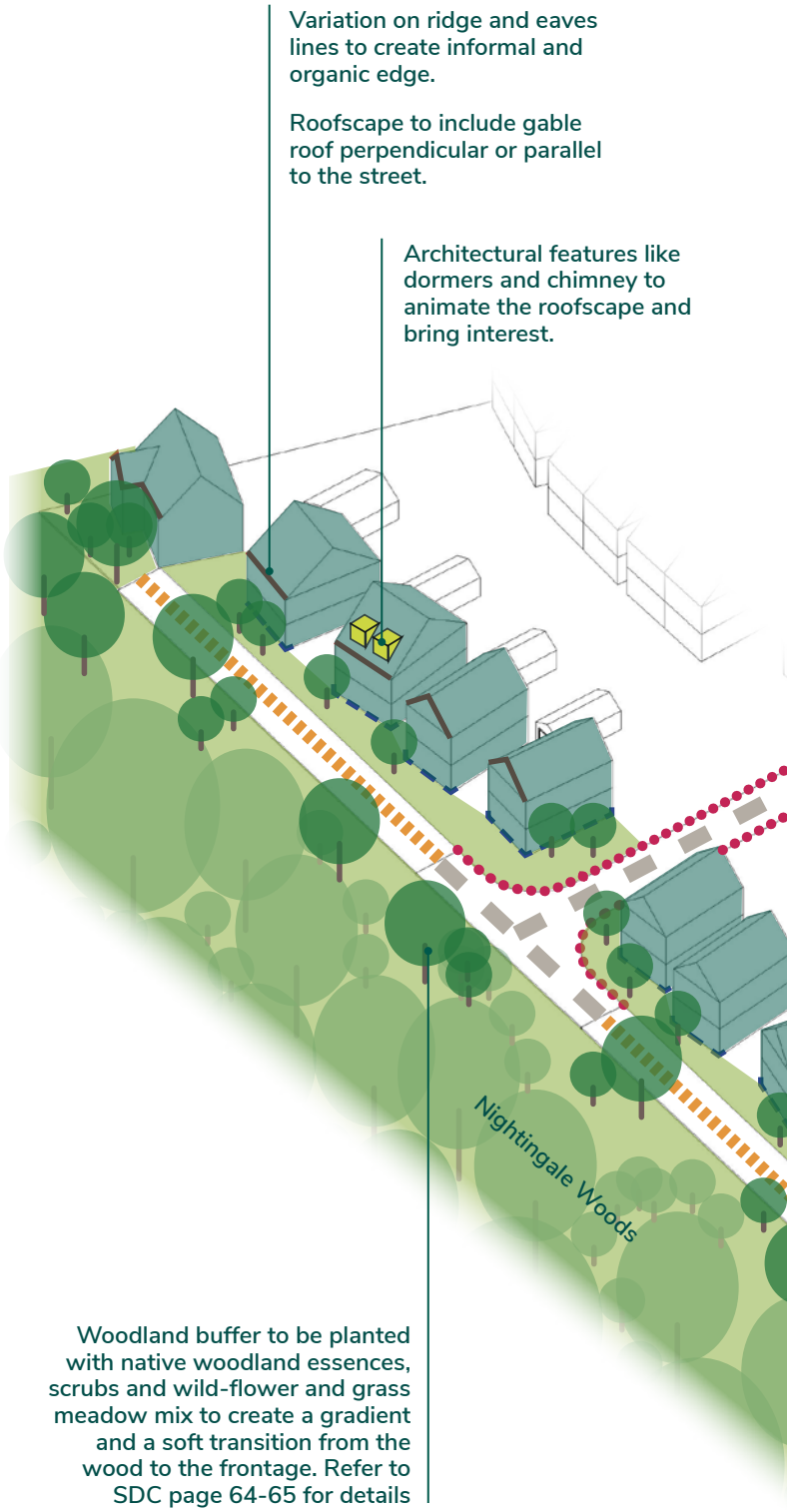

Informal setback to invite additional planing.

Frontage to display a 'looser' urban grain thanks to organic building orientation and irregular gaps between dwellings when facing the wood/open space.

Corner building to be dual aspect to ensure active frontages on both sides.

Variation in setback along the frontage.

Front and side garden to be planted with shrubs and trees blending the frontage to the wood.

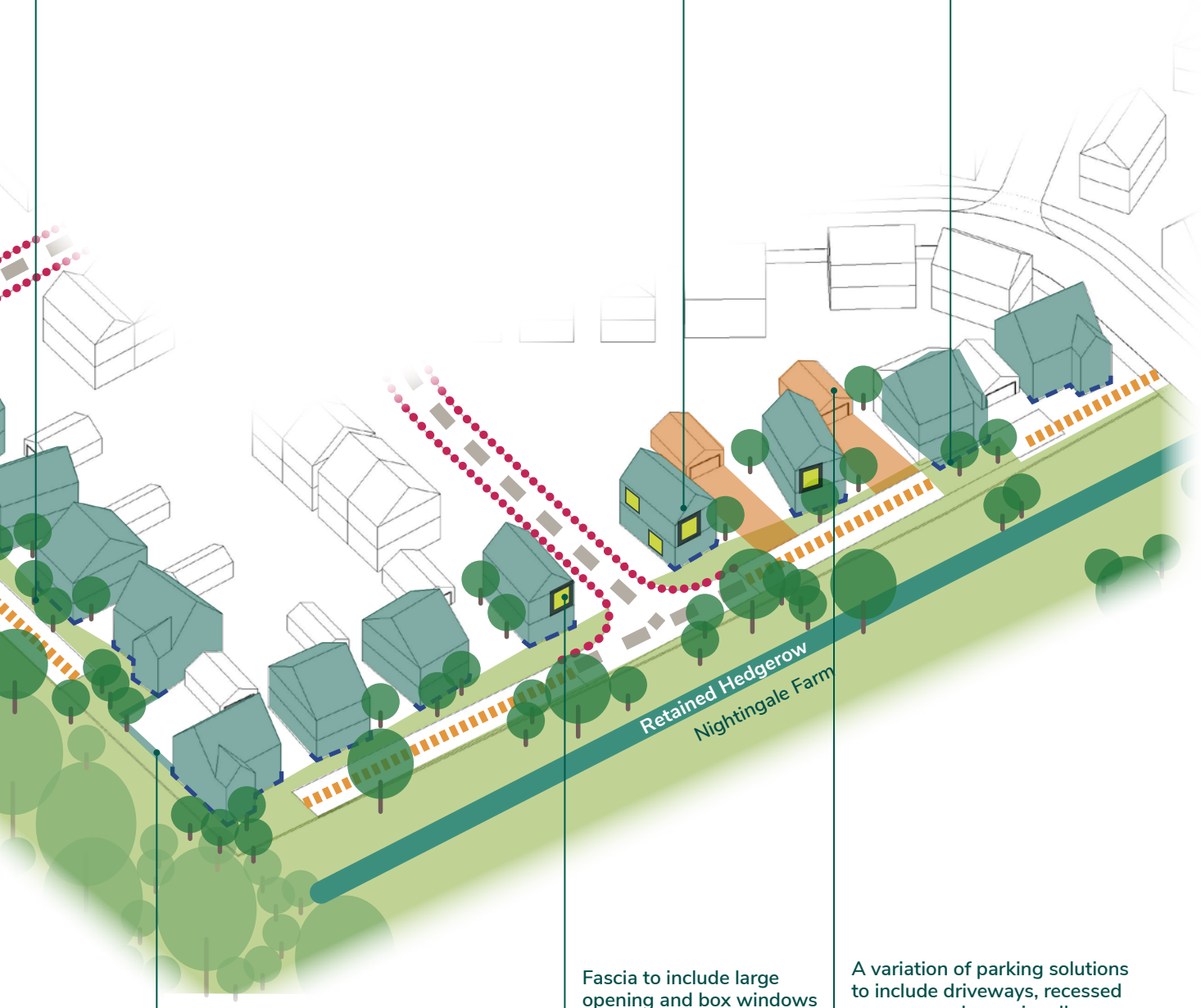

Fascia to include large opening and box windows facing the wood/open space.

A variation of parking solutions to include driveways, recessed garages, and occasionally on-street parking.

Parallel parking in front of terraces is allowed where these are provided, subject to views onto this part of the frontage to be filtered by existing and / or new hedgerow planting.

Rear garden wall visible from street to use the same brick colour as the associated building.

Recycling and Waste Management

5.48 Provision for the storage of refuse bins is to be integrated within the design of the building envelop or boundary treatments, to avoid clutter within and visual prominence from the public realm.

5.49 Individual waste storage shall be located within each plot, out of view from public areas and/or integrated with the garage, where provided.

5.50 Storage to the front of the dwelling is accepted only if adequately screened i.e. within storage box or by boundary treatment.

5.51 The proposed development will comply with the below residential bin storage principles:

- A bin storage area of a sufficient size must be provided for each dwelling.

- Storage areas for waste containers should be sited so that the distance householders are required to carry refuse does not usually exceed 30m (excluding any vertical distance).

- The storage area must be accessed via an external hard surfaced, smooth and level or gently sloping route without steps.

- Collection points should be within 10m of a stopping point for a Refused Collection Vehicle.

- Front landscaping to be designed to discourage bins to be left in the visible public domain where possible.

- Communal bins store must be provided for apartments. They should be designed to provide 1meter in front and 150mm between and around bins to allow convenient access for filling and removal

Utilities

5.52 All meter boxes will be on a side wall, or at ground level.

Inclusive Design

5.53 The built environment can contribute to a more equal, inclusive and cohesive society if the places where we live are designed to be accessible and inclusive. This relates to access but also to feelings of safety and belonging.

5.54 Provision of accessibility and adaptability dwellings will be in accordance with the Outline Planning Permission and Local Authority requirements, such as the Inclusive Design Access for All SPD (2011). These homes will be located within easy access of services and facilities

5.55 The site is relatively flat, and road gradients will therefore ensure ease of use for all members of the community. All on-street footways as well as routes to school from each CADC parcels will be accessible to wheelchairs and buggies, well-connected, overlooked and well lit by street lighting.

5.56 Affordable housing should be located in small clusters up to 15 unit clusters throughout the site and designed to be undistinguishable from the market housing.

5.57 All the open spaces are well overlooked by adjacent dwellings with no isolated corners. The central green space provides a safe and accessible natural space where different groups can gather, play and relax.

5.58 Surface materials will comply with the requirements of the Equalities Act. Surface materials within public highway or areas to be offered for public highway will comply with LHA requirements. Cycle routes, and 3m wide key links to be tarmac while footpaths through public open space will be hogging.

All plans are reproduced from the Ordnance Survey Map with the permission of the Controller of HMSO. Crown copyright Reserved.

Licence No. AR152684.

Stantec
The Blade,
Abbey Square,
Reading
Berkshire
RG1 3BE

T: 0118 943 0000

E: BWReading.Support@stantec.com

The contents of this document must not be copied or reproduced in whole or in part without the written consent of Stantec.

U:\333101228\A5 - Reports & Graphics\Graphic Design\Documents\01228 - ID02 - Character Area Design Code 4
U:\333101228\A5 - Reports & Graphics\Graphic Design\Documents\01228 - ID02 - Character Area Design Code 4

Document Status:	DRAFT
Revision:	D
Author:	JT
Checked by:	TL
Authorised by:	DS
Issue Date:	Sep 2025

Stantec