Location	Morning Peak					Evening Peak				
	2026	Phase I	Change	% Change	GEH	2026	Phase I	Change	% Change	GEH
Fleming Way	1510	1599	89	5.9%	2.3	1683	1747	64	3.8%	1.5
A4312 Queens Drive	3423	3681	258	7.5%	4.3	4038	4240	202	5.0%	3.1
A313 Ocotal Way	958	1117	159	16.6%	4.9	876	966	90	10.3%	3.0
A4312 Drakes Way	2346	2483	137	5.8%	2.8	2540	2659	119	4.7%	2.3
B4006 Swindon Road	2719	2564	-155	-5.7%	3.0	2566	2553	-13	-0.5%	0.3
B4006 Dorcan way	1060	988	-72	-6.8%	2.3	1504	1605	101	6.7%	2.6
Marlow Avenue	462	433	-29	-6.3%	1.4	780	849	69	8.8%	2.4
A4259 Queens Drive	1745	1552	-193	-11.1%	4.8	2186	2228	42	1.9%	0.9
Wanborough Road (east of A419)	613	647	34	5.5%	1.4	742	754	12	1.6%	0.4
Covingham Drive	1391	1439	48	3.5%	1.3	1383	1555	172	12.4%	4.5

Figure 12a: Two way flow link analysis – 2026 Phase I

12.2 A review of the GEH statistics indicates that the GEH threshold is not exceeded in either morning or evening peak periods. The highest change in traffic is predicted to occur within the A4312 Queens Drive corridor. The section to the west of White Hart was assessed through the Paramics model. The mitigation strategy includes signals approaching White Hart and as such responds to the increase in traffic. The Green Bridge junction has been assessed, with no need for mitigation.

12.3 The highest percentage increase is predicted within the A313 Ocotal Way corridor. The percentage increase is a factor of the relatively low background traffic flows. This corridor is a single carriageway road constructed to a good standard. The predicted flow is within the theoretical capacity of the link.

12.4 In the PM peak Covingham Drive is identified to experience an increase in traffic. This link was assessed within the Paramics model, with mitigation identified on the junction with Merlin Way.

12.5 Traffic levels within the A4312 Drakes Way corridor is also predicted to increase. However, the total flows are expected to be within the theoretical thresholds of highway capacity.

12.6 All other links are predicted to decrease or the change in traffic will be within the expected variation in daily flows.

12.7 The sensitivity test of the Phase 1A is indicated below.

Location	Morning Peak					Evening Peak				
	Phase I	Phase IA	Change	% Change	GEH	Phase I	Phase IA	Change	% Change	GEH
Fleming Way	1599	1630	31	1.9%	0.8	1747	1788	41	2.3%	1.0
A4312 Queens Drive	3681	3821	140	3.8%	2.3	4240	4329	89	2.1%	1.4
A313 Ocotal Way	1117	1233	116	10.4%	3.4	966	990	24	2.5%	0.8
A4312 Drakes Way	2483	2712	229	9.2%	4.5	2659	2701	42	1.6%	0.8
B4006 Swindon Road	2564	2402	-162	-6.3%	3.3	2553	2551	-2	-0.1%	0.0
B4006 Dorcan way	988	1002	14	1.4%	0.4	1605	1620	15	0.9%	0.4
Marlow Avenue	433	455	22	5.1%	1.0	849	894	45	5.3%	1.5
A4259 Queens Drive	1552	1859	307	19.8%	7.4	2228	2239	11	0.5%	0.2
Wanborough Road (east of A419)	647	648	1	0.2%	0.0	754	741	-13	-1.7%	0.5
Covingham Drive	1439	1475	36	2.5%	0.9	1555	1673	118	7.6%	2.9

Figure 12b: Two way flow link analysis – 2026 Phase IA

12.8 This indicates that there are several locations predicted to experience an increase in traffic. The predicted link flows are within theoretical thresholds and should therefore not give rise to congestion problems.

12.9 The results of the 2026 Phase 2 are indicated below.

Location	Morning Peak					Evening Peak				
	Phase 1A	Phase II	Change	% Change	GEH	Phase 1A	Phase II	Change	% Change	GEH
Fleming Way	1630	1682	52	3.2%	1.3	1788	1954	166	9.3%	3.8
A4312 Queens Drive	3821	3992	171	4.5%	2.7	4329	4602	273	6.3%	4.1
A313 Ocotal Way	1233	1345	112	9.1%	3.1	990	1228	238	24.0%	7.1
A4312 Drakes Way	2712	2822	110	4.1%	2.1	2701	2280	-421	-15.6%	8.4
B4006 Swindon Road	2402	2386	-16	-0.7%	0.3	2551	2381	-170	-6.7%	3.4
B4006 Dorcan way	1002	1120	118	11.8%	3.6	1620	1585	-35	-2.2%	0.9
Marlow Avenue	455	426	-29	-6.4%	1.4	894	871	-23	-2.6%	0.8
A4259 Queens Drive	1859	1896	37	2.0%	0.9	2239	2539	300	13.4%	6.1
Covingham Drive	1475	1505	30	2.0%	0.8	1673	1655	-18	-1.1%	0.4

Figure 12c: Two way flow link analysis – 2026 Phase 2

12.10 This indicates that there are several locations predicted to experience an increase in traffic. The predicted link flows are within theoretical thresholds and should therefore not give rise to congestion problems.

13 Limitations

13.1 The conclusions and recommendations highlighted above are limited to the general availability of background information and the planned usage of the site.

13.2 Third party information has been used in the preparation of this report, which Brookbanks Consulting Ltd, by necessity assumes is correct at the time of writing. While all reasonable checks have been made on data sources and the accuracy of data, Brookbanks Consulting Ltd accepts no liability for same.

13.3 The benefits of this report are provided to SEVC for the proposed development land at east of Swindon.

13.4 Brookbanks Consulting Ltd excludes third party rights for the information contained in the report.

Appendix A – Parameter Plan

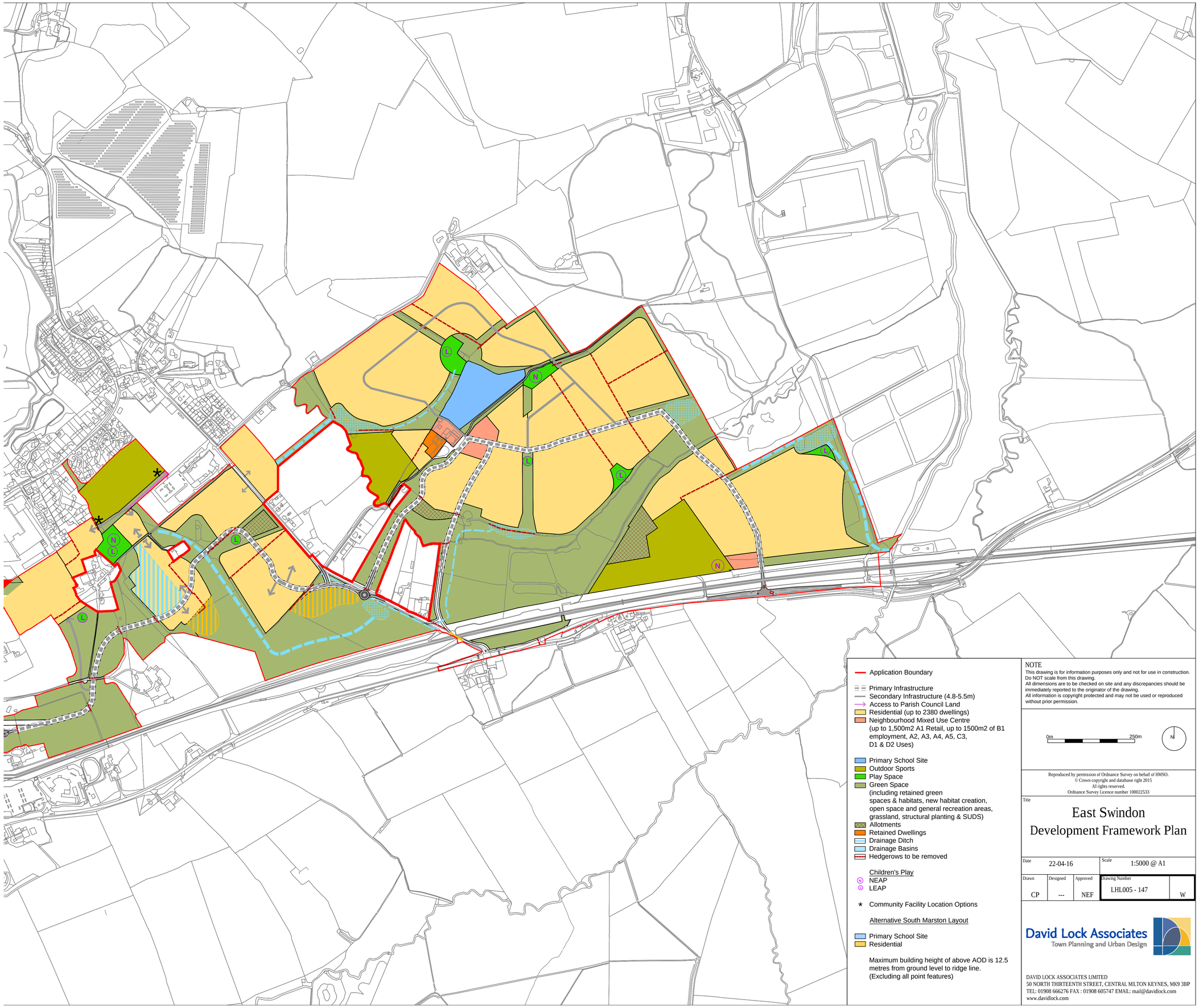
Application Boundary
Primary Infrastructure
Secondary Infrastructure (4.8-5.5m)
Access to Parish Council Land
Residential (up to 2380 dwellings)
Neighbourhood Mixed Use Centre
(up to 1,500m2 A1 Retail, up to 1500m2 of B1 employment, A2, A3, A4, A5, C3, D1 & D2 Uses)
Primary School Site
Outdoor Sports
Play Space
Green Space
(including retained green spaces & habitats, new habitat creation, open space and general recreation areas, grassland, structural planting & SUDS)
Allotments
Retained Dwellings
Drainage Ditch
Drainage Basins
Hedgerows to be removed
Children's Play
NEAP
LEAP
Community Facility Location Options
Alternative South Marston Layout
Primary School Site
Residential
Maximum building height of above AOD is 12.5 metres from ground level to ridge line.
(Excluding all point features)
NOTE
This drawing is for information purposes only and not for use in construction.
Do NOT scale from this drawing.
All dimensions are to be checked on site and any discrepancies should be immediately reported to the originator of the drawing.
All information is copyright protected and may not be used or reproduced without prior permission.
0m
250m
N
Reproduced by permission of Ordnance Survey on behalf of HMSO.
© Crown copyright and database right 2015
All rights reserved.
Ordnance Survey Licence number 100022533
Title
East Swindon
Development Framework Plan
Date
22-04-16
Scale
1:5000 @ A1
Drawn
CP
Designed

Approved
NEF
Drawing Number
LHL005 - 147
W
David Lock Associates
Town Planning and Urban Design
DAVID LOCK ASSOCIATES LIMITED
50 NORTH THIRTEENTH STREET, CENTRAL MILTON KEYNES, MK9 3BP
TEL: 01908 666276 FAX : 01908 605747 EMAIL: mail@davidlock.com
www.davidlock.com

Appendix B – Accident Summary

ANALYSIS OF PERSONAL INJURY ACCIDENT RECORD

JOB No.	1335	SITE	WHOLE STUDY AREA	ANALYSED BY	S.M.T.
JOB NAME	SWINDON EDA	PERIOD	from 1-Mar-08 to 28-Feb-13	DATE	Jun-13

NUMBER	from	to	ACCIDENTS SLIGHT	SERIOUS	FATAL	TOTAL	CASUALTIES TOTAL
YEAR 1	Mar-08	Feb-09	86	13	0	**99**	**133**
YEAR 2	Mar-09	Feb-10	75	14	0	**89**	**121**
YEAR 3	Mar-10	Feb-11	62	6	1	**69**	**99**
YEAR 4	Mar-11	Feb-12	71	11	0	**82**	**119**
YEAR 5	Mar-12	Feb-13	71	7	1	**79**	**125**
TOTAL	**Mar-08**	**Feb-13**	**365**	**51**	**2**	**418**	**597**
			87%	***12%***	***0%***		

average = **84.0** PIAs per annum

average casualties/PIA= 1.4

SEASON	NUMBER	%
DEC / JAN / FEB		
MAR / APR / MAY		
JUN / JUL / AUG		
SEP / OCT / NOV		
TOTAL		

DAY		
MON	56	*13%*
TUE	69	*17%*
WED	69	*17%*
THU	62	*15%*
FRI	66	*16%*
SAT	57	*14%*
SUN	39	*9%*
TOTAL	**418**	***100%***

TIME		
0700-0900		
0900-1200		
1200-1400		
1400-1600		
1600-1900		
1900-2300		
2300-0700		
TOTAL		

INVOLVED	NUMBER	%
PARKED VEHICLE	10	*2%*
PEDESTRIAN	23	*6%*
PEDAL CYCLE	41	*10%*
MOTOR CYCLE	60	*14%*
PSV	5	*1%*
HGV	23	*6%*
MGV	4	*1%*

TYPE	NUMBER	%
RIGHT TURN	66	*16%*
REAR SHUNT	182	*44%*
CHANGE LANE	23	*6%*
OVERT/HEAD-ON	28	*7%*
SINGLE VEH	77	*18%*

CONTRIB FACTORS	NUMBER	%
SPEED	61	*15%*
BEND	31	*7%*
SKID	86	*21%*
OTHER LOSS CONTROL	26	*6%*
Disobeyed Control	36	*9%*
Alcohol	24	*6%*
Young Driver <24	129	*31%*

CONDITIONS	NUMBER	%
DARK	116	*28%*
WET / ICE	122	*29%*
NOT FINE	56	*14%*

NOTABLE FACTORS:

13% of accidents resulted in serious or fatal injury
Both fatal accidents involved
a motorcylist

44% of accidents involved rear end shunts

31% of accidents involved drivers/riders aged
23-years or under

30% of accidents involved vulnerable road users
23 or 5% pedestrians
41 or 10% pedal cycles
60 or 14% motor cycles

20% of accidents involved vehicles skidding

1335 SWINDON ACCIDENT ANALYSIS AREAS

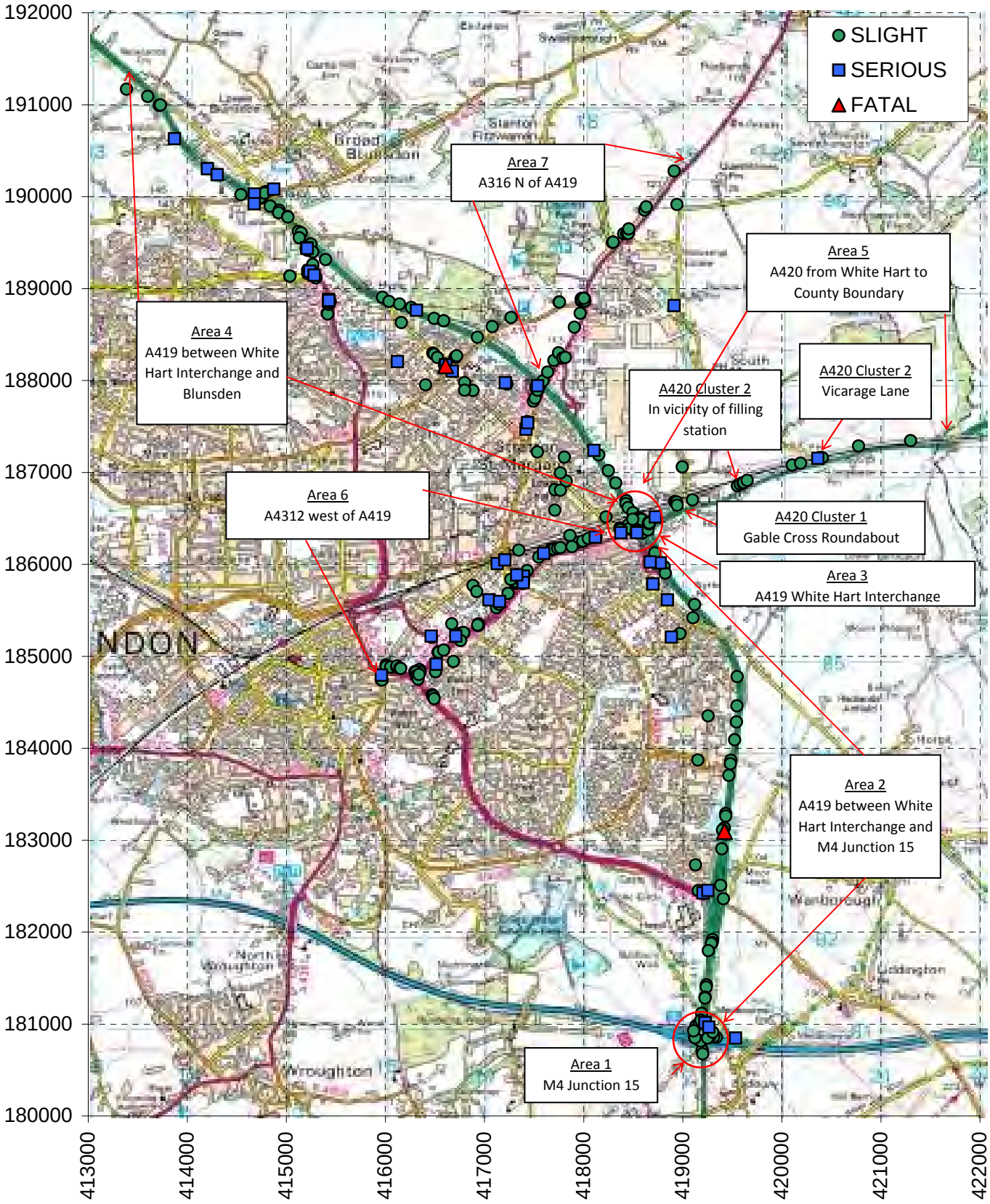

FILE="1335x 00 Accidents to END Feb 2013 - All.xls~Figure 1" SMT 07/05/2014

ANALYSIS OF PERSONAL INJURY ACCIDENT RECORD

JOB No.	1335	SITE	A419 JUNCTION WITH M4	ANALYSED BY	S.M.T.
JOB NAME	SWINDON EDA	PERIOD	from 1-Mar-08 to 28-Feb-13	DATE	May-14

NUMBER	from	to	ACCIDENTS SLIGHT	SERIOUS	FATAL	TOTAL	CASUALTIES TOTAL
YEAR 1	Mar-08	Feb-09	7	2	0	**9**	**10**
YEAR 2	Mar-09	Feb-10	4	1	0	**5**	**5**
YEAR 3	Mar-10	Feb-11	3	1	0	**4**	**6**
YEAR 4	Mar-11	Feb-12	11	0	0	**11**	**17**
YEAR 5	Mar-12	Feb-13	7	0	0	**7**	**14**
TOTAL	**Mar-08**	**Feb-13**	**32**	**4**	**0**	**36**	**52**
			89%	***11%***	***0%***		

average = **7.2** PIAs per annum

average casualties/PIA= 1.4

SEASON	NUMBER	%
DEC / JAN / FEB	6	*17%*
MAR / APR / MAY	12	*33%*
JUN / JUL / AUG	8	*22%*
SEP / OCT / NOV	10	*28%*
TOTAL	**36**	***100%***

DAY		
MON	4	*11%*
TUE	6	*17%*
WED	4	*11%*
THU	8	*22%*
FRI	5	*14%*
SAT	5	*14%*
SUN	4	*11%*
TOTAL	**36**	***100%***

TIME		
0700-0900	7	*19%*
0900-1200	5	*14%*
1200-1400	8	*22%*
1400-1600	2	*6%*
1600-1900	9	*25%*
1900-2300	1	*3%*
2300-0700	4	*11%*
TOTAL	**36**	***100%***

INVOLVED	NUMBER	%
PARKED VEHICLE	0	*0%*
PEDESTRIAN	0	*0%*
PEDAL CYCLE	0	*0%*
MOTOR CYCLE	5	*14%*
PSV	0	*0%*
HGV	4	*11%*
MGV	0	*0%*

TYPE	NUMBER	%
RIGHT TURN	0	*0%*
REAR SHUNT	24	*67%*
CHANGE LANE	6	*17%*
OVERT/HEAD-ON	1	*3%*
SINGLE VEH	3	*8%*

CONTRIB FACTORS	NUMBER	%
SPEED	5	*14%*
BEND	6	*17%*
SKID	3	*8%*
OTHER LOSS CONTROL	1	*3%*
Alcohol	2	*6%*
Young Driver <23	10	*28%*

CONDITIONS	NUMBER	%
DARK	2	*6%*
WET / ICE	8	*22%*
NOT FINE	4	*11%*

NOTABLE FACTORS:

25 or 67% of accidents involved rear end shunts

5 or 14% involved vulnerable road users (all motor cycles)

4 accidents resulted in serious injury but these are
on a downward trend: 2 - 1 - 1 - 0 - 0
3 involved a motorcyclist
but no other common features

16 of the accidents are clustered at the A419
southbound entry to the roundabout
13 of these involved rear end shunts

ANALYSIS OF PERSONAL INJURY ACCIDENT RECORD

JOB No.	1335	SITE	A419 NORTH OF M4 to WHITE HART ROUNDABOUT	ANALYSED BY	S.M.T.
JOB NAME	SWINDON EDA	PERIOD	from 1-Mar-08 to 28-Feb-13	DATE	May-14

NUMBER	from	to	ACCIDENTS SLIGHT	SERIOUS	FATAL	TOTAL	CASUALTIES TOTAL
YEAR 1	Mar-08	Feb-09	5	1	0	**6**	**9**
YEAR 2	Mar-09	Feb-10	7	0	0	**7**	**15**
YEAR 3	Mar-10	Feb-11	9	0	1	**10**	**16**
YEAR 4	Mar-11	Feb-12	2	0	0	**2**	**2**
YEAR 5	Mar-12	Feb-13	4	0	0	**4**	**8**
TOTAL	**Mar-08**	**Feb-13**	**27**	**1**	**1**	**29**	**50**
			93%	***3%***	***3%***		

average = **5.8** PIAs per annum

average casualties/PIA= 1.7

SEASON	NUMBER	%
DEC / JAN / FEB	12	*41%*
MAR / APR / MAY	5	*17%*
JUN / JUL / AUG	6	*21%*
SEP / OCT / NOV	6	*21%*
TOTAL	**29**	***100%***

DAY		
MON	5	*17%*
TUE	4	*14%*
WED	4	*14%*
THU	4	*14%*
FRI	5	*17%*
SAT	3	*10%*
SUN	4	*14%*
TOTAL	**29**	***100%***

TIME		
0700-0900	6	*21%*
0900-1200	2	*7%*
1200-1400	2	*7%*
1400-1600	2	*7%*
1600-1900	8	*28%*
1900-2300	3	*10%*
2300-0700	6	*21%*
TOTAL	**29**	***100%***

INVOLVED	NUMBER	%
PARKED VEHICLE	0	*0%*
PEDESTRIAN	0	*0%*
PEDAL CYCLE	1	*3%*
MOTOR CYCLE	2	*7%*
PSV	0	*0%*
HGV	3	*10%*
MGV	1	*3%*

TYPE	NUMBER	%
RIGHT TURN	0	*0%*
REAR SHUNT	16	*55%*
CHANGE LANE	4	*14%*
OVERT/HEAD-ON	1	*3%*
SINGLE VEH	8	*28%*

CONTRIB FACTORS	NUMBER	%
SPEED	5	*17%*
BEND	1	*3%*
SKID	15	*52%*
OTHER LOSS CONTROL	4	*14%*
Disobeyed control	1	*3%*
Alcohol	1	*3%*
Young Driver <23	8	*28%*

CONDITIONS		NUMBER	%
DARK		12	*41%*
WET / ICE		12	*41%*
NOT FINE		6	*21%*

NOTABLE FACTORS:

55% of accidents involved rear end shunts

52% of accidents involved vehicles skidding

1 fatal injury accident occurred when a pedal cycle tavelling southbound without lights, just north of Commonhead Roundabout, was struck by an HGV travelling in the same direction.

ANALYSIS OF PERSONAL INJURY ACCIDENT RECORD

JOB No.	1335	SITE	A419 WHITE HART INTERCHANGE	ANALYSED BY	S.M.T.
JOB NAME	SWINDON EDA	PERIOD	from 1-Mar-08 to 28-Feb-13	DATE	May-14

NUMBER	from	to	ACCIDENTS SLIGHT	SERIOUS	FATAL	TOTAL	CASUALTIES TOTAL
YEAR 1	Mar-08	Feb-09	10	0	0	**10**	**15**
YEAR 2	Mar-09	Feb-10	8	1	0	**9**	**11**
YEAR 3	Mar-10	Feb-11	9	0	0	**9**	**11**
YEAR 4	Mar-11	Feb-12	7	1	0	**8**	**8**
YEAR 5	Mar-12	Feb-13	7	0	0	**7**	**11**
TOTAL	**Mar-08**	**Feb-13**	**41**	**2**	**0**	**43**	**56**
			95%	***5%***	***0%***		

average = **8.6** PIAs per annum

average casualties/PIA= 1.3

SEASON	NUMBER	%
DEC / JAN / FEB	13	*30%*
MAR / APR / MAY	13	*30%*
JUN / JUL / AUG	8	*19%*
SEP / OCT / NOV	9	*21%*
TOTAL	**43**	***100%***

DAY		
MON	6	*14%*
TUE	6	*14%*
WED	4	*9%*
THU	7	*16%*
FRI	12	*28%*
SAT	4	*9%*
SUN	4	*9%*
TOTAL	**43**	***100%***

TIME		
0700-0900	5	*12%*
0900-1200	7	*16%*
1200-1400	12	*28%*
1400-1600	8	*19%*
1600-1900	10	*23%*
1900-2300	0	*0%*
2300-0700	1	*2%*
TOTAL	**43**	***100%***

INVOLVED	NUMBER	%
PARKED VEHICLE	0	*0%*
PEDESTRIAN	0	*0%*
PEDAL CYCLE	0	*0%*
MOTOR CYCLE	6	*14%*
PSV	0	*0%*
HGV	2	*5%*
MGV	0	*0%*

TYPE	NUMBER	%
RIGHT TURN	0	*0%*
REAR SHUNT	38	*88%*
CHANGE LANE	2	*5%*
OVERT/HEAD-ON	0	*0%*
SINGLE VEH	2	*5%*

CONTRIB FACTORS	NUMBER	%
SPEED	3	*7%*
BEND	1	*2%*
SKID	4	*9%*
OTHER LOSS CONTROL	0	*0%*
Disobeyed control	0	*0%*
Alcohol	0	*0%*
Young Driver <23	8	*19%*

CONDITIONS		NUMBER	%
DARK		6	*14%*
WET / ICE		13	*30%*
NOT FINE		4	*9%*

NOTABLE FACTORS:

88% of accidents involved rear end shunts

All but one accident occurred between 6am and 7pm

3 clusters at entries to roundabout:
A419 Sb Off-slip 15 (all rear end shunts)
A420 Westbound 16 (all but one rear end shunts
A420 Merlin Way 9 (all but one rear end shunts)

ANALYSIS OF PERSONAL INJURY ACCIDENT RECORD

JOB No.	1335	SITE	A419 NORTH OF White Hart Roundabout	ANALYSED BY	S.M.T.
JOB NAME	SWINDON EDA	PERIOD	from 1-Mar-08 to 28-Feb-13	DATE	May-14

NUMBER	from	to	ACCIDENTS SLIGHT	SERIOUS	FATAL	TOTAL	CASUALTIES TOTAL
YEAR 1	Mar-08	Feb-09	10	2	0	**12**	**18**
YEAR 2	Mar-09	Feb-10	7	2	0	**9**	**10**
YEAR 3	Mar-10	Feb-11	4	1	0	**5**	**10**
YEAR 4	Mar-11	Feb-12	6	1	0	**7**	**15**
YEAR 5	Mar-12	Feb-13	2	1	0	**3**	**3**
TOTAL	**Mar-08**	**Feb-13**	**29**	**7**	**0**	**36**	**56**
			81%	***19%***	***0%***		

average = **7.2** PIAs per annum

average casualties/PIA= 1.6

SEASON	NUMBER	%
DEC / JAN / FEB	9	*25%*
MAR / APR / MAY	4	*11%*
JUN / JUL / AUG	8	*22%*
SEP / OCT / NOV	15	*42%*
TOTAL	**36**	***100%***

DAY		
MON	7	*19%*
TUE	7	*19%*
WED	5	*14%*
THU	5	*14%*
FRI	5	*14%*
SAT	6	*17%*
SUN	1	*3%*
TOTAL	**36**	***100%***

TIME		
0700-0900	3	*8%*
0900-1200	5	*14%*
1200-1400	1	*3%*
1400-1600	5	*14%*
1600-1900	13	*36%*
1900-2300	6	*17%*
2300-0700	3	*8%*
TOTAL	**36**	***100%***

INVOLVED	NUMBER	%
PARKED VEHICLE	3	*8%*
PEDESTRIAN	2	*6%*
PEDAL CYCLE	0	*0%*
MOTOR CYCLE	1	*3%*
PSV	0	*0%*
HGV	8	*22%*
MGV	1	*3%*

TYPE	NUMBER	%
RIGHT TURN	3	*8%*
REAR SHUNT	20	*56%*
CHANGE LANE	6	*17%*
OVERT/HEAD-ON	1	*3%*
SINGLE VEH	7	*19%*

CONTRIB FACTORS	NUMBER	%
SPEED	4	*11%*
BEND	0	*0%*
SKID	15	*42%*
OTHER LOSS CONTROL	6	*17%*
Disobeyed control	1	*3%*
Alcohol	1	*3%*
Young Driver <23	8	*22%*

CONDITIONS		NUMBER	%
DARK		13	*36%*
WET / ICE		9	*25%*
NOT FINE		4	*11%*

NOTABLE FACTORS:

Accidents appear to be on a clear falling trend:
12 - 9 - 5 - 7 - 3

7 accidents resulted in serious injury but these also are on downward trend: 2 - 2 - 1 - 1 - 1

56% of accidents involved rear end shunt

42% of accidents involved vehicles skidding

22% of accidents involved HGVs

64% involved vehicles travelling Southbound
36% involved vehicles travelling Northbound

No significant clusters

Locations of PIAs at A419 NORTH OF White Hart Roundabout (from Mar-2008 to Feb-2013)

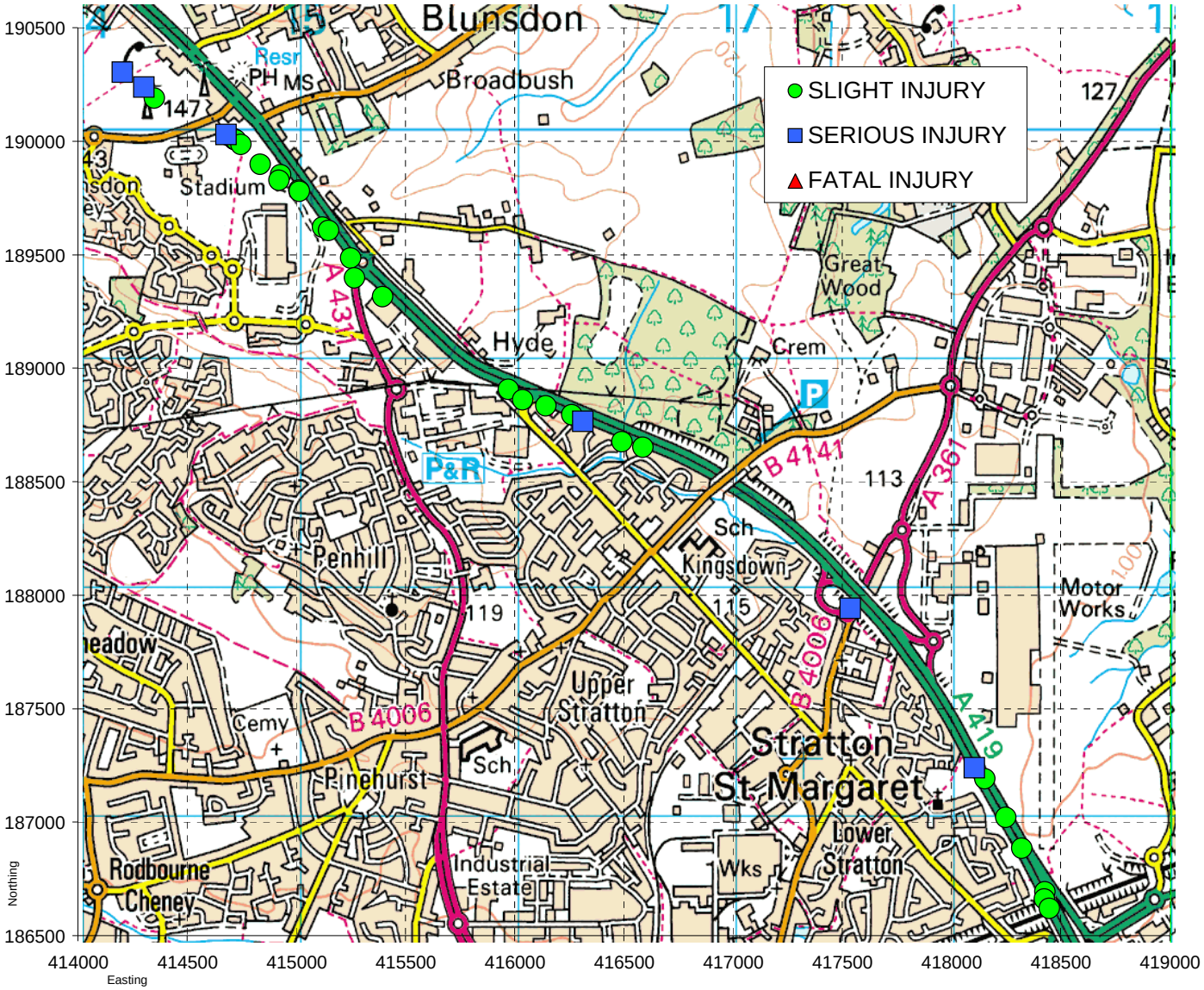

ANALYSIS OF PERSONAL INJURY ACCIDENT RECORD

JOB No.	1335	SITE	A420 EAST OF A449 (excl White Hart)	ANALYSED BY	S.M.T.
JOB NAME	SWINDON EDA	PERIOD	from 1-Mar-08 to 28-Feb-13	DATE	May-14

NUMBER	from	to	ACCIDENTS SLIGHT	SERIOUS	FATAL	TOTAL	CASUALTIES TOTAL
YEAR 1	Mar-08	Feb-09	5	1	0	**6**	**6**
YEAR 2	Mar-09	Feb-10	2	0	0	**2**	**4**
YEAR 3	Mar-10	Feb-11	4	0	0	**4**	**5**
YEAR 4	Mar-11	Feb-12	5	1	0	**6**	**6**
YEAR 5	Mar-12	Feb-13	2	0	0	**2**	**2**
TOTAL	**Mar-08**	**Feb-13**	**18**	**2**	**0**	**20**	**23**
			90%	***10%***	***0%***		

average = **4.0** PIAs per annum

average casualties/PIA= 1.2

SEASON	NUMBER	%
DEC / JAN / FEB	8	*40%*
MAR / APR / MAY	4	*20%*
JUN / JUL / AUG	6	*30%*
SEP / OCT / NOV	2	*10%*
TOTAL	**20**	***100%***

DAY		
MON	5	*25%*
TUE	2	*10%*
WED	5	*25%*
THU	2	*10%*
FRI	2	*10%*
SAT	4	*20%*
SUN	0	*0%*
TOTAL	**20**	***100%***

TIME		
0700-0900	3	*15%*
0900-1200	3	*15%*
1200-1400	3	*15%*
1400-1600	3	*15%*
1600-1900	5	*25%*
1900-2300	0	*0%*
2300-0700	3	*15%*
TOTAL	**20**	***100%***

INVOLVED	NUMBER	%
PARKED VEHICLE	0	*0%*
PEDESTRIAN	1	*5%*
PEDAL CYCLE	4	*20%*
MOTOR CYCLE	2	*10%*
PSV	0	*0%*
HGV	1	*5%*
MGV	1	*5%*

TYPE	NUMBER	%
RIGHT TURN	3	*15%*
REAR SHUNT	7	*35%*
CHANGE LANE	1	*5%*
OVERT/HEAD-ON	3	*15%*
SINGLE VEH	4	*20%*

CONTRIB FACTORS	NUMBER	%
SPEED	2	*10%*
BEND	0	*0%*
SKID	3	*15%*
OTHER LOSS CONTROL	0	*0%*
FAILURE TO GIVE WAY	2	*10%*
Alcohol	0	*0%*
Young Driver <23	3	*15%*

CONDITIONS	NUMBER	%
DARK	5	*25%*
WET / ICE	7	*35%*
NOT FINE	3	*15%*

NOTABLE FACTORS:

35% of the accidents involved rear end shunts

35% of the accidents occurred on a wet road surface

7 or 35% of accidents involved vulnerable road users
- 1 pedestrian
- 4 pedal cycles
- 2 motor cycles

3 small clusters:
- 4 at Gable Cross Roundabout
- 5 near South Marston Filling Station
- 3 at j/w Old Vicarage Lane

ANALYSIS OF PERSONAL INJURY ACCIDENT RECORD

JOB No.	1335	SITE	A4312 WEST OF A449	ANALYSED BY	S.M.T.
JOB NAME	SWINDON EDA	PERIOD	from 1-Mar-08 to 28-Feb-13	DATE	May-14

NUMBER	from	to	ACCIDENTS SLIGHT	SERIOUS	FATAL	TOTAL	CASUALTIES TOTAL
YEAR 1	Mar-08	Feb-09	14	1	0	**15**	**20**
YEAR 2	Mar-09	Feb-10	16	3	0	**19**	**26**
YEAR 3	Mar-10	Feb-11	9	0	0	**9**	**11**
YEAR 4	Mar-11	Feb-12	10	0	0	**10**	**16**
YEAR 5	Mar-12	Feb-13	16	0	0	**16**	**26**
TOTAL	**Mar-08**	**Feb-13**	**65**	**4**	**0**	**69**	**99**
			94%	***6%***	***0%***		

average = **13.8** PIAs per annum

average casualties/PIA= 1.4

SEASON	NUMBER	%
DEC / JAN / FEB	10	*14%*
MAR / APR / MAY	20	*29%*
JUN / JUL / AUG	16	*23%*
SEP / OCT / NOV	23	*33%*
TOTAL	**69**	***100%***

DAY		
MON	12	*17%*
TUE	12	*17%*
WED	8	*12%*
THU	9	*13%*
FRI	10	*14%*
SAT	10	*14%*
SUN	8	*12%*
TOTAL	**69**	***100%***

TIME		
0700-0900	6	*9%*
0900-1200	8	*12%*
1200-1400	10	*14%*
1400-1600	10	*14%*
1600-1900	21	*30%*
1900-2300	10	*14%*
2300-0700	4	*6%*
TOTAL	**69**	***100%***

INVOLVED	NUMBER	%
PARKED VEHICLE	2	*3%*
PEDESTRIAN	2	*3%*
PEDAL CYCLE	6	*9%*
MOTOR CYCLE	12	*17%*
PSV	3	*4%*
HGV	1	*1%*
MGV	0	*0%*

TYPE	NUMBER	%
RIGHT TURN	13	*19%*
REAR SHUNT	32	*46%*
CHANGE LANE	3	*4%*
OVERT/HEAD-ON	2	*3%*
SINGLE VEH	5	*7%*

CONTRIB FACTORS	NUMBER	%
SPEED	10	*14%*
BEND	3	*4%*
SKID	5	*7%*
OTHER LOSS CONTROL	1	*1%*
Disobeyed Control	7	*10%*
Alcohol	0	*0%*
Young Driver <23	24	*35%*

CONDITIONS	NUMBER	%
DARK	20	*29%*
WET / ICE	18	*26%*
NOT FINE	11	*16%*

NOTABLE FACTORS:

46% of accidents involved rear end shunts

35% of accidents involved drivers/riders aged 23-years or under

20 or 29% of accidents involved vulnerable road users
2 pedestrians
6 pedal cycles
12 motor cycles

4 accidents resulted in serious injury but these all occurred within the first two years of the study period

file="1335x 06 Accidents to END Feb 2013 - A4312.xls ~ SUMMARY-all" SMT 07/05/2014

Locations of PIAs at A4312 WEST OF A449 (from Mar-2008 to Feb-2013)

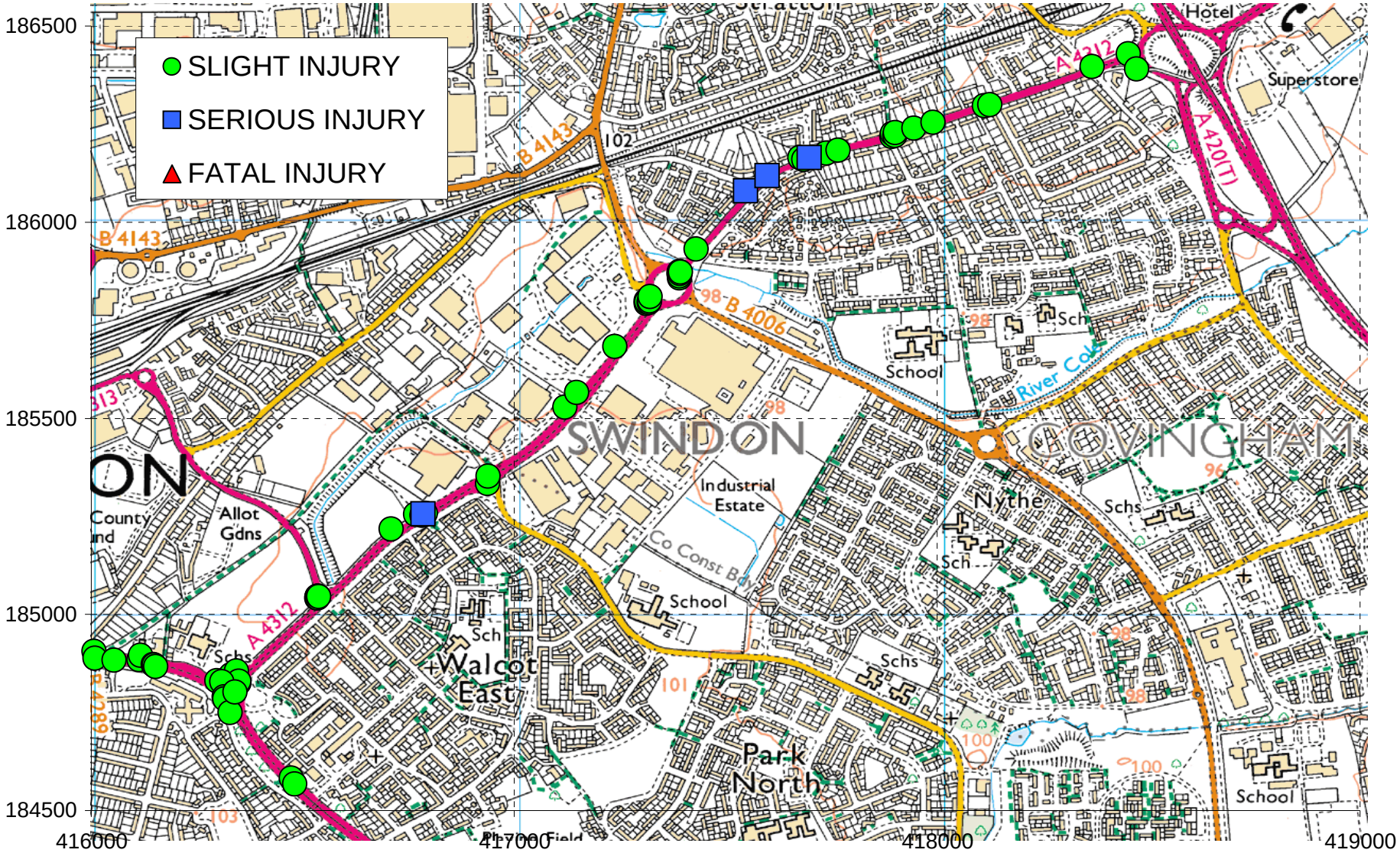

FILE="1335x 06 Accidents to END Feb 2013 - A4312.xls~PLOT-all" SMT 07/05/2014

ANALYSIS OF PERSONAL INJURY ACCIDENT RECORD

JOB No.	1335	SITE	A4123 Greenbridge Roundabout	ANALYSED BY	S.M.T.
JOB NAME	SWINDON EDA	PERIOD	from 1-Mar-08 to 28-Feb-13	DATE	May-14

NUMBER	from	to	ACCIDENTS SLIGHT	SERIOUS	FATAL	TOTAL	CASUALTIES TOTAL
YEAR 1	Mar-08	Feb-09	2	0	0	**2**	**2**
YEAR 2	Mar-09	Feb-10	2	0	0	**2**	**2**
YEAR 3	Mar-10	Feb-11	2	0	0	**2**	**2**
YEAR 4	Mar-11	Feb-12	2	0	0	**2**	**2**
YEAR 5	Mar-12	Feb-13	4	0	0	**4**	**4**
TOTAL	**Mar-08**	**Feb-13**	**12**	**0**	**0**	**12**	**12**
			100%	***0%***	***0%***		

average = **2.4** PIAs per annum

average casualties/PIA= 1.0

SEASON	NUMBER	%
DEC / JAN / FEB	2	*17%*
MAR / APR / MAY	4	*33%*
JUN / JUL / AUG	3	*25%*
SEP / OCT / NOV	3	*25%*
TOTAL	**12**	***100%***

DAY		
MON	3	*25%*
TUE	1	*8%*
WED	2	*17%*
THU	4	*33%*
FRI	0	*0%*
SAT	1	*8%*
SUN	1	*8%*
TOTAL	**12**	***100%***

TIME		
0700-0900	2	*17%*
0900-1200	4	*33%*
1200-1400	1	*8%*
1400-1600	1	*8%*
1600-1900	3	*25%*
1900-2300	0	*0%*
2300-0700	1	*8%*
TOTAL	**12**	***100%***

INVOLVED	NUMBER	%
PARKED VEHICLE	0	*0%*
PEDESTRIAN	0	*0%*
PEDAL CYCLE	1	*8%*
MOTOR CYCLE	1	*8%*
PSV	0	*0%*
HGV	0	*0%*
MGV	0	*0%*

TYPE	NUMBER	%
RIGHT TURN	0	*0%*
REAR SHUNT	8	*67%*
CHANGE LANE	0	*0%*
OVERT/HEAD-ON	0	*0%*
SINGLE VEH	0	*0%*

CONTRIB FACTORS	NUMBER	%
SPEED	2	*17%*
BEND	1	*8%*
SKID	0	*0%*
OTHER LOSS CONTROL	0	*0%*
Disobeyed Control	0	*0%*
Alcohol	2	*17%*
Young Driver <23	2	*17%*

CONDITIONS	NUMBER	%
DARK	1	*8%*
WET / ICE	2	*17%*
NOT FINE	2	*17%*

NOTABLE FACTORS:

67% of accidents involved rear end shunts
3 on A4312 Slade Drive entry
1 on B4006 Dorcan Way entry
4 on A4312 Drakes Way entry
0 on Swindon Road entry

file="1335x 06 Accidents to END Feb 2013 - A4312.xls ~ CLUSTER 1" SMT 07/05/2014

Locations of PIAs at A4123 Greenbridge Roundabout
(from Mar-2008 to Feb-2013)

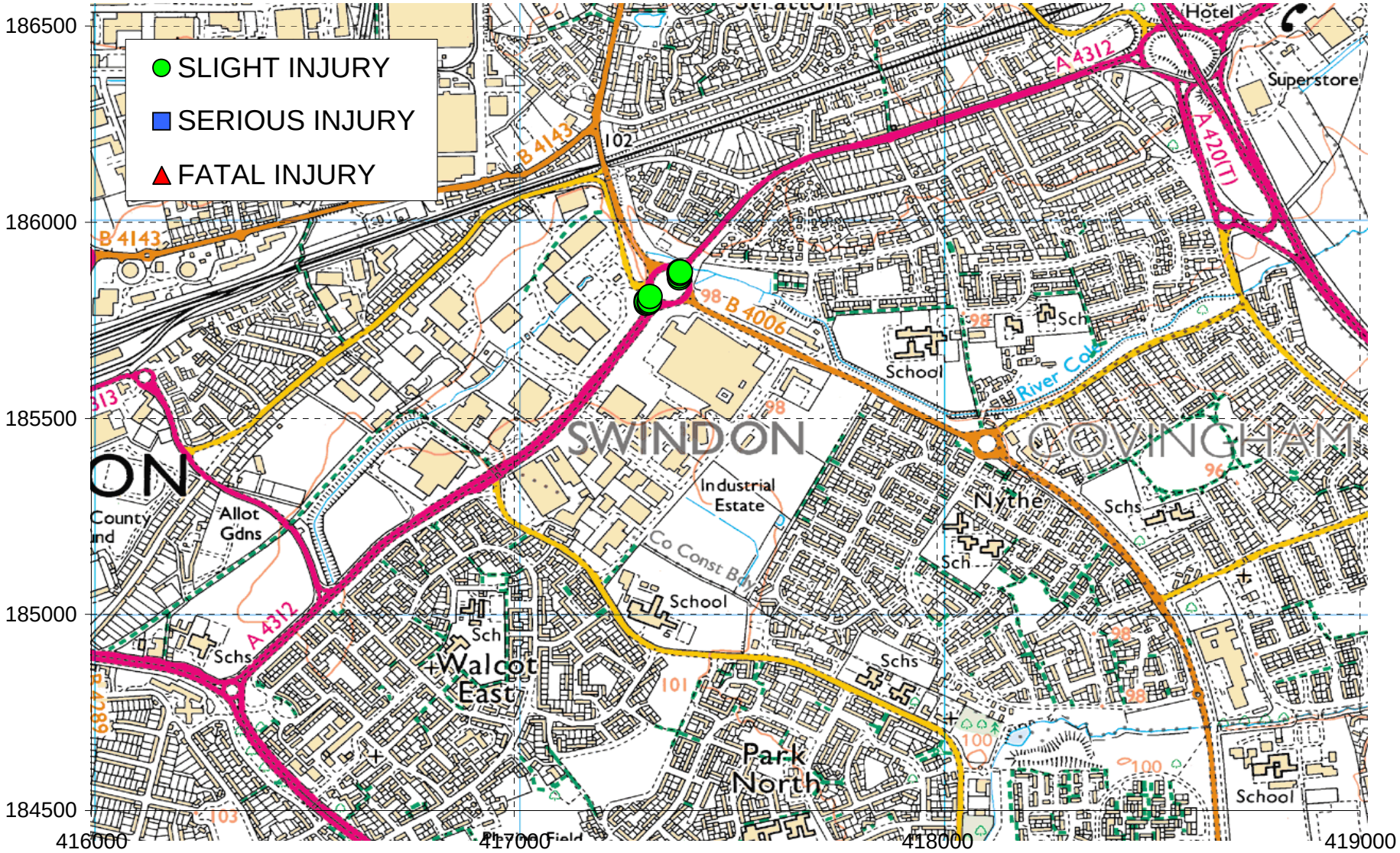

ANALYSIS OF PERSONAL INJURY ACCIDENT RECORD

JOB No.	1335	SITE	A4123 Drakes Way jw Queens Drive Roundabout	ANALYSED BY	S.M.T.
JOB NAME	SWINDON EDA	PERIOD	from 1-Mar-08 to 28-Feb-13	DATE	May-14

NUMBER	from	to	ACCIDENTS SLIGHT	SERIOUS	FATAL	TOTAL	CASUALTIES TOTAL
YEAR 1	Mar-08	Feb-09	0	0	0	**0**	
YEAR 2	Mar-09	Feb-10	2	0	0	**2**	**2**
YEAR 3	Mar-10	Feb-11	3	0	0	**3**	**3**
YEAR 4	Mar-11	Feb-12	1	0	0	**1**	**1**
YEAR 5	Mar-12	Feb-13	3	0	0	**3**	**3**
TOTAL	**Mar-08**	**Feb-13**	**9**	**0**	**0**	**9**	**9**
			100%	***0%***	***0%***		

average = **1.8** PIAs per annum

average casualties/PIA= 1.0

SEASON	NUMBER	%
DEC / JAN / FEB	2	*22%*
MAR / APR / MAY	3	*33%*
JUN / JUL / AUG	2	*22%*
SEP / OCT / NOV	2	*22%*
TOTAL	**9**	***100%***

DAY		
MON	1	*11%*
TUE	1	*11%*
WED	3	*33%*
THU	0	*0%*
FRI	2	*22%*
SAT	1	*11%*
SUN	1	*11%*
TOTAL	**9**	***100%***

TIME		
0700-0900	1	*11%*
0900-1200	0	*0%*
1200-1400	1	*11%*
1400-1600	0	*0%*
1600-1900	3	*33%*
1900-2300	3	*33%*
2300-0700	1	*11%*
TOTAL	**9**	***100%***

INVOLVED	NUMBER	%
PARKED VEHICLE	0	*0%*
PEDESTRIAN	0	*0%*
PEDAL CYCLE	0	*0%*
MOTOR CYCLE	2	*22%*
PSV	1	*11%*
HGV	0	*0%*
MGV	0	*0%*

TYPE	NUMBER	%
RIGHT TURN	0	*0%*
REAR SHUNT	2	*22%*
CHANGE LANE	2	*22%*
OVERT/HEAD-ON	0	*0%*
SINGLE VEH	2	*22%*

CONTRIB FACTORS	NUMBER	%
SPEED	2	*22%*
BEND	1	*11%*
SKID	1	*11%*
OTHER LOSS CONTROL	0	*0%*
Disobeyed Control	0	*0%*
Alcohol	2	*22%*
Young Driver <23	5	*56%*

CONDITIONS	NUMBER	%
DARK	4	*44%*
WET / ICE	3	*33%*
NOT FINE	1	*11%*

NOTABLE FACTORS:

56% of he accidents involved drivers/riders
aged 23-years or under
17
18
19
19
23

file="1335x 06 Accidents to END Feb 2013 - A4312.xls ~ CLUSTER 2" SMT 07/05/2014

Locations of PIAs at A4123 Drakes Way jw Queens Drive Roundabout
(from Mar-2008 to Feb-2013)

FILE="1335x 06 Accidents to END Feb 2013 - A4312.xls~PLOT-C2" SMT 07/05/2014

ANALYSIS OF PERSONAL INJURY ACCIDENT RECORD

JOB No.	1335	SITE	A361 EAST of A449	ANALYSED BY	S.M.T.
JOB NAME	SWINDON EDA	PERIOD	from 1-Mar-08 to 28-Feb-13	DATE	May-14

NUMBER	from	to	ACCIDENTS SLIGHT	SERIOUS	FATAL	TOTAL	CASUALTIES TOTAL
YEAR 1	Mar-08	Feb-09	11	0	0	**11**	**13**
YEAR 2	Mar-09	Feb-10	4	0	0	**4**	**5**
YEAR 3	Mar-10	Feb-11	2	0	0	**2**	**2**
YEAR 4	Mar-11	Feb-12	3	0	0	**3**	**4**
YEAR 5	Mar-12	Feb-13	7	0	0	**7**	**8**
TOTAL	**Mar-08**	**Feb-13**	**27**	**0**	**0**	**27**	**32**
			100%	***0%***	***0%***		

average = **5.4** PIAs per annum

average casualties/PIA= 1.2

SEASON	NUMBER	%
DEC / JAN / FEB	7	*26%*
MAR / APR / MAY	7	*26%*
JUN / JUL / AUG	8	*30%*
SEP / OCT / NOV	5	*19%*
TOTAL	**27**	***100%***

DAY		
MON	2	*7%*
TUE	6	*22%*
WED	7	*26%*
THU	4	*15%*
FRI	4	*15%*
SAT	3	*11%*
SUN	1	*4%*
TOTAL	**27**	***100%***

TIME		
0700-0900	3	*11%*
0900-1200	1	*4%*
1200-1400	3	*11%*
1400-1600	1	*4%*
1600-1900	8	*30%*
1900-2300	4	*15%*
2300-0700	7	*26%*
TOTAL	**27**	***100%***

INVOLVED	NUMBER	%
PARKED VEHICLE	0	*0%*
PEDESTRIAN	0	*0%*
PEDAL CYCLE	4	*15%*
MOTOR CYCLE	6	*22%*
PSV	0	*0%*
HGV	2	*7%*
MGV	0	*0%*

TYPE	NUMBER	%
RIGHT TURN	7	*26%*
REAR SHUNT	8	*30%*
CHANGE LANE	0	*0%*
OVERT/HEAD-ON	6	*22%*
SINGLE VEH	7	*26%*

CONTRIB FACTORS	NUMBER	%
SPEED	8	*30%*
BEND	1	*4%*
SKID	8	*30%*
OTHER LOSS CONTROL	3	*11%*
Disobeyed Control	4	*15%*
Alcohol	2	*7%*
Young Driver <23	6	*22%*

CONDITIONS	NUMBER	%
DARK	8	*30%*
WET / ICE	7	*26%*
NOT FINE	3	*11%*

NOTABLE FACTORS:

10 or 37% involved vulnerable road users
0 pedestrians
4 pedal cycles
6 motor cycles

No serious or fata accidents were reported on this section of road

ANALYSIS OF PERSONAL INJURY ACCIDENT RECORD

JOB No.	1335	SITE	OTHER - MAIN ROADS	ANALYSED BY	S.M.T.
JOB NAME	SWINDON EDA	PERIOD	from 1-Mar-08 to 28-Feb-13	DATE	May-14

NUMBER	from	to	ACCIDENTS SLIGHT	SERIOUS	FATAL	TOTAL	CASUALTIES TOTAL
YEAR 1	Mar-08	Feb-09	17	5	0	**22**	**30**
YEAR 2	Mar-09	Feb-10	13	5	0	**18**	**24**
YEAR 3	Mar-10	Feb-11	13	2	0	**15**	**20**
YEAR 4	Mar-11	Feb-12	19	4	0	**23**	**34**
YEAR 5	Mar-12	Feb-13	16	4	1	**21**	**32**
TOTAL	**Mar-08**	**Feb-13**	**78**	**20**	**1**	**99**	**140**
			79%	***20%***	***1%***		

average = **19.8** PIAs per annum

average casualties/PIA= 1.4

SEASON	NUMBER	%
DEC / JAN / FEB	29	*29%*
MAR / APR / MAY	19	*19%*
JUN / JUL / AUG	22	*22%*
SEP / OCT / NOV	29	*29%*
TOTAL	**99**	***100%***

DAY		
MON	7	*7%*
TUE	16	*16%*
WED	18	*18%*
THU	23	*23%*
FRI	13	*13%*
SAT	13	*13%*
SUN	9	*9%*
TOTAL	**99**	***100%***

TIME		
0700-0900	12	*12%*
0900-1200	13	*13%*
1200-1400	9	*9%*
1400-1600	16	*16%*
1600-1900	18	*18%*
1900-2300	21	*21%*
2300-0700	10	*10%*
TOTAL	**99**	***100%***

INVOLVED	NUMBER	%
PARKED VEHICLE	2	*2%*
PEDESTRIAN	9	*9%*
PEDAL CYCLE	14	*14%*
MOTOR CYCLE	17	*17%*
PSV	2	*2%*
HGV	0	*0%*
MGV	1	*1%*

TYPE	NUMBER	%
RIGHT TURN	24	*24%*
REAR SHUNT	31	*31%*
CHANGE LANE	4	*4%*
OVERT/HEAD-ON	9	*9%*
SINGLE VEH	22	*22%*

CONTRIB FACTORS	NUMBER	%
SPEED	15	*15%*
BEND	9	*9%*
SKID	22	*22%*
OTHER LOSS CONTROL	6	*6%*
Disobeyed Control	16	*16%*
Alcohol	10	*10%*
Young Driver <23	37	*37%*

CONDITIONS	NUMBER	%
DARK	32	*32%*
WET / ICE	36	*36%*
NOT FINE	16	*16%*

NOTABLE FACTORS:

21 or 21% of accidents resulted in serious or fatal injury
1 fatal accident involving a van turning right into the path of a motor cyclist

40 or 44% of accidents involved vulnerable road users
9 pedestrians
14 pedal cycles
17 motor cycles

37% of accidents involved a driver/rider aged 23-years or under

36% of accidents occurred on a wet road surface

32% of accidents occurred during the hour of darkness

ANALYSIS OF PERSONAL INJURY ACCIDENT RECORD

JOB No.	1335	SITE	OTHER - UNCLASSIFIED ROADS	ANALYSED BY	S.M.T.
JOB NAME	SWINDON EDA	PERIOD	from 1-Mar-08 to 28-Feb-13	DATE	May-14

NUMBER	from	to	ACCIDENTS SLIGHT	SERIOUS	FATAL	TOTAL	CASUALTIES TOTAL
YEAR 1	Mar-08	Feb-09	7	1	0	**8**	**11**
YEAR 2	Mar-09	Feb-10	14	2	0	**16**	**20**
YEAR 3	Mar-10	Feb-11	9	2	0	**11**	**18**
YEAR 4	Mar-11	Feb-12	8	4	0	**12**	**16**
YEAR 5	Mar-12	Feb-13	10	2	0	**12**	**18**
TOTAL	**Mar-08**	**Feb-13**	**48**	**11**	**0**	**59**	**83**
			81%	***19%***	***0%***		

average = **11.8** PIAs per annum

average casualties/PIA= 1.4

SEASON	NUMBER	%
DEC / JAN / FEB	9	*15%*
MAR / APR / MAY	17	*29%*
JUN / JUL / AUG	14	*24%*
SEP / OCT / NOV	19	*32%*
TOTAL	**59**	***100%***

DAY		
MON	7	*12%*
TUE	10	*17%*
WED	12	*20%*
THU	7	*12%*
FRI	10	*17%*
SAT	7	*12%*
SUN	6	*10%*
TOTAL	**59**	***100%***

TIME		
0700-0900	9	*15%*
0900-1200	8	*14%*
1200-1400	7	*12%*
1400-1600	7	*12%*
1600-1900	9	*15%*
1900-2300	11	*19%*
2300-0700	8	*14%*
TOTAL	**59**	***100%***

INVOLVED	NUMBER	%
PARKED VEHICLE	3	*5%*
PEDESTRIAN	9	*15%*
PEDAL CYCLE	12	*20%*
MOTOR CYCLE	9	*15%*
PSV	2	*3%*
HGV	2	*3%*
MGV	1	*2%*

TYPE	NUMBER	%
RIGHT TURN	15	*25%*
REAR SHUNT	8	*14%*
CHANGE LANE	0	*0%*
OVERT/HEAD-ON	5	*8%*
SINGLE VEH	19	*32%*

CONTRIB FACTORS	NUMBER	%
SPEED	8	*14%*
BEND	10	*17%*
SKID	11	*19%*
OTHER LOSS CONTROL	5	*8%*
Disobeyed Control	6	*10%*
Alcohol	2	*3%*
Young Driver <23	24	*41%*

CONDITIONS	NUMBER	%
DARK	18	*31%*
WET / ICE	12	*20%*
NOT FINE	5	*8%*

NOTABLE FACTORS:

11 or 19% of accidents resulted in serious injury
8 of these between 8PM and 3AM

30 or 51% of accidents involved vulnerable road users
9 pedestrians
12 pedal cyclists
9 motor cyclists

41% of accidents involved a driver/rider
aged 23-years or under

32% of accidents involved a single vehicle

ANALYSIS OF PERSONAL INJURY ACCIDENT RECORD

JOB No.	1335	SITE	WHOLE STUDY AREA - Pedestrians			ANALYSED BY	S.M.T.
JOB NAME	SWINDON EDA	PERIOD	from	1-Mar-08	to 28-Feb-13	DATE	Jun-13

NUMBER	from	to	ACCIDENTS SLIGHT	SERIOUS	FATAL	TOTAL	CASUALTIES TOTAL
YEAR 1	Mar-08	Feb-09		2		**2**	**6**
YEAR 2	Mar-09	Feb-10	3	1		**4**	**4**
YEAR 3	Mar-10	Feb-11		2		**2**	**2**
YEAR 4	Mar-11	Feb-12	5	4		**9**	**11**
YEAR 5	Mar-12	Feb-13	5	1		**6**	**7**
TOTAL	**Mar-08**	**Feb-13**	**13**	**10**	**0**	**23**	**30**
			57%	***43%***	***0%***		

average = **4.6** PIAs per annum

average casualties/PIA= 1.3

SEASON	NUMBER	%
DEC / JAN / FEB	6	***26%***
MAR / APR / MAY	8	***35%***
JUN / JUL / AUG	4	***17%***
SEP / OCT / NOV	5	***22%***
TOTAL	**23**	***100%***

DAY		
MON	4	***17%***
TUE	6	***26%***
WED	5	***22%***
THU	1	***4%***
FRI	3	***13%***
SAT	4	***17%***
SUN	0	***0%***
TOTAL	**23**	***100%***

TIME		
0700-0900	3	***13%***
0900-1200	2	***9%***
1200-1400	2	***9%***
1400-1600	5	***22%***
1600-1900	2	***9%***
1900-2300	8	***35%***
2300-0700	1	***4%***
TOTAL	**23**	***100%***

INVOLVED	NUMBER	%
PEDESTRIAN	23	***100%***
OAP	2	***9%***
CHILD	7	***30%***
PARKED VEHICLE	3	***13%***
PEDAL CYCLE	0	***0%***
MOTOR CYCLE	1	***4%***
HGV	3	***13%***

TYPE	NUMBER	%
SINGLE VEH	18	***78%***

CONTRIB FACTORS	NUMBER	%
SKID	2	***9%***
Disobeyed Control	1	***4%***
Alcohol	3	***13%***
Young Driver <24	6	***26%***
Failed to look	10	***43%***
Careless/in a hurry	7	***30%***
Failed to judge	5	***22%***
Dangerous action	4	***17%***
Masked by stat veh	3	***13%***
Dark clothing	3	***13%***

CONDITIONS	NUMBER	%
DARK	7	***30%***
WET / ICE	3	***13%***
NOT FINE	2	***9%***

NOTABLE FACTORS:

Tend is generally upwards 2 : 4 : 2 : 9 : 6

0 accidents resulted in fatal injury
10 or 43% of accidents resulted in serious injury
7 or 30% of accidents resulted in injury to a child pesestrian
4 aged under 11 years
3 aged under 12-15 years

8 or 35% of accidents occurred in the evening
between 7pm & 11pm

14 or 61% of accidents appear as if ped is at fault
9 or 39% of accidents appear as if driver is at fault

4 Peds were drivers who had exited veh after initial incident
1 accident involved 5 peds who had stopped to help

Figure 1 - Locations of Pedestrian Accidents

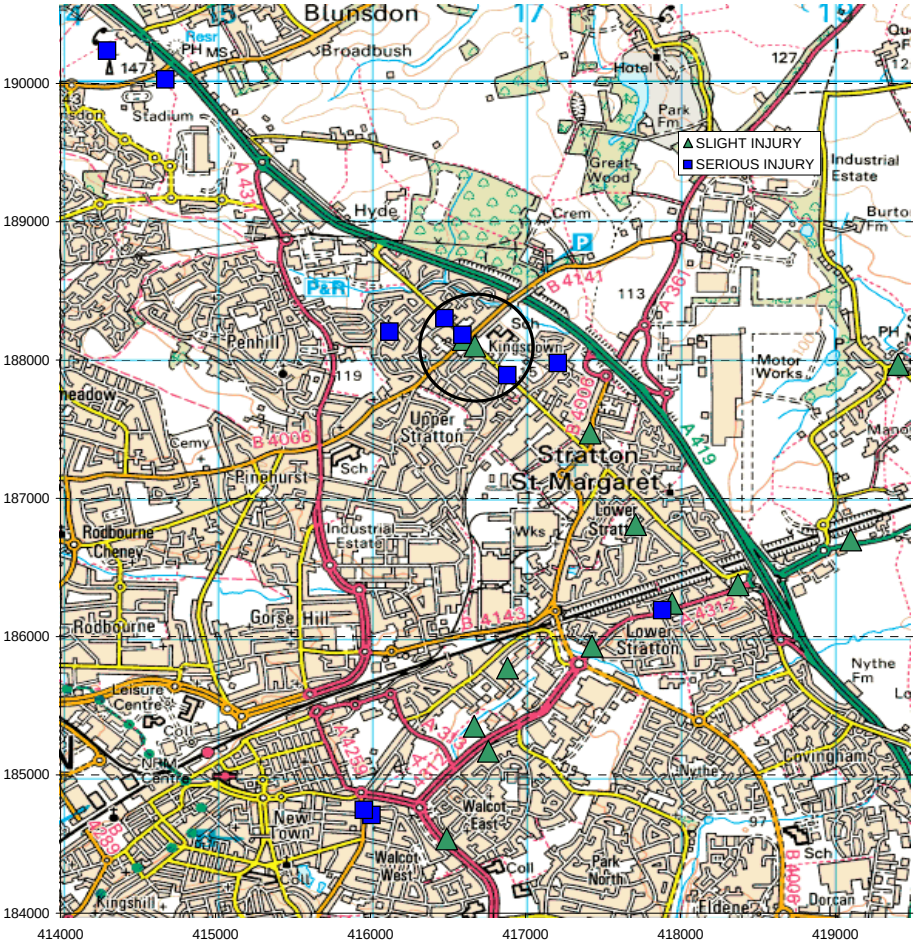

ANALYSIS OF PERSONAL INJURY ACCIDENT RECORD

JOB No.	1335	SITE	CLUSTER 1 - Pedestrians			ANALYSED BY	S.M.T.
JOB NAME	SWINDON EDA	PERIOD	from	1-Mar-08	to 28-Feb-13	DATE	Jun-13

NUMBER	from	to	ACCIDENTS SLIGHT	SERIOUS	FATAL	TOTAL	CASUALTIES TOTAL
YEAR 1	Mar-08	Feb-09		1		1	5
YEAR 2	Mar-09	Feb-10				0	0
YEAR 3	Mar-10	Feb-11		1		1	1
YEAR 4	Mar-11	Feb-12	1	1		2	4
YEAR 5	Mar-12	Feb-13	1			1	2
TOTAL	**Mar-08**	**Feb-13**	**2**	**3**	**0**	**5**	**12**
			40%	*60%*	*0%*		

average = **1.0** PIAs per annum

average casualties/PIA= 2.4

SEASON	NUMBER	%
DEC / JAN / FEB	2	*40%*
MAR / APR / MAY	2	*40%*
JUN / JUL / AUG		*0%*
SEP / OCT / NOV	1	*20%*
TOTAL	**5**	*100%*

DAY		
MON	0	*0%*
TUE	2	*40%*
WED	1	*20%*
THU	1	*20%*
FRI	0	*0%*
SAT	1	*20%*
SUN	0	*0%*
TOTAL	**5**	*100%*

TIME		
0700-0900	1	*20%*
0900-1200		*0%*
1200-1400		*0%*
1400-1600	3	*60%*
1600-1900		*0%*
1900-2300	1	*20%*
2300-0700		*0%*
TOTAL	**5**	*100%*

INVOLVED	NUMBER	%
PEDESTRIAN	5	*100%*
OAP	0	*0%*
CHILD	4	*80%*
PARKED VEHICLE	1	*20%*
PEDAL CYCLE	0	*0%*
MOTOR CYCLE	0	*0%*
HGV	0	*0%*

TYPE	NUMBER	%
SINGLE VEH	4	*80%*

CONTRIB FACTORS	NUMBER	%
SKID	0	*0%*
Disobeyed Control	0	*0%*
Alcohol	0	*0%*
Young Driver <24	2	*40%*
Failed to look	2	*40%*
Careless/in a hurry	2	*40%*
Failed to judge	3	*60%*
Dangerous action	0	*0%*
Masked by stat veh	1	*20%*
Dark clothing	1	*20%*

CONDITIONS	NUMBER	%
DARK	1	*20%*
WET / ICE	1	*20%*
NOT FINE	1	*20%*

NOTABLE FACTORS:

The cluster is in the vicinity of Kingsdown School

4 of the 5 accidents resulted in injury to a child
Ages 10, 12, 13, 15
All resulted in serious injury

Locations vary but 4 appear to involve ped crossing road without giving way to traffic.

Figure 1a - Cluster of Pedestrian Accidents

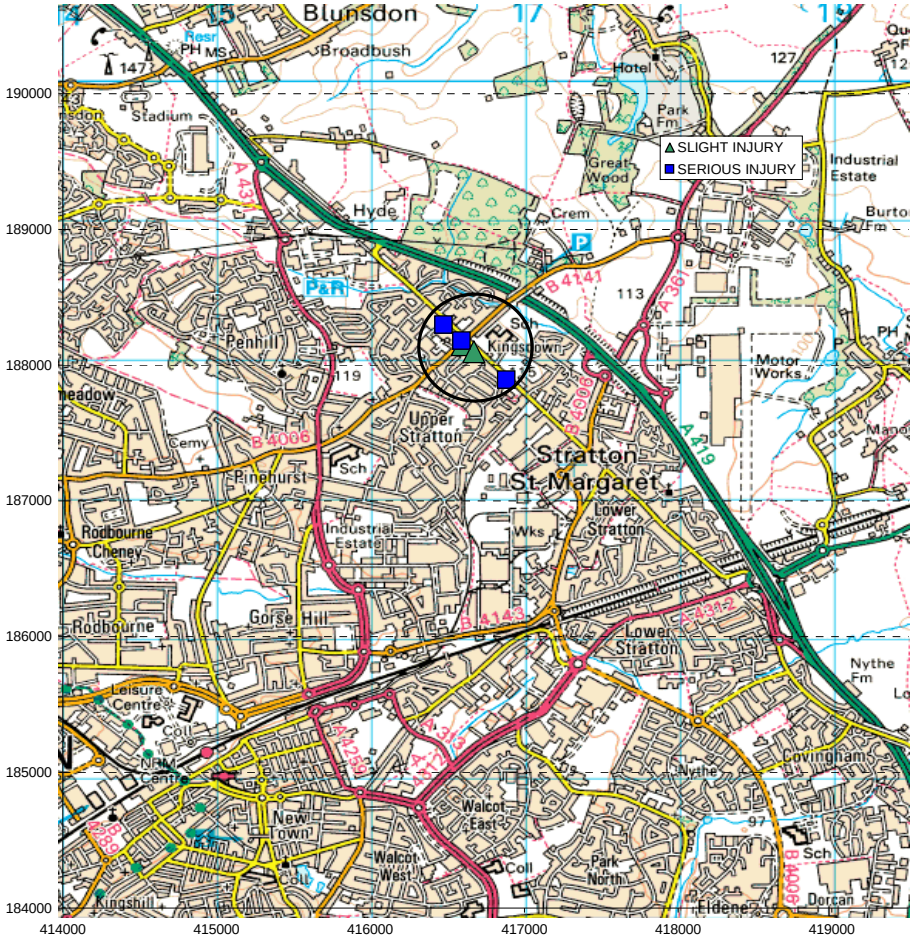

ANALYSIS OF PERSONAL INJURY ACCIDENT RECORD

JOB No.	1335	SITE	WHOLE STUDY AREA - Pedal Cyclists			ANALYSED BY	S.M.T.
JOB NAME	SWINDON EDA	PERIOD	from	1-Mar-08	to 28-Feb-13	DATE	Jun-13

NUMBER	from	to	ACCIDENTS SLIGHT	SERIOUS	FATAL	TOTAL	CASUALTIES TOTAL
YEAR 1	Mar-08	Feb-09	7	3		**10**	**12**
YEAR 2	Mar-09	Feb-10	9	1		**10**	**10**
YEAR 3	Mar-10	Feb-11	5		1	**6**	**6**
YEAR 4	Mar-11	Feb-12	7	1		**8**	**9**
YEAR 5	Mar-12	Feb-13	6	1		**7**	**10**
TOTAL	**Mar-08**	**Feb-13**	**34**	**6**	**1**	**41**	**47**
			83%	***15%***	***2%***		

average = **8.2** PIAs per annum

average casualties/PIA= 1.1

SEASON	NUMBER	%
DEC / JAN / FEB	11	***27%***
MAR / APR / MAY	5	***12%***
JUN / JUL / AUG	9	***22%***
SEP / OCT / NOV	16	***39%***
TOTAL	**41**	***100%***

DAY		
MON	6	***15%***
TUE	9	***22%***
WED	6	***15%***
THU	6	***15%***
FRI	4	***10%***
SAT	5	***12%***
SUN	5	***12%***
TOTAL	**41**	***100%***

TIME		
0700-0900	9	***22%***
0900-1200	4	***10%***
1200-1400	3	***7%***
1400-1600	4	***10%***
1600-1900	12	***29%***
1900-2300	4	***10%***
2300-0700	5	***12%***
TOTAL	**41**	***100%***

INVOLVED	NUMBER	%
PEDESTRIAN	0	***0%***
PARKED VEHICLE	0	***0%***
PEDAL CYCLE	41	***100%***
MOTOR CYCLE	2	***5%***
PSV	1	***2%***
HGV	1	***2%***

CONTRIB FACTORS	NUMBER	%
Right turn	12	***29%***
Disobeyed Control	10	***24%***
Alcohol	1	***2%***
Young Driver <23	15	***37%***

CONDITIONS	NUMBER	%
DARK	9	***22%***
WET / ICE	9	***22%***
NOT FINE	4	***10%***

NOTABLE FACTORS:

Slightly decreasing trend: 10, 10, 6, 8, 7

No significant common factors but 3 identificable clusters:

4 in vicinity of Kingsdown School

5 on A4312 in Lower Stratton

7 in vicinity of A4312 Drakes Way jww Queens Drive

4 on A420 East of White Hart Roundabout

4 on Merlin Way nr Covingham Drive

Figure 2 - Locations of Pedal Cycle Accidents

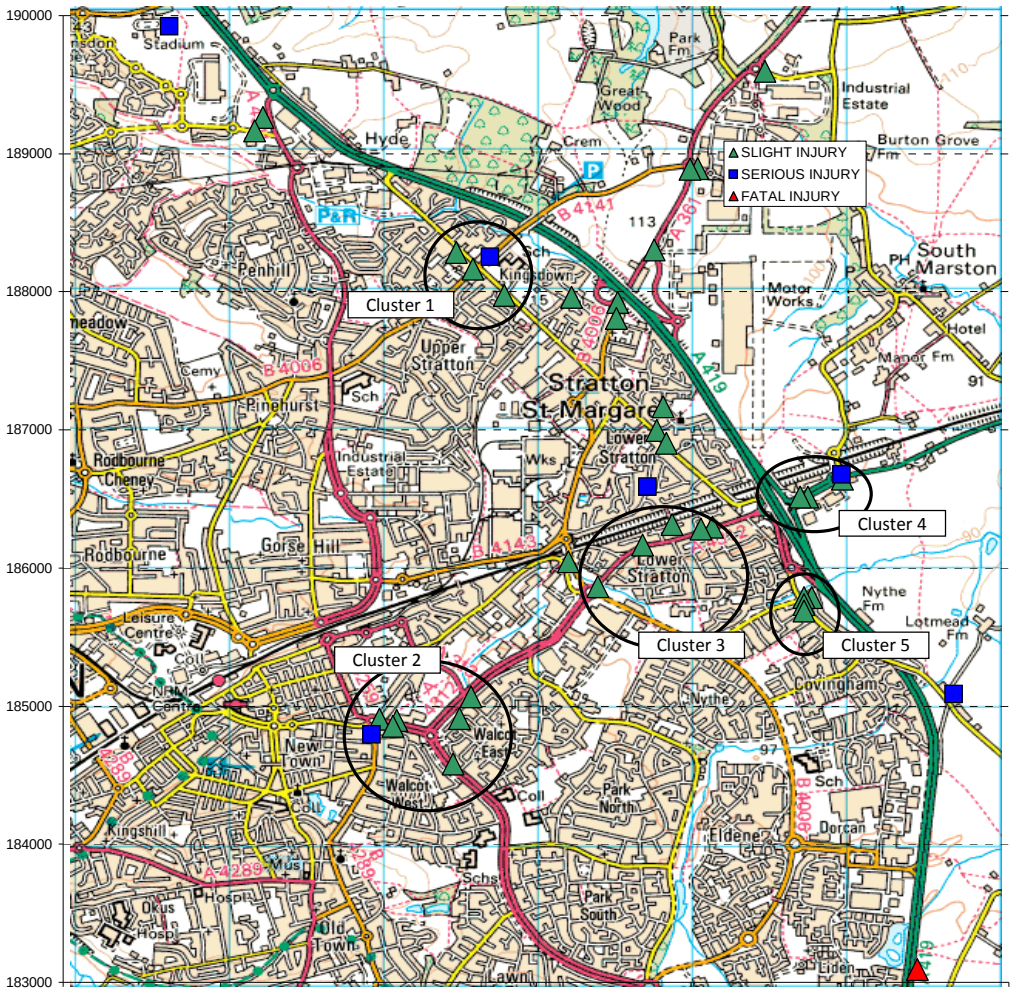

file="1335x 10 Accidents to END Feb 2013 - Peds+Cycles.xlS ~ SUMMARY-All Cycles" SMT 23/10/2014