Phase I Swindon EV

Flood Risk Assessment

Swindon EDA Consortium

Brookbanks

Document Control Sheet

Document Title: Flood Risk Assessment

Document Ref: 1335/FRA/01

Project Name: Phase I Swindon EV

Project Number: 1335

Client: Swindon EDA Consortium

Document Status

Rev	Issue Status	Prepared / Date	Checked / Date	Approved / Date
0	Draft	DW 10.07.13	PAB 11.07.13	PAB 12.07.13
1	Final	DW 06.09.13	PAB 06.0913	PAB 06.09.13
2	Final	DW 14.10.13	PAB 14.10.13	PAB 14.10.13
3	Final	SO 30.11.15	DS 30.11.15	PAB 30.11.15

Issue Record

Name / Date & Revision	12.07.13	06.09.13	14.10.13	30.11.15		
Mr N Duckworth – Hallam Land Management	0	1	2	1		
Mr A Birch – Hallam Land Management	0	1	2	1		
Mr J Aylwin – Taylor Wimpey	0	1	2	1		
Mr D Woodward – Hanick Homes	0	1	2	1		

© Copyright Brookbanks Consulting Ltd 2015
This document may not be reproduced or transmitted, in any form or by any means whether electronic, mechanical, photographic, recording or otherwise, or stored in a retrieval system of any nature without the written permission of Brookbanks Consulting Limited. No part of this work may be modified without the written permission of Brookbanks Consulting Ltd. No part of this work may be exposed to public view in any form or by any means, without identifying the creator as Brookbanks Consulting Ltd.

Contents

	Executive summary	
	Scoping Note Objective Summary	
1	Introduction	1
2	Background Information	1
3	Flooding Risk	7
4	Storm Drainage	24
5	Foul Drainage	37
6	Summary	40
7	Limitations	41

Appendix 1: Drawings and Calculations

Site Survey	Drawing 1335/SV/01
Existing Drainage Regime	Drawing 1335/DR/01
Primary Drainage Feature Layout	Drawing 1335/DR/02
Secondary Drainage Feature Layout	Drawing 1335/DR/03
Tertiary Drainage Feature Layout	Drawing 1335/DR/04

Bureau Veritas Flood Zone Plan

IoH124 Output Summary

WinDES Detention Routing Calculations

Surface Water Flood Mapping

Surface Water Hazard Mapping

Appendix 2: Additional Information

Flood Risk Assessment Scoping Note

EA Scoping Note Approval Responses

Parish Council Flood Photo Matrix

Honda UK Pond Design Report

Executive Summary

Brookbanks Consulting (BCL) is appointed by the Swindon Eastern Villages Consortium to produce a flood risk assessment to accompany an outline planning application for a residential-led scheme development at South Marston and Rowborough to the east of Swindon, together with areas of mixed use comprising: community; employment; education; local retail uses; and formal and informal open space provision on land east of Swindon and north of A420.

The proposed development will comprise up to 2380 new houses, a primary school and supporting uses including a local centre and mixed use area incorporating leisure & community facilities, low scale employment opportunities and open space provision. This represents a comprehensive first phase in the development of the Eastern Villages.

As part of evidence prepared in support of the Swindon Eastern Villages development proposals, BCL has worked in conjunction with Swindon Borough Council (SBC) and the Environment Agency..

The development flood risk and drainage proposals have been scoped and agreed with the Environment Agency (EA) and various regulatory consultees before production of this FRA in a document that is contained in Appendix 2 of this report along with the respective responses.

The majority of the proposed development is shown to lie within Flood Zone 1 with a strip of land running from the north to the east lying within Flood Zones 2 and 3 of the South Marston Brook. The eastern boundary is also reported to lie within Flood Zones 2 and 3 of the River Cole.

It is proposed the development will employ a multi-tier SuDS water management train, providing source control measures implemented as close as possible to source, together with more strategic local, secondary, and regional, tertiary, treatment systems.

Implementing a tiered water management train will allow the development generally to provide three stages of water treatment, thereby minimising flood risk in potential design exceedance situations and reducing pollutant loads within the stormwater run-off by passive treatment, thus ensuring the development proposals have no adverse effects on the wider hydrology.

The systems have been designed to control the stormwater run-off from the site to circa 65.5% below the baseline greenfield rate as calculated using the IoH124 methodology. The site will therefore deliver a valuable reduction in peak storm discharges to the wider catchment across the area, which is known to suffer a number of flooding problems,

All design measures developed for the scheme have been appraised for the potential effects of climate change over the lifetime of the development and the output calculations show the proposals to accommodate potential increases in rainfall without failure.

Foul drainage on site will be discharged to the existing Thames Water Network via one of a number of potential options that will have capacity to accommodate flows from the proposed development following completion of a detailed modelling study by Thames water.

The sewer network across the site will be designed in accordance with Sewers for Adoption and adopted under Section 104 of the Water Industry Act. The above ground storm water management systems will be adopted by Swindon Borough Council or another suitable body. The ongoing maintenance of the site drainage system will therefore be assured.

Scoping Note Objective Summary

Prior to undertaking this FRA, a scoping document was prepared and submitted to a working group of regulatory bodies, the aim being to agree the scope and fundamental outputs for this report and associated proposals. This document has since been approved by the Environment Agency and used to inform this FRA. The scoping note can be found in Appendix 2, along with the EA correspondence. Within the scoping note, a series of key objectives for this FRA were identified. Figure i below provides a summary of these objectives along with the location within this FRA compliance with these is highlighted.

Number	Objective	Location within FRA
1	Development at Swindon EDA is to have regard to the Swindon Borough Council Strategic Flood Risk Assessment with proposals providing specific compliance with the SFRA policies.	Pages 7, 8 & 22
2	The FRA will undertake a comprehensive assessment of the South Marston catchment mechanisms and functions in order to understand the types of flood risk associated with this site	FRA Section 3
3	The Phase I Swindon EV development proposals will utilise the Environment Agency Flood Map for the 1 in 100 and 1 in 1,000 year flood zone extents as the baseline for the site with regard to fluvial flood risk.	Pages 9 & 10
4	The FRA is to have regard to the localised surface water flooding incidents identified by the Parish Council and will introduce on site mitigation to address surface water flooding, and off site mitigation where possible.	Pages 10 – 16; Photo Matrix in Appendix 2
5	The FRA is to appraise flood risk from all potential forms of flooding including fluvial, overland flow, ground water, sewers and artificial water bodies using information from available sources.	FRA Section 3
6	A Sequential Test and Exception Test will be completed to demonstrate appropriateness of the proposed development in the context of NPPF Guidance	Pages 18 - 21
7	The storm drainage system at the site is to be designed in accordance with NPPF, SFRA, Sewers for Adoption and published CIRIA guidance et al	FRA Section 4
8	Development proposals will use the IoH124 figures calculated in Figure 4a. The drainage system will be designed in accordance with the principles set out in CIRIA 697. Pre development Greenfield run-off rates and a clear percentage reduction will be agreed with the Environment Agency. The proposed development will therefore aim to deliver a valuable reduction in surface water run-off to benefit the wider catchment	FRA Section 4
9	SuDS systems are to be designed to accommodate the potential effects of climate change in accordance with NPPF	FRA Section 4
10	Where possible, SuDS systems are to be unlined thereby providing limited infiltration to ground although as a good practice measure they will be designed assuming no infiltration	Pages 21 & 24
11	SuDS systems are to be designed to minimise future maintenance and, prior to any reserved matters application, an appropriate adopting authority will be appointed in accordance with a long term maintenance plan	Pages 35 & 36
12	The SuDS system will be designed to promote biodiversity and improve water quality	Pages 34 & 35
13	The FRA is to investigate capacity in the existing foul drainage network and promote a system that accords with Sewers for Adoption and associated standards to ensure adequate capacity is available in the network. It will also investigate the possibility of connecting current residents on non-mains drainage	FRA Section 5

Figure i: Scoping Note Objective Table

1 Introduction

1.1 Brookbanks Consulting Limited has been appointed by the Swindon EDA Consortium to complete a Flood Risk Assessment (FRA) for the proposed residential development consisting Phase I of the Swindon EV element of the wider EDA

1.2 Prior to undertaking this FRA, a scoping document was prepared and submitted to a working group of regulatory bodies, the aim being to agree the scope and fundamental outputs for this report and associated proposals. This document has since been approved by the Environment Agency and used to inform this FRA. The scoping note can be found in Appendix 2, along with the EA correspondence

1.3 The objective of the study is to demonstrate that the development proposals are acceptable from a flooding risk and drainage viewpoint. The proposals have therefore been developed having regard to the broad spectrum of published guidance such as (but not exclusively) NPPF, CIRIA 522, 609, 697 together with regional and local guidance in the form of the Swindon Borough Council Strategic Flood Risk Assessment et al.

1.4 This report summarises the findings of the study and specifically addresses the following issues in the context of the current legislative regime:

- flooding risk;
- surface water drainage; and
- foul water drainage.

1.5 Plans showing the existing and proposed development are contained in Appendix 1.

2 Background Information

Location & Details

2.1 The proposed development lies to the east of Swindon. The A420 and the Great Western Rail Line bound the site to the south. To the west of the site, Thornhill Lane forms the site boundary, with the extents of South Marston, Nightingale Lane and the accompanying farmland bounding the site to the north. Agricultural land forms the eastern boundary of the site.

2.2 The majority of the land is thought to be historically undeveloped, however, small developments including a combination of dwellings, hotels and public houses are spread around the site, with link roads included throughout. The site location and boundary is shown indicatively on Figure 2a, below.

Development Criteria

2.3 The following development profile is proposed within the 175 ha site.

- Up to 2,380 residential units
- Up to 1,500m^2 Retail
- Up to 1,500m^2 Commercial

2.4 Drawing 1335-SV-01 in Appendix 1 shows the overall development area

Figure 2a: Site location

Sources of Information

2.5 The following bodies have been consulted while completing the study:

- Thames Water - Storm & foul water drainage
- Environment Agency - Flood and Coastal Management (FCRM)
- South Marston Parish Council - Drainage and associated policy
- Swindon Borough Council - Drainage and associated policy

2.6 The following information has been available while completing the study:

- Site Survey - Brunel Surveys, 2007
- Flooding Information - South Marston Parish Council
- Published Geology - British Geological Society
- Upstream Pond Details - Honda UK
- Regional Flood Risk Assessment - South West Regional Assembly
- Stage 1 Strategic Flood Risk Assessment - Swindon Borough Council
- Water Cycle Study - Swindon Borough Council
- Preliminary Flood Risk Appraisal - Swindon Borough Council
- Draft Local Plan - Swindon Borough Council
- Infrastructure Delivery Plan - Swindon Borough Council

Topography & Site Survey

2.7 The South Marston Brook flows through the centre of the site forming a valley with topography characterised by relatively shallow and consistent falls, towards the brook from each of the site boundaries. Levels fall from a high point of 101m AoD on the north eastern corner of the site, adjacent to Nightingale Lane down to approximately 88m AoD on the eastern boundary adjacent to the South Marston Brook.

2.8 In the south eastern corner of the land, away from the South Marston Brook, a relatively small area of the site falls in an easterly direction towards the River Cole.

2.9 A copy of the site contours are contained in Appendix 1 as drawing 1335-SV-01.

Ground Conditions

2.10 Reference to the British Geological Society indicates a number of different geological strata across the site. To the south and west the site is reported to be predominantly underlain by Ampthill Clay formation mudstone with an outcrop of Ferruginous limestone on the western corner.

2.11 To the north and east, the BGS reports the general ground conditions to consist a mix of sandstone to the north east and limestone to the south.

2.12 With regards to superficial deposits, these are shown to be limited to a thin band of alluvium passing through the site, generally along the line of the South Marston Brook. The published geology is shown in Figure 2b, below.

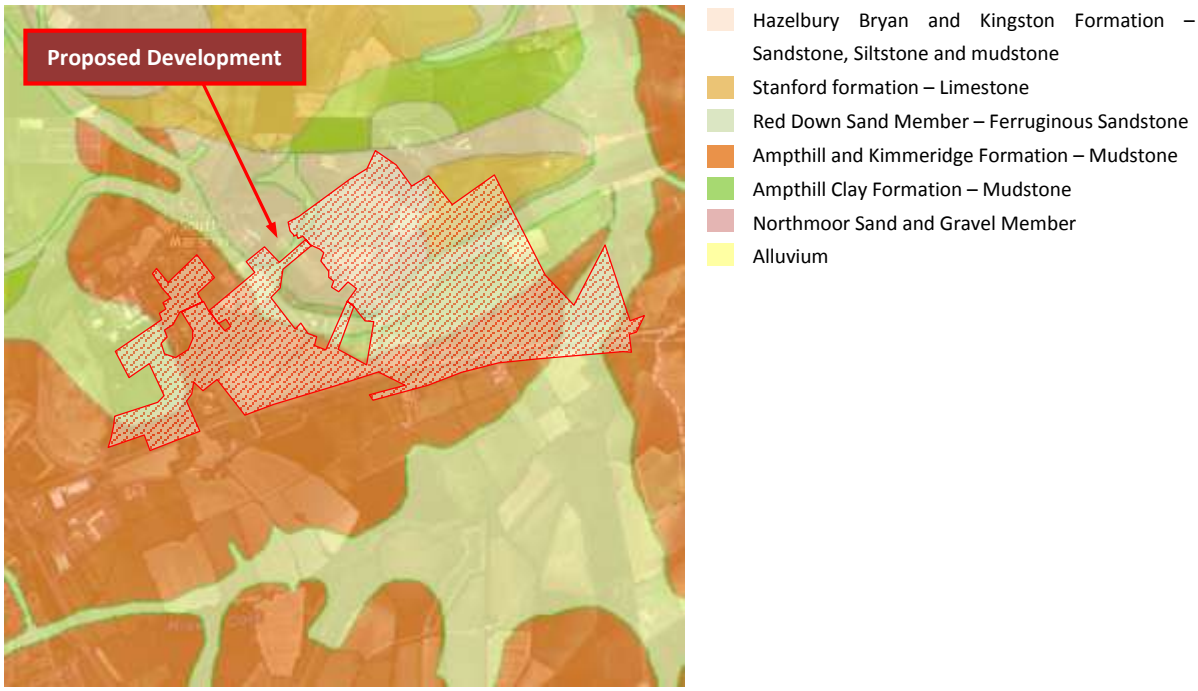

Figure 2b: BGS Published Geology

2.13 Site specific investigations across the wider site have yet to be completed however some localised borehole records have been obtained which generally confirm the ground conditions to be as per the BGS records.

Watercourse Systems & Drainage

2.14 The dominant watercourses in the area are the River Cole and South Marston Brook; the headwaters of the latter originate some 5km north west of the site in the Groundwell Industrial Estate.

Figure 2c: Watercourse Systems
River Cole
South Marston Brook

River Cole

2.15 Upstream of the site the River Cole flows through a large expanse of agricultural land south of the site generally in a north easterly direction after leaving the urban extent of Swindon. In this area the River Cole is relatively well defined and in the order of 3m – 5m wide for the most part.

2.16 Flowing in a north easterly direction from the A419, the River Cole has a confluence with a number of unnamed tributaries along with the Dorcan Stream near Longleaze Farm, all of which are in the order of 1.5m wide and appear more densely overgrown than the River Cole.

2.17 From here, the River flows in a northerly direction, passing beneath the railway line and A420 in a large pipe culvert. This is shown on Figure 2d below:

Figure 2d: River Cole Railway Culvert

2.18 Hereafter, the River Cole flows generally in a northerly direction circa 500m east of the eastern site boundary through mostly undeveloped land towards Sevenhampton, making confluence with the South Marston Brook near Lowerfield Wood.

South Marston Brook

2.19 The secondary watercourse in the area is the South Marston Brook. This watercourse originates some 5km north west of the proposed development site in the Groundwell Industrial Estate. From here, the brook flows generally in a south easterly direction through the residential area of Kingsdown before being culverted beneath the A419 and into the Honda Motor Vehicle Works.

2.20 The South Marston Brook emerges from this culvert on the eastern side of the Honda Motor Works and flows easterly towards South Marston. Prior to reaching the village, a pond with outflow control structure discharges to this watercourse as shown on figure 2e below.

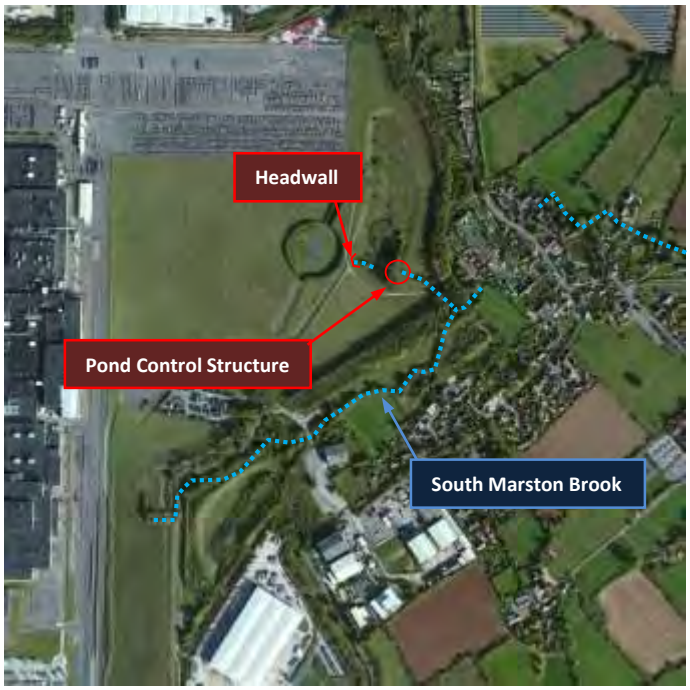

Figure 2e: Honda Attenuation Feature

2.21 Upon leaving the Honda area, the brook flows generally in an easterly direction through South Marston, culverted beneath the existing residential area and re-emerging as an open channel at Quarry Farm. At this point in its reach the south Marston Brook is in the order of 2.5m wide and is fairly well maintained, this is shown on Figure 2f below:

Figure 2f: South Marston Brook at Quarry farm

2.22 Hereafter, the brook turns by 90° and continues in a southerly direction, traversing the eastern extent of South Marston Village and thereafter flowing through the agricultural land comprising the proposed site before making confluence with the River Cole circa 2km east of South Marston Village near Lowerfield Farm.

2.23 Reference to the Flood Estimation Handbook CD dataset V3 shows the majority of the land to lie within the catchment of the South Marston Brook, passing through the east of the site. Having an URBEXT2000 value of 0.0669 the catchment can be described as *"slightly urbanised"*. The FEH catchment is shown in Figure 2g, below.

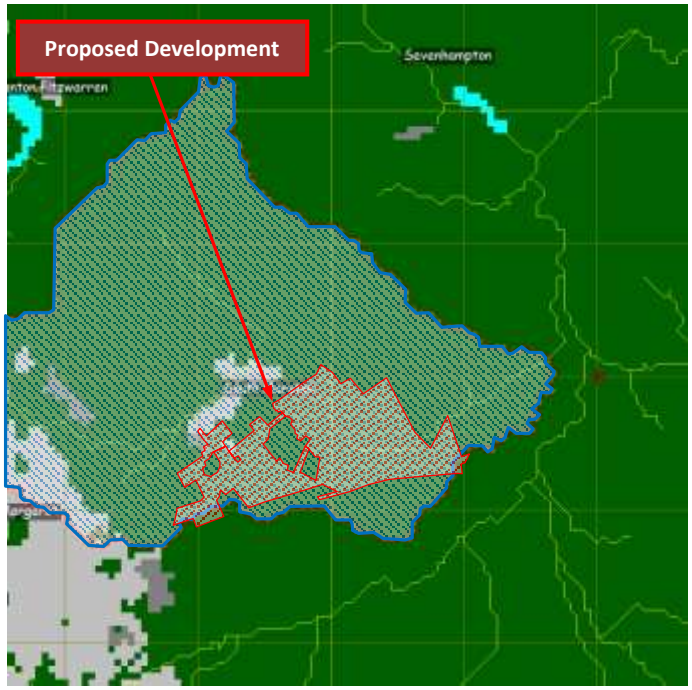

Figure 2g: FEH CD V3 Catchment

South Marston Flood Report

2.24 In July 2011, Simon Olive, working on behalf of South Marston Parish Council produced a detailed look at the areas surrounding South Marston, specifically concentrating on the land either side of Old Vicarage Lane and the impacts of surface water flows in this area.

2.25 The report, identifies key areas of concern, based upon local anecdotal evidence coupled with site inspection information.

2.26 Throughout this Flood Risk Assessment (FRA), this information has been used to help guide the assessments of flood risk at each stage with a summary of how this compares to published information is included along with how these sets of data have been incorporated within the site proposals.

3 Flooding Risk

National Planning Policy Context

3.1 The new National Planning Policy Framework (NPPF) was introduced in March 2012, which sets out Governmental Policy on a range of matters, including Development and Flood Risk. The policies were largely carried over from the former PPS25: Development & Flood Risk, albeit with certain simplification. The allocation of development sites and local planning authorities' development control decisions must be considered against a risk based search sequence, as provided by the document.

3.2 Allocation and planning of development must be considered against a risk based search sequence, as provided by the NPPF guidance. In terms of fluvial flooding, the guidance categorises flood zones in three principal levels of risk, as follows:

Flood Zone	Annual Probability of Flooding
Zone 1: Low probability	< 0.1 %
Zone 2: Medium probability	0.1 – 1.0 %
Zone 3a / 3b: High probability	> 1.0 %

Figure 3a: NPPF Flood Risk Parameters

3.3 The Guidance states that Planning Authorities should *"apply a sequential, risk-based approach to the location of development to avoid where possible flood risk to people and property and manage any residual risk, taking account of the impacts of climate change."*

3.4 According to the NPPF guidance, residential development at the proposed site, being designated as "More Vulnerable" classifications, should lie outside the envelope of the predicted 1 in 100 year (1%) flood, with preference given to sites lying outside the 1 in 1,000 (0.1%) year event and within Flood Zone 1

3.5 Sites with the potential to flood during a 1 in 100 (1%) year flood event (Flood Zone 3a) are not normally considered appropriate for proposed residential development unless on application of the "Sequential Test", the site is demonstrated to be the most appropriate for development and satisfactory flood mitigation can be provided. Additionally, proposed residential developments within Flood Zone 3a are required to pass the "Exception Test", the test being that:

- The development is to provide wider sustainability benefits
- The development will be safe, not increase flood risk and where possible reduce flood risk

Regional & Local Policy

3.6 **Regional Flood Risk Assessment:** In accordance with NPPF guidance, the South West Regional Assembly published their Regional Flood Risk Assessment (RFRA) February 2007. The document is a high level review of flood risk and strategy. In this document, concerns over the effects of potential of climate change are identified across Swindon and the wider south west region.

3.7 **Strategic Flood Risk Assessment:** To support local planning policy, NPPF guidance recommends that local planning authorities produce a Strategic Flood Risk Assessment (SFRA). The SFRA should be used to help define the Local Development Framework and associated policies; considering potential development zones in the context of the sequential test defined in the guidance.

3.8 Swindon Borough Council published their Local Flood Risk Management Strategy (LFRMS), in July 2014. The document generally underpins national guidance and provides recommendations to developers with regards to SuDS and design which will be explored further in this report under the **Storm Drainage** section

3.9 **Water Cycle Strategy:** In January 2014, CH2MHILL produced a Phase 2 Water Cycle Strategy (WCS) on behalf of Swindon Borough Council. The objective of the strategy is to encourage an integrated and sustainable approach to the Water Cycle in Swindon and provide supporting evidence to inform the selection of preferred options for growth.

3.10 The study provided an overview of the foul drainage catchment for the wider Swindon area within the Thames Water catchment looking specifically at the capacity in both the network and treatment systems, along with water efficiency measures to reduce flows from developments and any upgrades required to accommodate for additional flows. This is further described in the F**oul Drainage** section.

3.11 **Development Flood Risk Assessment:** At a local, site by site, level the NPPF guidance and supporting documents advocate the preparation of a Flood Risk Assessment (FRA). NPPF requires that developments covering an area of greater than one hectare prepare an FRA in accordance with Annex E of the guidance. The FRA is required to be proportionate to the risk and appropriate to the scale, nature and location of the development.

3.12 This document forms a Flood Risk Assessment (FRA), to accord with current guidance and addresses the requirements in demonstrating that the proposed development lies within the acceptable flood risk parameters.

Flood Mechanisms

3.13 Having completed a site hydrological desk study and walk over inspection, the possible flooding mechanisms at the site are identified as follows:

Mechanisms	Potential?	Comment
Fluvial (Annex C: C4)	Y	The River Cole and South Marston Brook lie within an influencing distance of the proposed development.
Coastal & tidal (Annex C: C5)	N	No tidal watercourses are close to the site
Overland flow (Annex C: C6)	Y	The published geology suggests the presence of underlying ground conditions which are unlikely suitable for infiltration and this the risk of overland flows must be considered.
Ground water (Annex C: C7)	Y	Geology underlying the site is of an impermeable nature, although topography does not necessarily suggest the likelihood of a problem. While not considered a high risk mechanism, ground water flooding needs to be considered.
Sewers (Annex C: C8)	Y	Whilst no sewers lie within the proposed development area, given the reported problems in the surrounding sewer network, the probability of a sewer flooding mechanism must be considered.
Reservoirs, Canals etc (Annex C: C9)	Y	A number of ponds have been identified which have the potential to impact upon the proposed development.

Figure 3b: Flooding mechanisms

3.14 Where potential risks are identified in Figure 3b, above, more detailed assessments have been completed and are outlined below. Further background is also outlined below.

Fluvial Flooding: C4

3.15 It is understood that the South Marston Brook was mapped as part of the National Flood Mapping Study completed by the Environment Agency. This study was based on the JFLOW model, the results of which are considered indicative only.

3.16 Therefore, whilst it is the responsibility of the Environment Agency formally to define the areas at risk of fluvial flooding from Main Rivers across the UK, as part of the ongoing site assessments, Bureau Veritas were appointed to complete a detailed hydraulic assessment of the River Cole and South Marston Brook.

3.17 A 2D hydraulic model of the South Marston Brook and the surrounding land was constructed using the TUFLOW hydraulic modelling package in order to calculate the displacement of water throughout a flood event by dividing the floodplain into a grid of individual cells. Each cell contains topographic information so flood flows follow any direction dictated by the local topography. The model therefore reflects morphological changes to the floodplain and the complex flowpaths present at the site.

3.18 The hydraulic model was constructed to conform to the Environment Agency's Strategic Flood Risk Mapping (SFRM) specification. Furthermore, the Environment Agency were consulted with regard to the development of the hydraulic model and their suggestions and comments incorporated into the model where appropriate.

3.19 The modelling exercise provided a full set of outputs for the following return events:

- 1 in 20 year
- 1 in 100 Year
- 1 in 100 Year +20%
- 1 in 1,000 Year

3.20 The full mapping completed following the modelling exercise is contained in Appendix 1 however an extract of the plan is shown as Figure 3c below:

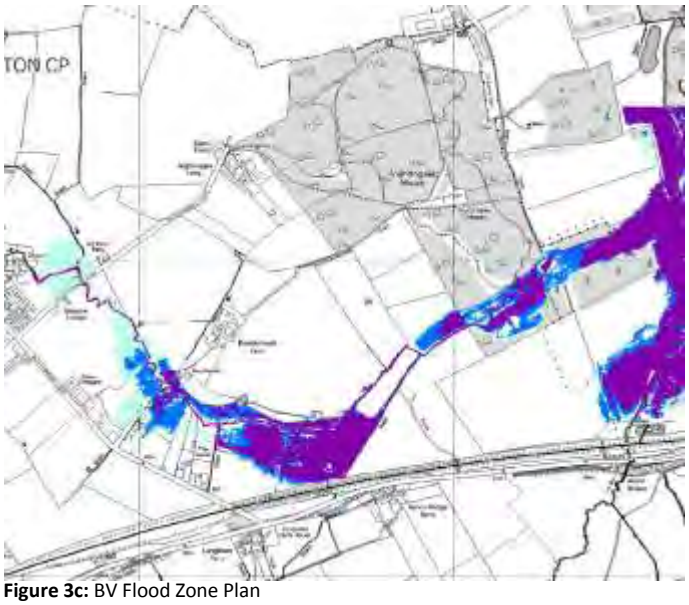

Figure 3c: BV Flood Zone Plan

3.21 The flood model identifies significant out of bank flows on the South Marston Brook passing through the site along with the River Cole to the east with a large area within the site boundary, adjacent to the rail line, shown to lie within Flood Zones 2 and 3.

3.22 Following completion of the modelling exercise, the flood model was submitted to the Environment Agency for review and approval. It was confirmed by the Environment agency on 11th October 2010 in their correspondence (ref: WA/2009/1016623/05-L01) contained in Appendix 1 that the model was acceptable and should be used for defining the flood risk parameters across the site.

3.23 Furthermore, the model was used by the Environment Agency to update their Flood Zone Mapping for the area, an extract of which is contained as Figure 3d below:

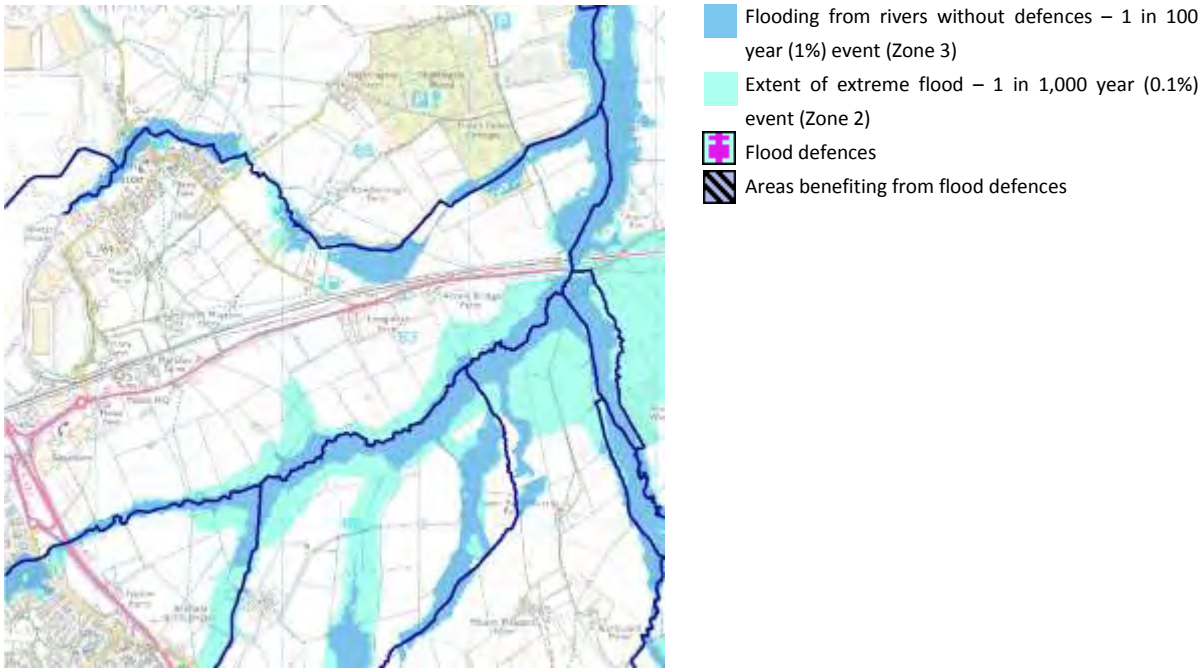

Figure 3d: EA Flood Zone Plan

3.24 Photographic records of the flooding on the South Marston Brook have been provided by the Parish Council which generally correlates to the flooding identified through the modelling exercise.

3.25 The records are contained in Appendix 2 and have been used, where appropriate, further to define the flood risk parameters within the site boundary.

Coastal Flooding: C5

3.35 The site lies a significant distance from the nearest tidal watercourse and the coast. As such there is no risk of tidal or coastal flooding at this location.

Overland Flow: C6

3.36 Overland flow mechanisms result from the inability of unpaved ground to infiltrate rainfall or due to inadequacies of drainage collection systems to accommodate flow directed to gullies, drainage downpipes or similar. In minor cases, local ponding type flooding may occur. In more extreme events, flows accumulate and may be conveyed across land following the topography.

3.37 The Environment Agency publish a series of surface water flood maps for most areas across the UK which give an indication of the broad areas likely to be at risk of surface water flooding, i.e. areas where surface water would be expected to flow or pond.

3.38 In 2010 the Flood and Water Management Act defined 'surface runoff' as:

"Surface runoff" means rainwater (including snow and other precipitation) which—
(a)is on the surface of the ground (whether or not it is moving), and
(b)has not entered a watercourse, drainage system or public sewer."

3.39 Generally, the type of flooding shown by the Flood Map for Surface Water (FMfSW) produced by the Environment Agency, fits with the definition in the Act and shows the flooding that takes place from the 'surface runoff' generated by rainwater.

3.40 Two rainfall events, one with a 1 in 30 and the other with a 1 in 200 chance of occurring in any year, are modelled and mapped. For each rainfall probability, the mapping provides two layers of information which can be used individually to indicate:

- Surface Water Flooding' (flooding greater than 0.1m deep);
- Deeper Surface Water Flooding' (flooding greater than 0.3m deep).

3.41 The 0.3m threshold is chosen as it represents a typical value for the onset of significant property damages when property flooding may start (above doorstep level) and because it is at around this depth that moving through floodwater (driving or walking) may become more difficult; both of which may lead users to consider the need to close roads or evacuate areas.

3.42 Swindon Borough Council, as part of their duties as Lead Local Flood Authority, produced a Preliminary Flood Risk Assessment (PFRA) in August 2011.

3.43 The PFRA is a high level review that compiles information on significant local flood risk from past and future floods, based on current, readily available information.

3.44 The document specifically looks at local flood risk, being flooding originating from sources other than main rivers, the sea and large reservoirs and principally meaning flood risk from surface runoff, groundwater and ordinary watercourses however this does include:

- Lakes and ponds
- Flooding from sewers that is wholly or partly caused by rainwater or other precipitation
- The interaction with flooding from main rivers, the sea and sewers.

3.45 The Environment Agency has produced a national map of areas susceptible to surface water flooding for a 1 in 200 year (0.5% AEP) rainfall event which this has been utilised within the PFRA for Swindon as a baseline for the assessment of pluvial flooding in the borough.

3.46 Augmenting the EA mapping with local knowledge and additional sources of flooding information, the PFPA report culminated in a series of surface water flooding plans highlighting both the extent of surface water flooding and the likely depth for a 1 in 200 year (0.5% AEP) event. An extract from the plan is shown as Figure 3e below whilst the full plan is contained in Appendix 1.

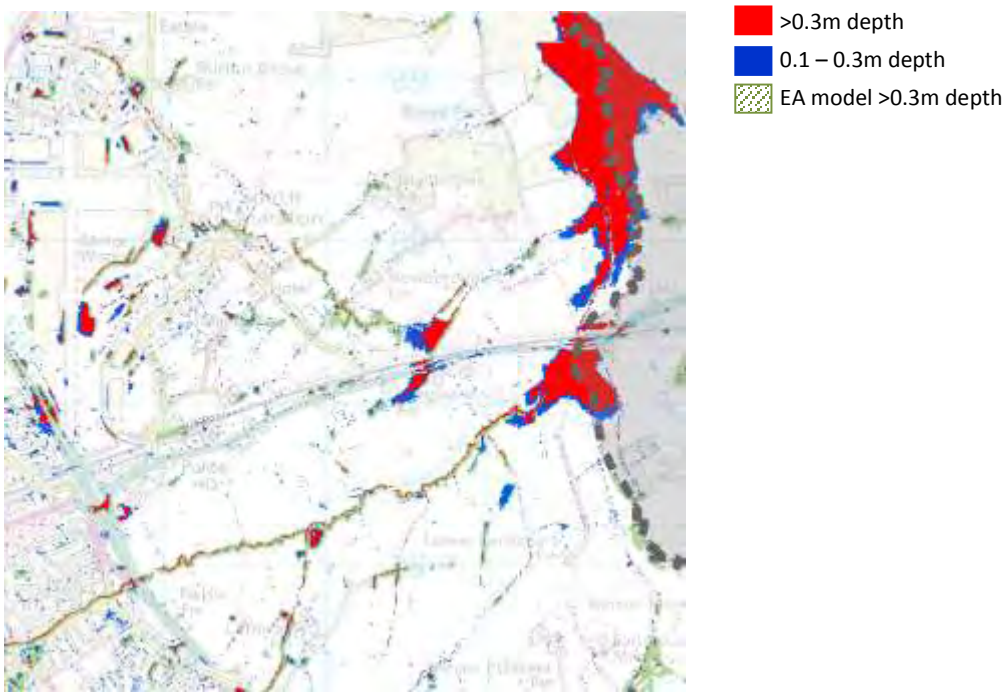

Figure 3e: Swindon PFRA Pluvial Flood Extents

3.47 The combined mapping produced by the Local Authority identifies a number of localised incidents of surface water flooding within the site boundary up to 0.3m in depth. Whilst much of the identified flooding is sporadic and minor in size, a large area of surface water ponding is identified on the banks of the South Marston Brook at Rowborough Farm.

3.48 Following discussions with the Environment Agency, Swindon Borough Council and South Marston Parish Council, further incidents of localised surface water flooding have been identified that are not identified on the fluvial flood plans generated by the EA, Borough Council or BV.

3.49 Anecdotal evidence in the way of photographic and video records have been provided to BCL which outline an area south west of the South Marston Brook to be liable to surface water flooding, this is shown illustratively on Figure 3f below whilst the photographs and their locations are contained in the Appendix 2.

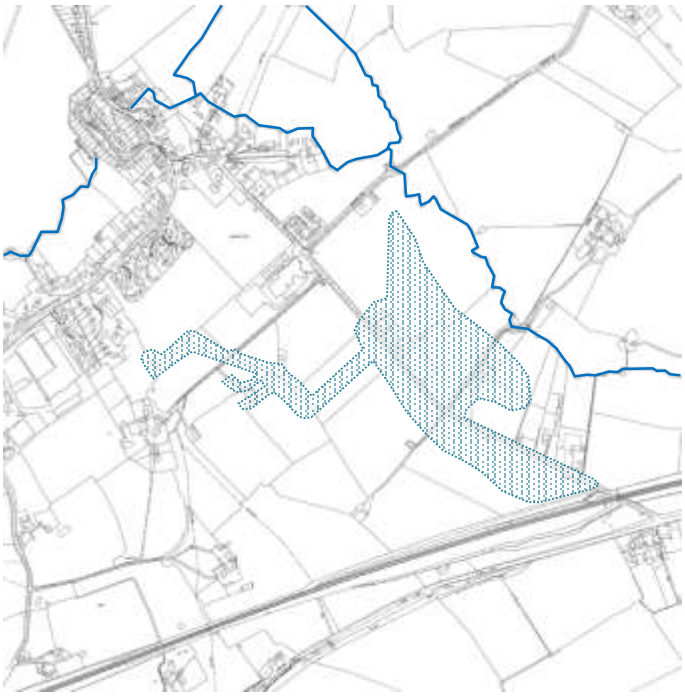

Figure 3f: Parish Council Identified Flood Extents

South Marston Brook & Tributaries

Parish Council Flood Extents

3.50 Whilst the information received by the Parish Council shows broadly the same areas as the EA mapping to be at risk, it has identified a more hydraulically connected area of surface water flooding across the agricultural land south of the village, flowing eastwards towards the South Marston Brook.

3.51 Further inspections show the outline provided above broadly correlate with the line of a number of shallow and poorly defined ditches bisecting these fields, this is shown on Figure 3g below:

Figure 3g: Existing ditch lines

3.52 Evidence from the site topographical data shows that it is likely that rainwater enters these ditches which flow towards the South Marston Brook however at key locations such as Old Vicarage Lane, these ditches become truncated.

3.53 As a result, the stormwater is held until the volume of water exceeds the storage capacity of the channels thus causing a surface water flooding mechanism as stormwater flows overland to reach the South Marston Brook following the topography.

3.54 Figure 3h below identified this flooding, clearly showing a linear area of flooding in the fields to the west of Old Vicarage Lane with the carriageway and residential properties forming a barrier to the conveyance of flow.

Figure 3h: Flooding at Old Vicarage Lane

Modelling Assessment

3.55 Whilst the EA and LPA have produced a number of risk based maps for the wider Swindon area, including the proposed development site, it has been requested that further modelling be undertaken using more detailed terrain mapping than the LiDAR data presently underpinning the mapping in order to quantify the risk posed by surface water run-off from the surrounding land.

3.56 A detailed two-dimensional overland flow model has therefore been created using the Infoworks ICM software. The key inputs for this are:

- Topography
- Rainfall profile

Topography

3.57 Detailed level information has been obtained for the wider South Marston and Rowborough areas in the form of Digital Terrain Mapping (DTM) data. This information has thereafter been used to define the prevailing ground levels in the area along with slope direction and gradient.

Rainfall Profile

3.58 The FEH CD contains digital catchment descriptors for over four million UK catchments, which drain an area of 0.5km² or greater. Additionally, the CD also provides rainfall depth-duration frequency information across the UK. The South Marston Brook is included in the FEH CD V3.

Assessment

3.59 To assess the risk to the proposed development from surface water run-off emanating from the off-site catchments, it is necessary to define the depth and velocity of potential overland flows during the critical 6 hour, 1 in 30 and 1 in 200 year storm events.

3.60 The rainfall profiles for these storm events have been derived from the FEH information through the Infoworks software and applied directly to the topographical data.

3.61 The assessments show a number of areas at risk of surface water flooding during both storm events which generally follow the routes of the River Cole and South Marston Brook with some minimal flooding identified broadly in those areas highlighted by the Parish Council. The surface water flooding mapping is contained in Appendix 1.

3.62 The Environment Agency has recently produced a series of predicted surface water flooding maps for many parts of the UK. The plan containing the proposed site is reprinted as Figure 3i below.

Figure 3i: Surface Water Hazard Mapping

Flood Hazard Rating	Colour Code	Hazard to People Classification
Less than 0.75		Very Low Hazard
0.75 to 1.25		Low Hazard
1.25 to 2.0		Medium Hazard
More than 2.0		High Hazard

3.63 Whilst the above assessment confirms the risk posed by surface water run-off from outside the site to range from **High - Very Low**, by utilising both the modelling results and information obtained from the Parish Council, it will be possible

further to provide positive environmental effects to the existing area by incorporating measures to reduce surface water flooding at this location.

3.64 The photos provided by the Parish Council are contained in Appendix 2 and are accompanied by measures to potentially alleviate each incident. It has been agreed by the Environment Agency and Swindon Borough Council that where these incidents lie outside of land in control, the development will not specifically provide the mitigation.

3.65 Furthermore, the introduction of positive drainage measures at the proposed site, including a number of interceptor and conveyance channels, will result in a reduced risk of surface water flooding from the proposed development to the existing and proposed properties by collecting and conveying stormwater within managed corridors and away from people and property.

Ground Water: C7

3.66 Ground water related flooding is fortunately quite rare, although the results of same, where present, can provide persistent problems that are problematic to resolve. Such mechanisms often develop due to construction activities that may have an unforeseen effect on the local geology or hydrogeology.

3.67 The Environment Agency mapping shows the sited to be underlain by both a minor aquifer of intermediate leaching potential in the east and west with a non aquifer formation found in the centre of the site.

3.68 Non Aquifers are formations of negligible permeability, usually regarded to contain insufficient quantities of groundwater. However, groundwater flow through non aquifers is a possibility even if a low one.

3.69 Minor Aquifers are fractured or potentially fractured rocks, which do not have a high primary permeability, or other formations of variable permeability including unconsolidated deposits. Although not producing large quantities of water for abstraction, they are important for local supplies and in supplying base flow to rivers

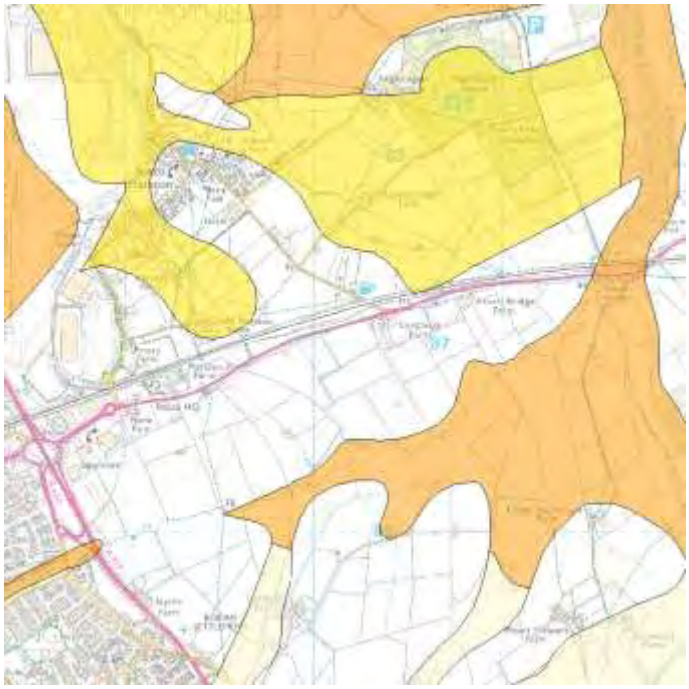

Minor Aquifer – Intermediate Leaching Potential
Minor Aquifer – High Leaching Potential
Minor Aquifer – Low Leaching Potential

Figure 3j: EA Groundwater Vulnerability Mapping

3.70 Reference to the information provided as part of the Swindon Borough Council Level 1 SFRA does not identify any groundwater related flooding within the site boundary; indeed the nearest incident of groundwater flooding is circa 2km south of the site.

3.71 This incident occurred in Osprey Close on 18th December 2006 with no further groundwater flooding identified at this location since this time.

3.72 Further supporting this, borehole records in the area confirm the underlying groundwater to be in the order of 3.0mBGL. Groundwater flooding at this location is therefore considered to be of a low probability

Sewerage Systems: C8

3.73 Existing development to the north and east has a managed drainage system by way of sewers adopted by Thames Water and the Highway Authority.

3.74 The Swindon Borough Council SFRA provides evidence on local sewer flooding, which is taken from the Thames Water DG5 Asset Registers. Searches identify than no sewer flooding is identified within the proposed development site.

3.75 Historically, the area of South Marston to the north has suffered four incidents of sewer flooding as identified on the local authority SFRA mapping.

3.76 The SFRA further identifies that these flooding related incidents are a result of the inability of the existing foul drainage network in the area to deal with the volume of flows being received.

3.77 As part of the site development process Thames Water have been commissioned to complete a full modelling study of the existing foul network to identify where specific interventions may be required to not only facilitate the proposed development but to ensure no adverse impact on the surrounding area.

3.78 Furthermore, positive drainage measures incorporated on site, coupled with sustainable drainage systems (SuDS) will ensure that no increase in surface water will result from the site. Flood risk associated with sewer flooding is therefore considered to be a low probability

Artificial Sources: C9

3.79 Whilst no potential artificial sources of flooding have been identified within the site boundary, the Parish Council have identified a potential risk to the wider area from the Honda attenuation pond and as such, an assessment of same has been completed.

3.80 In 1990, Honda UK Manufacturing Ltd proposed the development of an assembly plant and associated infrastructure on the site of the former airfield to the north east of Swindon. As part of these proposals, Hydraulics Research were commissioned to complete a drainage assessment for the site to demonstrate that the new facility would not increase flood risk to the wider South Marston catchment.

3.81 It was proposed to implement an attenuation pond on the eastern boundary of the works, adjacent to the South Marston Brook which stored the run-off from the site during a range of return periods including the 1 in 100 year event to no greater than the current baseline.

3.82 The following design criteria for this attenuation pond was modelled:

Contributing Area	**-**	**0.73km^2**
100 Year Peak Flow	**-**	**5.52m^3/s**

3.83 The results of the modelling indicated that based on the following profile, the Honda pond will be able to reduce flows in the South Marston Brook to circa 4.71m^3/s, being a 15% reduction on existing flows.

Orifice outflow	**-**	**550mm Ø**

Pond Level (mAOD)	**Area (ha)**
93.80	**0.49**
94.72	**2.05**
95.64	**2.42**
96.55	**2.80**

3.84 This drainage system was subsequently approved through the planning permission for the Honda UK works and it is believed to have been constructed in accordance with the Hydraulics Research documentation.

3.85 Further to assess the potential risk proposed by this attenuation pond during present day conditions, assessments have thereafter been completed using best practice methods by performing detention routing calculations for both the 1 in 1 and 1 in 100 year inlet and outlet return periods using the WinDES Source Control module. The summary calculations are contained in Appendix 2.

3.86 The calculations confirm that the existing pond performs adequately, retaining the 1 in 100 year flood event whilst allowing for approximately 1,000mm of freeboard between the peak water level and the top of bank. In order to provide a robust assessment, the following sensitivity tests were also completed:

- 30% allowance for climate change
- Potential growth of facility to 0.89km^2 (as outlined within original report)
- Growth with 30% climate change

Climate Change

3.87 By allowing for a 30% increase in flows due to climate change, in accordance with current best practice guidance, the pond performs satisfactorily, retaining stormwater without overflow whilst maintaining circa 600mm freeboard.

Facility Growth

3.88 With an increased contributing impermeable area of 0.89km^2, calculations demonstrate that water levels within the attenuation pond peak at 95.8mAOD, being 700mm below the top of bank level.

Facility Growth with Climate Change

3.89 This potential future growth, coupled with the effects of climate change have been modelled and confirm that the attenuation pond retains all floodwater without overflow and provides circa 250mm freeboard between peak water levels and top of bank.

3.90 The risk of flooding associated with artificial sources, including the Honda Pond is therefore considered low.

Parish Council Flooding Identification

3.91 As mentioned previously, South Marston Parish Council have provided a large amount of information relating to localised flooding incidents in the wider area, including within the proposed development site.

3.92 The photos provided by the Parish Council are contained in Appendix 2 and are accompanied by measures to potentially alleviate each incident. It has been agreed by the Environment Agency and Swindon Borough Council that where these incidents lie outside of land in control, the development will not specifically provide the mitigation. Figure 3k below provides a summary of these.

Photo Reference	Location	Description	Mitigation	Resolved by development
1	St Julan's	Manhole Blockage	Remove blockage	✘
2 - 3	Thornhill Rd Layby	Manhole Blockage	Remove blockage	✘
4 - 6	Hodinot Corner	Poor Connectivity	Improve connection to ditch	✘
7	Manor Park	Poor Connectivity	Improve connection to ditch	✓
8	Manor Park Pond	Missing Outfall	Confirm and upgrade outfall	✓
9 - 10	Manor Farm	Poor connectivity	Improve connection beneath road	✓
11 - 12	Mercure Hotel	Localised low spot	Improve drainage connectivity	✓
13	Playing Fields	Localised low spot	Minor ground reprofiling	✘
14	Playing Fields	Poor Connectivity	Improve connection to ditch	✘
15	Tennis Courts	No drainage	Provide drainage connection	✘
16	School Car Park	Manhole Blockage	Remove blockage	✘
17 - 18	Highworth Road	Poor Connectivity	Improve connection to river	✘
19 - 20	Highworth Road	Culvert blocked	Improve culverted sections	✘
21	Highworth Gardens	Poor Connectivity	Improve connection to ditch	✘
22 – 23	Old Vicarage Lane	Truncated ditch	Improve downstream connectivity	✓
24 – 25	Rowborough Lane	Poor Connectivity	Improve connection to ditch	✓
26 - 27	Rowborough Lane	Culvert blocked	Improve culverted sections	✓
28	Carpenters Arms	Culvert damage	Upgrade culverted sections	✓
29	Railway Fields	Poor Connectivity	Improve connection to ditch	✓
30	Sunnyside House	Fluvial Flooding	N/A	✘
31	Sunnyside Culvert	Fluvial Flooding	N/A	✘
32 - 33	Nightingale Lane	Fluvial Flooding	N/A	✘
34	Chapel Lane	Fluvial Flooding	N/A	✘

Figure 3k: Parish Council Flooding Locations

Flood Zoning & Probability Summary

3.93 In terms of fluvial flood risk, the majority of the proposed development lies in Flood Zone 1, being land that lies outside the 1 in 1,000 year (0.1%AEP) flood risk area. Those areas within the site lying within Flood Zones 2 and 3 will remain undeveloped with the exception of providing essential infrastructure routes through the development.

3.94 Assessment of other potential flooding mechanisms shows the land essentially to have a low probability of flooding from overland flow, ground water and sewer flooding.

3.95 Flooding from surface water mechanisms have been assessed as a low probability within the proposed development site with the modelling completed finding a small area within the proposed development to be at risk of same.

3.96 The risks of overland flow will be mitigated by providing adequate drainage systems in accordance with this document and utilising best practice measures as defined by local and national guidance.

Sequential Test

3.97 The NPPF Guidance states that Planning Authorities should complete a risk based "Sequential Test" at all stages of the planning process, to ascertain areas most suitable, from a flood risk perspective, for future development.

3.98 According to the planning policy statement, built development of a residential or educational nature, being designated as a "More Vulnerable" classification, should lie outside the envelope of the predicted 1 in 100 year (1% AEP) flood, with preference given to sites lying outside the 1 in 1,000 year (0.1% AEP) event and within Flood Zone 1.

3.99 Locations with the potential to flood during a 1 in 100 year (1% AEP) flood event (Flood Zone 3a) are not normally considered appropriate for proposed "More Vulnerable" uses unless on application of the "Sequential Test", the site is demonstrated to be the most appropriate for development and satisfactory flood mitigation can be provided.

3.100 While it is for Swindon Borough Council formally to apply the Sequential Test, the following paragraphs provide justification as to the appropriateness of development at Swindon EV in the context of the requirements of NPPF.

3.101 The essence of the "Sequential Test" is to "steer new developments to areas with the lowest probability of flooding" (Paragraph 101 of the NPPF guidance). The nature of the test will vary according to the status of the proposed development within the development plan system. Hence, "*for individual developments on sites allocated in development plans through the application of the Sequential Test, informed by a SFRA, developers need not apply the sequential test*" (NPPF guidance, Paragraph 104).

3.102 Of most relevance is Local Plan Policy EN6, which states:

"Policy EN6: Flood Risk

a. The risk and impact of flooding will be minimised through:

- *directing new development to areas with the lowest probability of flooding;*
- *ensuring that all new development addresses the effective management of flood risk;*
- *ensuring that development does not increase the risk of flooding elsewhere including on adjoining and surrounding land; and*
- *ensuring wider environmental benefits of development in relation to flood risk*

b. The suitability of development proposed in flood zones will be assessed using the Sequential Test, and, where necessary, the Exceptions Test. A sequential approach should be used at site level. *[our highlight]*

c. A site specific flood risk assessment will be required for development proposals of one hectare or greater in Flood Zone 1 and for all proposals for new development (including minor development and change of use) in Flood Zones 2 and 3 and Critical Drainage Areas, and also where proposed development or a change of use to a more vulnerable class may be subject to other sources of flooding. Appropriate mitigation and management measures must be implemented.

d. All development proposals must be assessed against the Swindon Surface Water Management Plan and the Local Flood Risk Management Strategy to address locally significant flooding. Appropriate mitigation and management measures must be implemented.

e. All development shall be required to provide a drainage strategy. Developments will be expected to incorporate sustainable drainage systems and ensure that run-off rates are attenuated to greenfield run-off rates. Higher rates would need to be justified and the risks quantified."

3.103 The principle of development at Swindon EV is already recognised in the Draft Local Plan, Policy SD2 states:

"**Policy SD2: The Sustainable Development Strategy**

a. Recognising its role and function in the wider area development in the Borough will be concentrated at Swindon through a combination of:

- *Realising development opportunities within Swindon's urban area; and*
- *Allocated strategic sites at; Wichelstowe, Commonhead, Tadpole Farm, Kingsdown and the proposed new Eastern Villages, Rowborough and expanded South Marston, as defined in the key diagram."*

3.104 As such in accordance with Policy EN6, the Sequential Test has already been completed satisfactorily by the local planning authority. In accordance with the policy, it is therefore not necessary for this FRA to provide a further Sequential Test assessment.

3.105 Notwithstanding this, the following paragraphs consider further evidence which provides a further endorsement as to the robustness of the proposed development in the light of the sequential approach advocated in NPPF Guidance.

3.106 The Swindon Borough Council published Draft Local Plan 2026 (March 2015) sets out a spatial vision for the Borough to aid decision making, The Spatial Vision states:

"The Borough of Swindon will become a place where people choose to live, visit and invest. As an important regional centre, Swindon's appeal will stem from having an attractive and well-equipped town that has successfully blended traditional architecture with high quality contemporary buildings that incorporate sustainable design and construction principles.

The achievement of a high quality public realm in the heart of the town linked to the countryside will provide a real focal point for visitors and Swindonians alike.

Swindon will become one of the best business locations in the UK, offering a high quality of life, not just to its residents, but also to those from a much wider catchment area. New jobs will be created and there will be the fullest range of employment opportunities for the whole community.

Swindon will be at the centre of a network of multifunctional green spaces linking the town to the wider countryside. Swindon will have responded to the needs of a growing population in a way that has protected and enhanced our natural and historic environment.

People in Swindon will have the opportunity to live active, healthy and learning lifestyles."

3.107 Furthermore, the draft Local Plan summarises ***"The Eastern Villages, Rowborough and South Marston are a key component of the development strategy for the Borough and is linked to many policies and strategies listed in the evidence base."***

Exception Test

3.108 While the Sequential Test should be employed on all sites to direct development to locations having the lowest probability of flooding, the Exception Test is to be used on select sites where it is shown necessary, through the Sequential Test, to apply development of a given Flood Risk Use Vulnerability in a Flood Zone that is ordinarily reserved for a less vulnerable use. Table 3 of the NPPF Technical Guide identifies four circumstances where the combination of a given Vulnerability of Use and Flood Zone justify the application of the Exception Test. Table 3 is reprinted below:

Flood Risk Vulnerability classification (see Table D2)		Essential Infrastructure	Water compatible	Highly Vulnerable	More Vulnerable	Less Vulnerable
Flood Zone (see Table D.1)	Zone 1	✔	✔	✔	✔	✔
	Zone 2	✔	✔	Exception Test required	✔	✔
	Zone 3a	Exception Test required	✔	✗	Exception Test required	✔
	Zone 3b 'Functional Floodplain'	Exception Test required	✔	✗	✗	✗

Figure 3e: NPPF Technical Guide Table 3

3.109 With a small area of land within the site lying in Flood Zone 3, the development is required to pass the Exception Tests for one Flood Risk / Vulnerability Classification; being:

- Highways within the site being classified as 'Essential Infrastructure' in Zone 3a

3.110 To pass the Exception Test, Paragraph 1002 of he NPPF guidance requires that:

a) ***It must be demonstrated that the development provides wider sustainability benefits to the community that outweigh flood risk, informed by a SFRA where one has been prepared. If the DPD has reached the 'submission' stage – see Figure 4 of PPS12: Local Development Frameworks – the benefits of the development should contribute to the Core Strategy's Sustainability Appraisal***

As with the Sequential Test, Paragraph 20 of PPS25 urges that the Exception Test be applied early in the process where this is possible.

In this regard it is highly relevant that the flood risks apparent within the Swindon EV were very much taken into account in the formulation of the Draft Local Plan and in the identification of site as a key component of the wider development strategy for Swindon. Paragraph 3.106 of this FRA draws attention to the conclusions of the Draft Local Plan with regard to the Swindon EV development. Without re-quoting the findings of the document, in summary, the proposed Eastern Villages (the application site) was considered a highly suitable future opportunity to provide much needed housing opportunities.

With the Councils conclusions, supported by a Flood Risk and Sustainability Appraisal, it may be concluded that the development of an urban extension at Swindon EV fulfils the requirements of the Exception Test having been demonstrated to deliver wider sustainability benefits that outweigh a flood risk that was taken fully into account at that strategic scale.

b) A FRA must demonstrate that the development will be safe, without increasing flood risk elsewhere, and, where possible, will reduce flood risk overall.

This FRA considers flood risk to both proposed development and the wider South Marston and Rowborough catchment in a comprehensive manner. Multi mechanism flooding is considered and it is demonstrated the proposed development will be safe.

On and off-site flood mitigation improvements identified on the flooding photo matrix will ensure the development helps provide a reduction in flood risk across the wider Eastern Villages area by obviating, where possible, the effects of existing flooding mechanisms. Residual Flood Risk relating to the proposed development is outlined below.

Residual Flood Risk

3.111 This FRA outlines various protection measures to manage residual flood risk. For example freeboard proposals are outlined that provide a factor of safety to raise floor slab levels of buildings above the existing ground levels and above predicted fluvial flood levels when climate change is included. Proposals are also outlined to ensure the development complies with current guidance on flood resilient construction by providing infrastructure routes through the development that would channel all but extreme flood waters in a controlled manner through the development and away from property.

3.112 In summary, the following residual flood risk controls are also proposed:

- **Information Pack:** Production of a welcome pack / introductory brochure for all residents in order to outline the procedures for dealing with flooding and what to do in the event of a flood.
- **Maintenance:** Provision of a 9m maintenance strip to all watercourses presently maintained by the EA along with provision of an agreed maintenance strip to all new features such that adequate maintenance can be achieved.
- **Maintenance:** Provision of ongoing maintenance for SuDS features, ordinary watercourse and existing artificial water bodies.
- **Freeboard:** the site will deliver 150mm freeboard above the above the nearest bank level of the South Marston Brook on-site.
- **Routing:** Compliance with guidance in terms of flood routing and resilience for new developments, employing infrastructure corridors safely to covey any extreme event flows / blockage away from properties.
- **SuDS:** Provision of a storm water SuDS management system (See Section 4).
- **Drainage:** Connection to a point of adequacy on the foul water drainage network with completion of necessary downstream reinforcements to ensure adequate conveyance and treatment capacity. (See Section 5).
- **Drainage:** Adoption and associated ongoing maintenance of development storm and foul drainage system.

3.113 The proposed residual flood risk management measures will provide safe homes and facilities at Swindon EV.

Summary

3.114 All built development, with the exception of essential infrastructure, lies in fluvial Flood Zone 1 and hence has a low probability of flood risk.

3.115 Assessment of, ground water and sewer flooding mechanisms does not suggest other than a low risk of flooding at the site.

3.116 Assessment of the overland flow mechanism finds the site to be at very low risk, furthermore and potential mechanism will be adequately mitigated post development.

3.117 It may be concluded that the proposed development complies NPPF guidance in terms of appropriateness of the land use and flood zoning.

Objectives

3.118 The key development objectives that need to be achieved in relation to flooding are essentially listed above in the sub-section entitled Residual Flood Risk.

4 Storm Drainage

Background

4.1 To understand the baseline provision for storm drainage in the area, a copy of the Thames Water sewerage network records has been obtained. Public storm water sewers are present within the South Marston residential area to the north west of the proposed development.

4.2 The land is presently not serviced by a positive storm water drainage network. It is believed that storm water currently discharges to the South Marston Brook passing through the site.

Drainage Options

4.3 The following paragraphs in this section outline the proposed drainage strategy to meet national and local design requirements and guidance.

4.4 Current guidance[1] requires that new developments implement means of storm water control, known as SuDS (Sustainable Drainage Systems), to maintain flow rates discharged to the surface water receptor at the pre-development 'baseline conditions' and improve the quality of water discharged from the land.

4.5 The Swindon Borough Council SFRA underpins national guidance on the provision of storm water drainage, encouraging the use of sustainable means of drainage at new developments.

4.6 As part of the detailed scoping exercise for the proposed development, it was agreed that the development would seek to reduce site discharge to below the baseline rate during the critical 1 in 100 year storm as calculated using the IoH124

[1] NPPF, CIRIA C522, C609, C697 et al.

methodology in accordance with national guidance, thus providing a significant attempt to reduce flood risk across the wider catchment.

4.7 It is proposed to implement a multi-tiered SuDS scheme consistent with local and national policy at the proposed development. By implementing a range of SuDS features and utilizing best practice design and construction methods it will be possible to mitigate any overland flow flood risk within the site boundary.

4.8 When appraising suitable storm water discharge options for a development site, Part H of the Building Regulations 2002 (and associated guidance) provides the following search sequence for identification of the most appropriate drainage methodology.

"Rainwater from a system provided pursuant to sub-paragraphs (1) or (2) shall discharge to one of the following, listed in order of priority -

(a) an adequate soakaway or some other adequate infiltration system; or where that is not reasonably practicable,

(b) a watercourse; or where that is not reasonably practicable,

(c) a sewer. "

4.9 Dealing with the search order in sequence:

(a) Source control systems treat water close to the point of collection, in features such as soakaways, porous pavements, infiltration trenches and basins. The use of same can have the benefit of discharging surface water back to ground rather than just temporarily attenuating peak flows before discharging it to a receiving watercourse or sewer.

As source control measures commonly rely upon the infiltration of surface water to ground, it preferable that the ground conditions are appropriate for such. Site specific ground investigations have yet to be completed however previous experience of the underlying geology suggests the site may not be suitable for a wholly infiltration based drainage strategy.

Through scoping of this FRA, a commitment has been made to providing source control measures has been made, which will limit the reliance on larger secondary and tertiary treatment systems to achieve the appropriate design criteria. Measures such as permeable paving, filter strips and conveyance strips will be utilised in unlined form, where possible, to provide the opportunity of achieving some storm water infiltration at the site.

Detention and conveyance systems placed close to source may can become important source control features, aiding conveyance between the source control features and the localised detention system.

(b) Next in the search sequence, defined by Part H, is discharge to a watercourse or suitable receiving water body. Where coupled with appropriate upstream attenuation measures, this means of discharge can provide a sustainable drainage scheme that ensures that peak discharges and flood risk in the receiving water body are not increased.

The South Marston Brook passing through the site provides an appropriate receptor for storm water from the development. In accordance with national policy, proposals to discharge storm water from the proposed

development to the watercourse should at least maintained the status quo in terms of peak discharges, but preferably provide some betterment by way of a reduction in peak flows discharged to the receptor.

(c) Last in the search sequence is discharge to a sewer. In the context of SuDS this is the least preferable scheme as it relies on 'engineered' methods to convey large volumes of water from development areas, has a higher likelihood of flooding due to blockage and provides less intrinsic treatment to the water.

Thames Water records show that no public surface water sewers are available within the site that could be employed by the development. Existing storm sewers are present to the north and west of the proposed development. As a SuDS strategy is proposed whereby discharge will be directed to the ordinary watercourses on-site, at this stage a connection to the Thames Water is not envisaged to be required.

4.10 The search sequence outlined above demonstrates that a site drainage system providing a storm water management train, involving source control and discharge to a watercourse is the most appropriate means to control storm water from the development.

4.11 Scoping discussions have also agreed that water management system should not rely on a small number of large detention basins lying at the low point of the catchment. In the alternative, the requirements of the regulatory authorities has been for a treatment system to be developed that provides source control, secondary and tertiary treatment systems, thereby avoiding reliance on a number of large features and limiting the reliance on very large piped drainage systems.

4.12 Accordingly, proposals have been developed to inform the strategic drainage network across the development. It is proposed that the drainage system for the site utilises a multi-tier SuDS treatment train system.

4.13 Coupled with the storm water flow control benefits, the use of a multi-tier SuDS treatment train based approach to drainage can also provide betterment on water quality. National guidance in the form of CIRIA 609 outlines that by implementing a *"SuDS Treatment Train",* stormwater from the site can be polished to an improved standard thus ensuring the development proposals have no adverse effects on the wider hydrology.

4.14 The following paragraphs outline the potential SuDS features appropriate for use on site and their place within a multi-tiered system.

Primary Drainage Systems (source control)

4.15 At the head of the drainage network, across the site, source control measures will be implemented to reduce the amount of run-off being conveyed directly to piped drainage systems. As site specific infiltration testing has shown the ground to be practical impervious, source control will be limited to detention type systems, albeit that systems will be unlined and therefore provide for an element of infiltration. The Primary Drainage System will reduce the initial peak discharge at a local level before discharge into the site Secondary Drainage System.

4.16 Through work on other similar strategically sized projects, BCL has shown that peak discharges of circa 15% in residential areas can readily be achieved without unacceptable reductions in net developable land or prohibitive financial implications. It is therefore proposed to set these values as a benchmark for each parcel of the development.

4.17 The primary aims of the Primary Drainage System will therefore be:

- Reduction in peak discharges by 15% in residential areas.
- Provide one stage of water quality treatment where appropriate

4.18 Through consultations at pre-application stage, it has been agreed that nature of source control measures to be implemented will need to remain flexible, providing each house builder with a 'toolkit' of options to reach an agreed target for peak discharge reduction and water treatment. The following paragraphs describe a number of options available.

Permeable Paving

4.19 Permeable Paving is approved by many Local Authorities for implementation on shared surfaces and in some cases, development road networks and can and can act as a receptor for surface water run-off from nearby house roofs. However, the system is perhaps best suited to manage parking areas and shared surfaces where block paving is typically used as the surface treatment and ongoing maintenance can be ensured by way of a management company or the like.

4.20 There is little need for underground pipes or gullies, and the attenuation afforded within the sub-base layer helps to reduce the volume of storage required elsewhere.

Figure 4a: Permeable paving

Filter Strips

4.21 Filter strips have been used in the drainage of highways alike for many years. The absence of traditional pipe work in such a system frees the drainage design to employ shallow gradients on both channels and drains, which in turn also act as a means of passive treatment to improve water quality.

4.22 Highways within the development could potentially be amended to incorporate filter drains. Alternatively, filter strips can be used to collect flows from areas such a group of house. Figure 4b below shows an example of a filter strip in a road corridor.

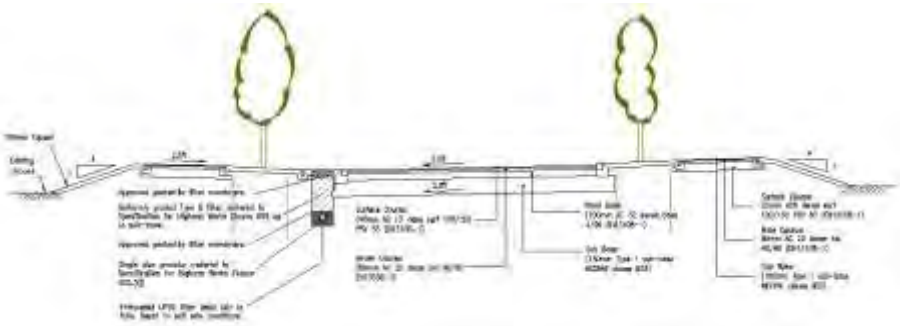

Figure 4b: Filter Strip along highway

Ditches

4.23 Ditches may be used along highways and in common areas to infiltrate, attenuate and convey flows from hard surfaces across the development before being discharged in to the secondary system. Linear features, such as ditches and filter strips provide an efficient means of improving water quality.

Swales

4.24 While swales implemented at development parcel level can be very land hungry, costly to maintain and provide difficulties with frontage access, the opportunity potentially exists to implement swale on a number of strategic highway routes, with no direct frontage, through the development. Green space being incorporated along the highways could be designed to allow 'over the edge' flows to be directed into the swale for infiltration, attenuation and conveyance before discharge to the secondary system. A typical highway swale is show in Figure 4d below:

Figure 4d: Swale along road corridor

Secondary Drainage System

4.25 The secondary drainage system will collect partially treated, excess, water from the primary, source control system at a local level, thereafter providing both flow and water quality attenuation and flow conveyance through the site towards the main outfall.

4.26 As a strategic element of the site storm water management system, servicing the site for development, the basic form of the secondary system has been designed and incorporated into the masterplan. The secondary system is made up of a series of rural nature channels traversing the boundary of the build development along the linear parkland.

4.27 The channels form an integral element of the masterplan, providing both function and form within the layout. The channels will be formed at very low gradients within the green areas in the heartland of the development, providing a series of controls and cascades for water to collect and flows covey down the system.

4.28 The primary aims of the channels are:

- Provide as much flow attenuation and water quality treatment as possible within the reasonable constraints of the layout

- Reduce piped flow lengths from the primary system
- Convey flows to the tertiary treatment system
- Provide a flow corridor for potential exceedance flows through the site.
- Provide landscaping and amenity benefits incorporated into the area such that finished arrangement will be pleasing and provide valuable communal areas across the development.

4.29 Figures 4d below provide an illustrative representation an attenuation channel:

Figure 4d: Development Edge Channel

Tertiary Drainage Systems

4.30 The tertiary drainage system will provide the final stage of treatment to storm water before flows are conveyed to the point of discharge from the site drainage network. A series of detention features will be provided with the primary functional aim of completing the final element of flow and water quality conditioning.

4.31 The proposed basins are to be located within or on the fringes of the proposed country park, and provide on-line storage, receiving surcharged flows from the secondary drainage system in high rainfall events. Being the last stage of treatment, only the more extreme events will result in the basins extending to temporarily store run-off from the development.

4.32 It is anticipated that basins will primarily be normally dry with permanently wet low flow channels to convey run-off in periods of low rainfall, which will in turn provide the passive treatment benefits offered within the remainder of the surface water management network.

4.33 The primary aims of the tertiary basins will therefore be:

- Final flow and water quality conditioning to meet the agreed design criteria
- Provide landscaping, amenity and ecological benefits within the parkland area of the site.

Figure 4e: Storage Basin

Preliminary Drainage Design

4.34 Preliminary engineering design the site drainage system, outlined above, has been completed to inform principles of the system for masterplanning and to demonstrate the viability of the storm water management train to achieve the design criteria.

4.35 Preliminary assessment of the requirements for storm drainage has been based on the following criteria:

Application Site Area:	175.0 ha
Developed Area:	70.06 ha
Landscaped Area:	104.94 ha
Impermeability – Residential[(2)]:	0.55
Impermeability - Primary school[(3)]:	0.45
Sewer design return period[(3)]	1 in 1 years
Sewer flood protection[(2)]	1 in 30 years
Fluvial / Development flood protection[(1)]	1 in 100 years
M5-60[(4)]	20.0 mm
Ratio r[(2)]	0.40
Minimum cover to sewers[(1)]	1.2 m
Minimum velocity[(1)]	1.0 m/sec
Pipe ks value[(1)]	0.6 mm
Allowance for climate change[(5)]	30%

Baseline Run-off

4.36 National policy[1] dictates that new developments control the peak discharge of storm water from a site to the baseline, undeveloped, site conditions. Over very large development areas, the baseline rate of run-off is normally estimated using the FEH methodologies. However, Paragraph 3.1.2 of the FEH guidance states:

[2] Impermeability ratios are taken from historic measured figures on similar Brookbanks development types
[3] Sewers for Adoption 6th Edition
[4] Wallingford Report
[5] NPPF Guidance

"The frequency estimation procedures can be used on any catchment, gauged or ungauged, that drains an area of at least 0.5km². The flood estimation procedures can be applied on smaller catchments only where the catchment is gauged and offers simple flood peak or flood event data"

4.37 On undeveloped and ungauged catchments of less than 0.5km² in area, it is correct to complete baseline site discharge assessments using the nationally accepted IoH124 methodology for small rural catchments. Local policy is to employ IoH124 in a manner set out by the Environment Agency document R&D Technical Report W5-074/A/TR/1 Revision D: Preliminary Rainfall Runoff Management or Developments and CIRIA C697. This methodology requires that, for catchments of less than 50ha, the IoH assessment is completed for a 50ha area with the results linearly interpolated to determine the flow rate value based on the ratio of the development to 50ha.

4.38 Pre-application consultations with the with EA and Swindon Borough Council have identified an aspiration to provide a post development run-off from the site that is somewhat below the baseline, present day, rate; the intention being that positive environmental effects result by way of reduced flood risk across the catchment. Accordingly, it has been agreed, through formal scoping, that the storm water run-off from the proposed development will be reduced on the calculated IoH124 run-off from the site.

4.39 The baseline IoH run-off rates are shown on Figure 4f below.

Event	IoH 124 (50ha)	IoH 124 Scaled to 1ha
1 in 1 year (l/s)	186.7	3.73
1 in 100 year (l/s)	700.7	14.01

Figure 4f: IoH124 Baseline Run-off Rates

Hydraulic Design

4.40 Preliminary hydraulic design of the storm water management train has been completed using the WinDES Source Control model for the network described in the preceding paragraphs of this chapter. The drainage system is shown in outline on drawings 1335/DR/02 - 04 contained in Appendix 1.

4.41 The following paragraphs provide details of how each of the three stages combine to reduce the discharge from the proposed development to rates equivalent to the agreed unit discharge rates.

4.42 In essence, each stage of the treatment process provides has an inflow and outflow. Each of the stages are linked in series, with each progressive stage flattening the peak flow resulting from the rainfall progressively to the agreed discharge criteria. The most up to date WinDES system allows cascading detention analysis to be competed to accurately model this behaviour. Figure 4g below illustrates schematically this approach:

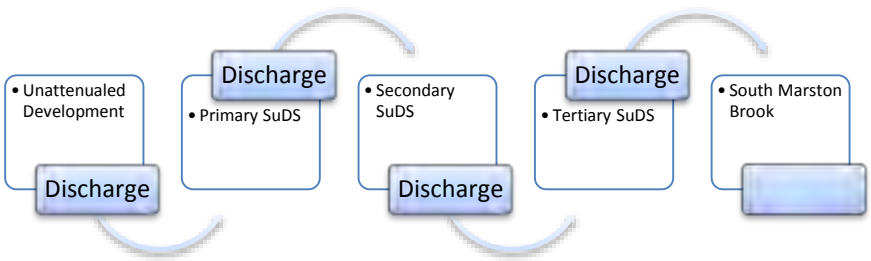

Figure 4g: SuDS Approach

4.43 Best practice methods have been employed by performing detention routing calculations for both the 1 in 1 and 1 in 100 year inlet and outlet return periods using the WinDES Source Control module. Employing the lower and upper end return

periods with common characteristics provides for detention that will ensure peak outflows are within the agreed discharges for the full range of storm events. The summary calculations are contained in Appendix 1.

Primary Drainage System

4.44 The characteristics of each new primary sub-catchments have been determined to understand the contributing areas and benefits to be provided by way of the proposed source control measures. Drawing 1335/DR/02 in Appendix 1 shows the layout of these primary sub-catchments.

4.45 Without the benefit of a detailed plot level masterplan, it is not possible to design in detail and appraise the function of the individual source control systems down to plot level. However, previous experience shows that by implementing source control measures such as permeable paving and the like, reduced run-off equivalent to reduced impermeable areas of circa 15% is readily achievable. For the purposes of the primary Drainage System appraisals and inputs to the secondary system, flows from the WinDES Source Control model assessment, at the sub-catchment level, have therefore been modelled as equivalent to a reduced contributing catchment of 15%.

4.46 The calculations demonstrate that by providing the primary SuDS features and thus reducing the impermeable area across a catchment it is possible to reduce discharge rates to the secondary SuDS features. Figure 4h, below summarises the overall reductions for each catchment.

Catchment	Use	Area	Hard Area	EX 1 Year	EX 100 Year	Hew hard Area	Prop 1 Year	Prop 100 Year
i	Resi	4.20	2.31	8.62	32.36	1.96	7.32	27.51
ii	Edu	1.64	0.90	3.36	12.64	0.77	2.86	10.74
iii	Resi	2.63	1.45	5.40	20.27	1.23	4.59	17.23
iv	Resi	0.90	0.50	1.85	6.93	0.42	1.57	5.89
v	Resi	1.50	0.83	3.08	11.56	0.70	2.62	9.82
vi	Resi	1.58	0.87	3.24	12.17	0.74	2.76	10.35
vii	Resi	5.74	3.16	11.78	44.23	2.68	10.01	37.60
viii	Resi	4.50	2.48	9.23	34.67	2.10	7.85	29.47
ix	Resi	2.81	1.55	5.76	21.65	1.31	4.90	18.40
x	Resi	3.04	1.67	6.24	23.42	1.42	5.30	19.91
xi	Resi	2.30	1.27	4.72	17.72	1.08	4.01	15.06
xii	Edu	2.22	1.00	3.73	14.00	0.85	3.17	11.90
xiii	Resi	1.50	0.83	3.08	11.56	0.70	2.62	9.82
xiv	Resi	2.00	1.10	4.10	15.41	0.94	3.49	13.10
xv	Resi	4.86	2.67	9.97	37.45	2.27	8.47	31.83
xvi	Resi	5.62	3.09	11.53	43.30	2.63	9.80	36.81
xvii	Resi	8.10	4.46	16.62	62.41	3.79	14.12	53.05
xviii	Resi	2.11	1.16	4.33	16.26	0.99	3.68	13.82
xix	Resi	6.00	3.30	12.31	46.23	2.81	10.46	39.30
xx	Resi	0.53	0.29	1.09	4.10	0.25	0.93	3.48
xxi	Resi	7.65	4.21	15.69	58.95	3.58	13.34	50.11
Unattenuated Development Discharge			**39.1**	**145.71**	**547.71**			
Reduction						**15%**	**15%**	
New Site Discharge (After Primary Reduction)						**123.68**	**465.21**	

Figure 4h: Summary run-off & detention assessment output

4.47 The figures above show an estimated 547.71l/s would be generated from the development in a 1 in 100 year event if no flow attenuation were provided. The 15% reduction due to source control reduces this flow to 465.21l/s.

4.48 The primary system discharge has thereafter been routed through a combined secondary and tertiary SuDS system cascading analysis; this is described in more detail below.

4.49 While a detailed masterplan for the proposed development is not available, Figure 4i below shows a typical arrangement of Primary SuDS measures within a residential parcel.

Figure 4i: Primary Source Control Typical Layout

Secondary Features

4.50 The secondary channels will be designed to provide both storage and conveyance functions. The contributing areas for those of the secondary catchments providing a significant storage purpose have been appraised for input into the WinDES cascading analysis together with the secondary system features. Drawing 1335-DR-03 in Appendix 1 shows the layout of these features and associated catchments.

4.51 The secondary SuDS systems include a number of linear storage and conveyance channels, which are designed to attenuate flows to their maximum available capacity while providing conveyance through the site towards the outfall. Within each of the secondary catchments, the following channel characteristics are proposed:

Sub-Catchment	Channel Length (m)	Channel Volume (m^3)
1	860	3,159
2	200	920

Figure 4j: Secondary Suds Information

Tertiary Features

4.52 As with the Primary and Secondary systems, the Tertiary catchment criteria and treatment systems have been appraised to allow cascading appraisal to be completed. Drawings 1335-DR-04 in Appendix 1 show the illustrative layout of these features and associated catchments.

4.53 Due to the efficiency and capacity within Secondary Catchments 3 and 5, it is considered unnecessary for these to thereafter be passed through a tertiary storage area.

4.54 The calculations predict that the Tertiary Storm Water System will reduce peak discharges from the contributing catchments during the 1 in 100 year plus CC event to 186.5l/s. Detention storage extending to circa 17,144m^3 will be required during the critical 1 in 100 year plus CC event storm.

4.55 Figure 4k, below summarises the overall detention requirements. The summary calculations are contained within Appendix 1.

Sub-Catchment	Impermeable Area (Ha)	1 in 100 run-off (l/s)	Detention volume for 100 Year event (m^3)
A	8.59	25.6	2,061
B	7.05	40.4	4,476
C	4.49	32.1	2,687
D	5.99	29.4	3,945
E	6.03	29.5	3,975
Tertiary SuDS Discharge		**156.0**	
Total Volume			**17,144**

Figure 4k: Summary run-off & detention assessment output

Alternative scenario

4.56 An alternative option is presented which makes provision for education provision at South Marston to be delivered wholly within the application Site. The site for the primary school would be provided using an existing residential area and compensated by increasing the size of two existing residential parcels.

4.57 The drainage calculations provided above take into account both the anticipated and alternate scenario. The alternative South Marston scenario is presented in the Development Framework Plan contained within Appendix 2 of this FRA.

Climate Change Effects on Hydraulic Design

4.58 In accordance with legislative requirements, the detention proposals have also been assessed for the potential effects of climate change. The 1 in 100 year (1% AEP) return events have been modelled for 30% climate change (including peak rainfall intensity). Calculations for the climate change scenarios are contained within Appendix 1.

4.59 Climate change assessments show each detention feature to perform adequately by retaining the additional flows within the system without overflow or unacceptable consequences.

Hydraulic Design Summary

4.60 Preliminary hydraulic design of the storm water management system has been completed for the discharge of flows from the proposed development area to the nearby watercourse network. The calculations show that the SuDS system is able to achieve a peak discharge of 4.83l/s/ha during the 1 in 100 year event. This peak discharge of 4.83l/s/ha represents a reduction in baseline run-off from the site, as shown by IoH124 appraisals, by circa 65.5%.

Scenario	1 in 100 year Run-off (l/s/ha)
Final Site Discharge	4.83
Baseline Discharge	14.01
Overall Reduction	**65.5%**

Figure 4l: Run-off Summary

4.61 The proposed strategic drainage scheme is shown illustratively on drawings 1335-DR-02 - 04 contained in Appendix 1.

4.62 Being an outline planning application, without the benefit of a detailed layout, it is not possible to provide a final drainage layout. However, the development framework plan coupled with the criteria set out in this report will form the framework of the final design at reserved matters stage.

Water Quality

4.63 Impermeable surfaces collect pollutants from a wide variety of sources including cleaning activities, wear from car tyres, vehicle oil and exhaust leaks and general atmospheric deposition (source: CIRIA C609). The implementation of SuDS in development drainage provides a significant benefit in removal of pollutant from development run-off.

4.64 In most cases, contaminants become attached to sediment particles either before entering the water body or upon entry. CIRIA 609 reports that up to 90% of certain contaminants, usually trace elements, are transported in this way leaving a dissolved concentration of circa 10%.

4.65 Many SuDS systems rely on the infiltration of water through the ground layer into permeable sub soils or through sedimentation in low flow storage basins. This settling and filtering of contaminated run off through a fine grained matrix separates the suspended contaminated sediment from the body of water subsequently causing the water to leave the SuDS device in a more polished form than how it entered; porous paving is a prime example of this.

4.66 By implementation of a 'SuDS Treatment Train' it is possible to optimize overall pollutant removal as water will undergo this process of filtering a number of times before being discharged to an appropriate receptor. The overall percentage of removal can be calculated individually for each differing SuDS technique, this is shown by the formula below:

Overall pollutant removal = (TPLxC1) + (RPLxC2) + (RPLxC3) +.....for each other control in series

Where: TPL – Total Pollutant Load
RPL – Remaining Pollutant Load (after previous treatment(s))
C(x) – Suds Control removal efficiency

Figure 4m: Pollutant removal formula as set out in CIRIA C609

4.67 At present, the site and surrounding area that benefits from positive drainage systems do not benefit from any specific measures for storm water quality treatment.

4.68 The SuDS management train being promoted for the development at Swindon EV will be tailored to encourage passive treatment. The three stages of treatment outlined elsewhere in this report will result in very high levels of pollutant load removal as can be demonstrated through the procedures set out in CIRIA C609.

Exceedance Flows

4.69 Careful regard has to be made in respect of potential exceedance flows, being events that are more extreme than current design criteria, various national guidance has been published on the matter of exceedance flows and measures that should be incorporated into a development to ensure the safety of occupiers and those using the infrastructure.

4.70 The principle aim is to direct any exceedance flows away from properties and along defined corridors. At a local level, this may mean water being conveyed along a length of highway, as long as the predicted flow depths and velocities are acceptable. More strategically, the implementation of conveyance corridors are important in avoiding deep and high velocity flows that present a high risk. The secondary drainage system being promoted for Swindon EV provides a good opportunity to incorporate exceedance flow routes into the design.

4.71 Careful and considered design in other areas, an also reduce the risk. For example the strategic SuDS system being promoted for the development site, provides a layered and disbursed system of treatment across the site, thereby

avoiding a traditional and more risky design that might, for example, have all storm water being collected in a strategic spine sewer that conveys flows to a large basin at the bottom of the catchment. This latter system concentrates peak discharges into a single corridor, that if blocked can have unacceptable consequences.

4.72 Other more local measures also should be incorporated. Overflow weirs or the like will be provided on drainage systems, at a level above the 1 in 100 year + 30% flood level, safely to allow more extreme event flows be conveyed away from properties, while at the same time not increasing flood risk to surrounding areas.

4.73 Clearly, many of the measures for dealing with exceedance flows must be dealt with at detailed design stage. However, the strategic layout for Swindon EV provides the framework of a network that can effectively deal with any future exceedance problems.

4.74 The detailed design stage will comply with national standards for protection against exceedance flows.

Implementation & Management Proposals

4.75 The storm water management features will be constructed and operational for each phase in full prior to the first occupation of each phase of new houses across the site.

4.76 It has previously been the case that the functionality of the storm water management system would be ensured by ongoing maintenance, completed by the Local Authority, Drainage Authority, or a private maintenance company as appropriate.

4.77 It was usual for the following maintenance regime to be implemented:

Frequency	Operation
Post major storm events	Inspection and removal of debris.
Every two months	Grass mowing (growing season) & litter removal.
Annual	Weeding & vegetation maintenance. Minor swale clearance. Sweeping of permeable pavements.
2 years	Tree pruning.
5-10 years	Desilting of channels. Remove silt around inlet and outlet structures.
15-20 years	Major vegetation maintenance and watercourse channel works.

Figure 4n: Framework maintenance of detention / retention system

4.78 The Floods and Water Management Act gained royal ascent in April 2010. This confers the responsibility to adopt and maintain the SuDS systems to the Local Authority by requiring SuDS Approving Bodies ('s) to be set up within each council.

4.79 The SAB will have a duty to adopt the drainage systems and in accordance with Schedule 3; Para 22 of the Floods and Water Management Act:

22 (1) Where an approving body adopts a drainage system it becomes responsible for maintaining the system.
(2) In maintaining the system the adopting body must comply with national standards for sustainable drainage.

4.80 The SAB will therefore be responsible for developing their framework management plan for maintenance and operation procedures; adjusting the nature of the processes and timing as necessary to ensure the successful operation of the drainage systems.

4.81 At the time of writing, paragraph 22 of the Floods and Water Management Act has yet to be enacted and therefore, the provision for the maintenance of the SuDS features will be agreed with either a public or private management body.

During the detailed design stage, a maintenance and management plan will be produced and agreed with the relevant parties to ensure the SuDS features are appropriately maintained.

4.82 The conceptual drainage masterplan proposals outlined in this report will be used for final drainage design and detailing. The storm water management system will be constructed and operational in full prior to the development of each sub catchment discharging into the SuDS feature.

Summary

4.83 A strategy for storm drainage at the site has been developed to meet both national and local policy. The above options outline the viability of the site to employ means of drainage to comply with NPPF, together with the Swindon Borough Council SFRA and other national and local guidance.

4.84 The development drainage system will manage storm water by way of a SuDS management train and ensure peak discharges from the developed land are less than the appraised baseline rates. The system will also provide improvements to the quality of water discharged from the development.

Objectives

4.85 The key objectives for the site drainage will be:

- Implementation of a sustainable drainage scheme in accordance with current national and local policy together with principals of good practice design.
- Development of storm water management proposals that control peak discharges from the site to a rate 56% less than the baseline conditions whilst improving water quality and biodiversity of the site.
- Implementation of the storm water management system prior to first occupation of dwellings coupled with an appropriate maintenance regime.

5 Foul Drainage

Background

5.1 A copy of the Thames Water sewerage network records has been obtained which does not identify any the presence of adopted foul sewers within the site boundary. Adopted foul sewers service the existing residential and commercial development areas to the west of the proposed development.

5.2 From the Honda factory, foul flows are pumped in a southerly direction towards the A420 Gablecross Junction in a 100mmØ rising main to reach a pumping station on Thornhill Road, south of the rail line.

5.3 Flows are then pumped westerly in another 100mmØ rising main, through the Gablecross junction and along the A420 before making connection with a 150mmØ gravity sewer at Manhole 7507 in the entrance to the Madison Hotel. This 150mmØ gravity sewer directs flows southerly, crossing the A420 and connecting to a pumping station within the Sainsbury's Superstore service area.

5.4 Foul flows are pumped from this location in a 150mmØ rising main in a westerly direction along Oxford Road, entering the residential extent of Swindon before connecting to the 450mmØ gravity foul network at the junction of Oxford Road and Sandgate Mews.

5.5 Approximately 100m west of this point this sewer combines with a number of 150mmØ sewers at Manhole 6103 in the junction of Oxford Road and Winchester Close. At this location, flows are thereafter conveyed in a southerly direction,

passing between and number of residential properties and through a number of private gardens in a 400mmØ gravity sewer, reaching manhole 6901 at the cross roads between Brooksby way, Juniper Close and Haven Close.

5.6 From Manhole 6901, a 600mmØ foul sewer conveys flows westerly, passing through a number of private gardens and into Greenbridge Retail and Leisure Park where this 600mmØ sewer combines with a 450mmØ gravity sewer at Manhole 1904 located within the car park area of the Matalan Retail outlet and leaves the estate in a south westerly direction within a 900mmØ sewer.

5.7 Foul water is hereafter conveyed in a westerly direction towards the Rodbourne Sewage Treatment Works, to the west of Swindon, via a network of gravity foul sewers and pumped rising mains serving the residential and commercial areas within Swindon.

5.8 Rodbourne STW currently discharges to the River Ray at Rodbourne. The River Ray is a small watercourse as such, the effluent consent standards are fairly stringent, requiring the treatment process to operate at Best Available Technology (BAT).

5.9 Concerns have previously been raised by both Thames Water and the Environment Agency about the capacity for growth within Swindon. It has been identified there is some capacity in the existing flow consent for additional population, but once the consented flows are reached, any growth will require more stringent treatment than available under BAT, or may result in a deterioration of river quality in the River Ray, and potential failures of statutory water quality targets.

5.10 The currently consent for the Rodbourne STW is shown in Figure 5a below:

Consent	Dry weather flow (m3/d)	Maximum flow to full treatment (m3/d)	Suspended solids (mg/l)	BOD (mg/l)	Ammonia (mg/l)	Phosphorus (mg/l)
CNT.00017	N/A	135,858	17	11	1	1

Figure 5a: Rodbourne STW Consent

Water Cycle Study & Infrastructure Delivery Plan

5.11 As part of the assessments completed by Swindon Borough Council to support the strategic allocation sites and growth options, Halcrow, in conjunction with Thames Water completed a Water Cycle Study in March 2007. The objective of the strategy is to encourage an integrated and sustainable approach to the Water Cycle in Swindon and provide supporting evidence to inform the selection of preferred options for growth.

5.12 The study provided an overview of the foul drainage catchment for the wider Swindon area within the Thames Water catchment looking specifically at the capacity in both the network and treatment systems, along with water efficiency measures to reduce flows from developments and any upgrades required to accommodate for additional flows.

5.13 The WCS has shown that growth in Swindon beyond 2016 cannot be accommodated within the Rodmourne STW if the River Ray is to maintain its current planned water quality. Two options were thereafter mooted within the WCS being:

- **Option 1:** A new STW
- **Option 2:** Upgrading an existing STW

5.14 **Option 1:** Thames Water and the Environment Agency modelled the likely consent standards for a new STW at Seven bridges. The modelling predicted that a new works with a consent set at the most stringent limits applied with BAT can ensure that statutory water quality targets are met in the River Thames. However, there will be some minor deterioration in river quality, as can only be expected with a totally new discharge.

5.15 Coupled with this sewage from the east of Swindon will not naturally gravitate to the new site at Seven bridges and will need to pumped.

5.16 **Option 2:** There is an existing small STW at Wanborough, serving the village of Wanborough which currently discharges to the Liden Brook approximately 3km upstream of its confluence with the River Cole. It is possible that flows currently being treated at Wanborough STW could be transferred to an east of Swindon or Seven Bridges STW.

5.17 More recently, following the production of the Water Cycle Study, Swindon Borough Council produced an Infrastructure Delivery Plan in December 2012 in order to demonstrate that the policies and allocations contained within the Local Plan can be delivered.

5.18 As part of this assessment, Thames water were thereafter contacted to provide an updated position with regards to the provision of foul water treatment capacity for the wider Swindon Area. Correspondence provided by Thames Water on the 2nd March 2012, stated that the intention of Thames Water is to now provide the necessary waste water treatment infrastructure capacity to support forecast growth by upgrading the Rodbourne Sewage Treatment Works.

Design Criteria

5.19 Peak design discharges have been calculated based on the current development criteria as described in Section 2 of this report and for the following:

Residential domestic peak = 4,000 litres / dwelling / day (peak)[6]

5.20 Assessed in accordance with SFA 7th Edition requirements, the development will have a design peak discharge of approximately 111 l/s.

Network Impacts

5.21 Thames Water has been approached to complete a sewer impact study for the proposed development. This study will identify a number of likely points of connection for the proposed development site along with the required infrastructure upgrading.

5.22 The possible points of connection are shown illustratively on Figure 5c below:

Figure 5c: Illustrative foul network options

[6] Sewers for Adoption 7th Edition

Option 1: Foul drainage could be collected within an on-site foul network and directed to a pumping station off the A420 to the south west of the site, adjacent to the existing Sainsburys superstore.

From here foul flows would be pumped in the existing 150mm Ø rising main, in a westerly direction towards Rodbourne Sewage Treatment Works.

Option 2: Foul drainage could be collected within an on-site foul network and pumped in a westerly direction to reach an existing 300mm Ø gravity sewer in Oxford Road.

A new foul main would be required within from the site along the A420 to reach Manhole 3301 at NGR 418343, 186378.

Option 3: Similarly to Option 2, foul drainage could be collected within an on-site foul network and pumped in a westerly direction to reach the existing 600mm Ø gravity sewer within Juniper Close circa 1km west of the site within the existing residential area of Swindon.
Again, with this solution it would be necessary to implement a number of new foul mains within the existing highway corridors before connecting into manhole 6901 at NGR 417674, 185959.

As with all of the options requiring a connection onto the Thames Water network, this option is subject to final confirmation following the results of the modelling work with regards to the requirements to upgrade the existing foul network to provide capacity.

Implementation Proposals

5.23 The proposed gravity and pumped drainage network across the site will be designed to current Sewers for Adoption 7th Edition Standards, employing the identified points of connection within the Thames Water network. The system will be offered for the adoption of Thames Water Utilities Ltd under S104 of the Water Industry Act 1991.

Summary

5.24 A site drainage strategy has been developed that meets with current regulatory requirements by discharging drainage to a sewerage network with capacity to accommodate the flows.

5.25 Once development is complete, the network conveying flows from the site will be adopted by Thames Water and maintained as part of their statutory duties.

Objectives

5.26 The key development objectives required for the site drainage scheme are:

- Implementation of a drainage scheme to convey water to the local Thames Water network which is designed and maintained to an appropriate standard.

6 Summary

6.1 This FRA has identified no prohibitive engineering constraints in developing the proposed site for the proposed primarily residential usage. The document demonstrates the ability of the proposed development to comply with national, regional and local guidance in the form of NPPF, the Swindon Borough Council SFRA and CIRIA guidance et al along with the agreed scoping report prepared by BCL.

6.2 All built development, with the exception of essential infrastructure, lies in fluvial Flood Zone 1 and hence has a low probability of flood risk.

6.3 Assessment of, ground water and sewer flooding mechanisms does not suggest other than a low risk of flooding at the site. Furthermore, assessment of the overland flow mechanism finds the site to be at very low risk, furthermore and potential mechanism will be adequately mitigated post development.

6.4 A multi-tiered SuDS storm water management system will be employed that results in peak flow discharges from the developed areas of the site being reduced to circa 65.5% below Greenfield rates. Proposals are outlined that show the strategic management system and the FRA outlines additional source control features that will be implemented where appropriate.

6.5 Foul drainage proposals have been developed in consultation with Thames Water that provide for an off-site connection to the existing network. Some off-site upgrading will be necessary to the foul water network.

6.6 The site is able fully to comply with NPPF guidance.

7 Limitations

7.1 The conclusions and recommendations contained herein are limited to those given the general availability of background information and the planned usage of the site.

7.2 Third party information has been used in the preparation of this report, which Brookbanks Consulting Ltd, by necessity assumes is correct at the time of writing. While all reasonable checks have been made on data sources and the accuracy of data, Brookbanks Consulting Ltd accepts no liability for same.

7.3 The benefits of this report are provided solely to the Swindon EDA Consortium for the proposed Phase I Swindon EV development only.

7.4 Brookbanks Consulting Ltd excludes third party rights for the information contained in the report.

Appendix 1

Appendix 2