1335-DR-03

Notes:

1) Do not scale from this drawing.
2) The Data contained within this survey has been collected by a third party. Brookbanks Consulting Ltd accept no responsibility for the accuracy of this data.
3) The locations of the features shown on this plan are conceptual and subject to amendments during detailed design.

KEY

- Site Boundary
- River Cole
- South Marston Brook
- Secondary Catchment
- Channels to be Diverted
- Proposed Storage Channel
- Proposed Conveyance Channel
- Existing Channels

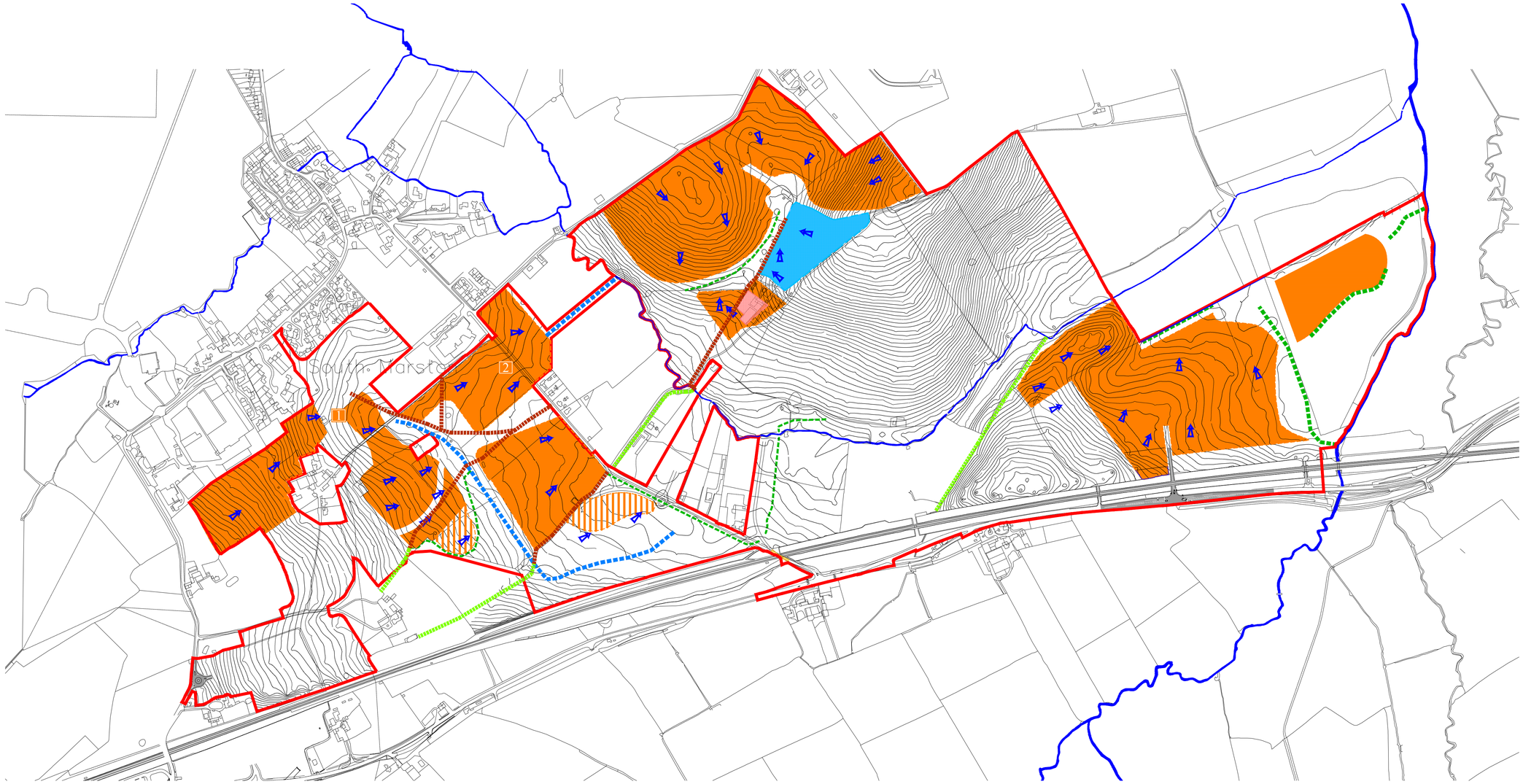

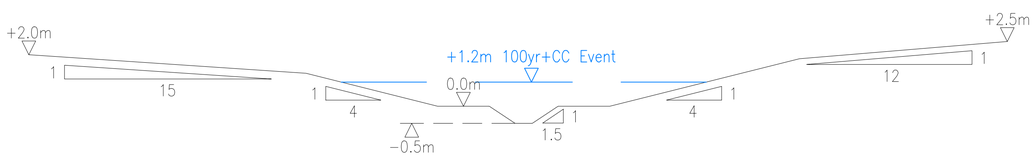

ILLUSTRATIVE LINEAR STORAGE SECTION – URBAN ENVIRONMENT

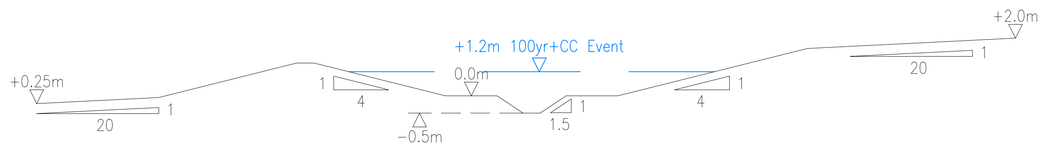

ILLUSTRATIVE LINEAR STORAGE SECTION – RURAL ENVIRONMENT

Rev.	Revision Details	Drawn	Checked	Approved	Date
D	Amended Plan	SO	DS	PAB	05.9.17
C	Amended red line boundary and swale added	JI	NO	PAB	19.1.17
B	Changed red line boundary	SO	DS	DS	10/15

PRELIMINARY		PAB	03.04.13
Issue Status		Approved	Date
Drawn CA	Checked DW	Date	APR 13

Brookbanks Consulting

6150 Knights Court Solihull Parkway Birmingham B37 7WY
Tel (0121) 329 4330 Fax (0121) 329 4331
www.brookbanks.com

Swindon eDA Consortium

Proposed Development
Swindon EV Phase 1

Conceptual Drainage Plan
Sheet 2 of 3

Scale at A1	Drawing No.	Rev.
1:5,000	1335-DR-03	D

0 100 200 300 400 500
METRES

Original Drawing Size A1

© Brookbanks Consulting Limited 2015