1335/HL/10

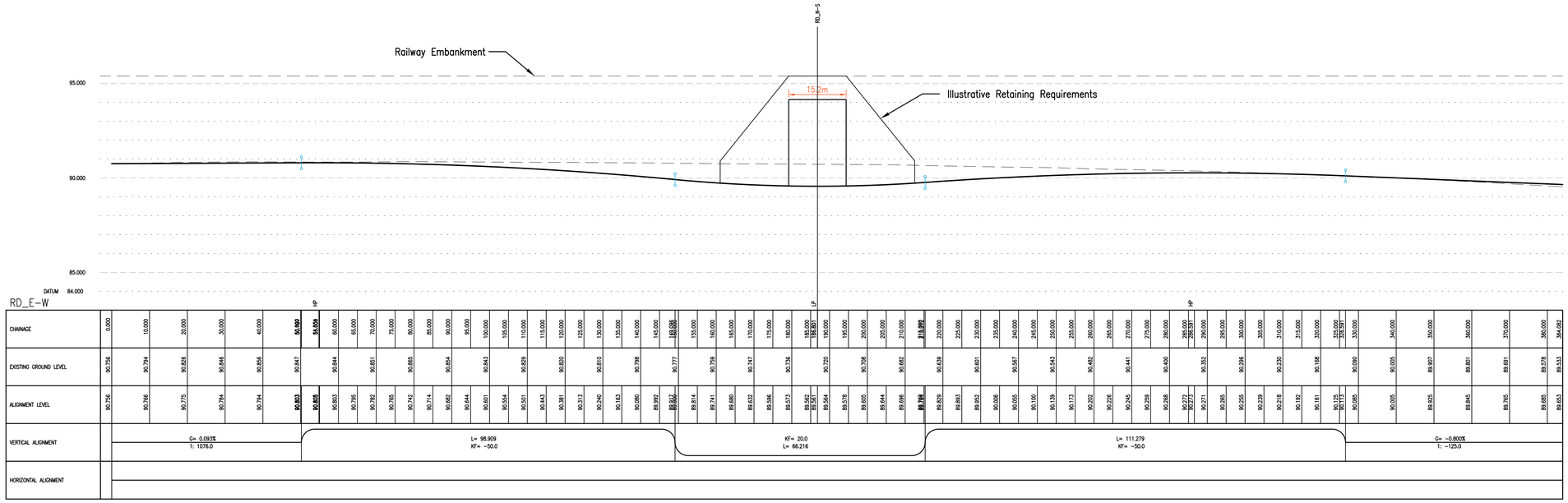

EAST TO WEST LINK – SECTION
(nts)

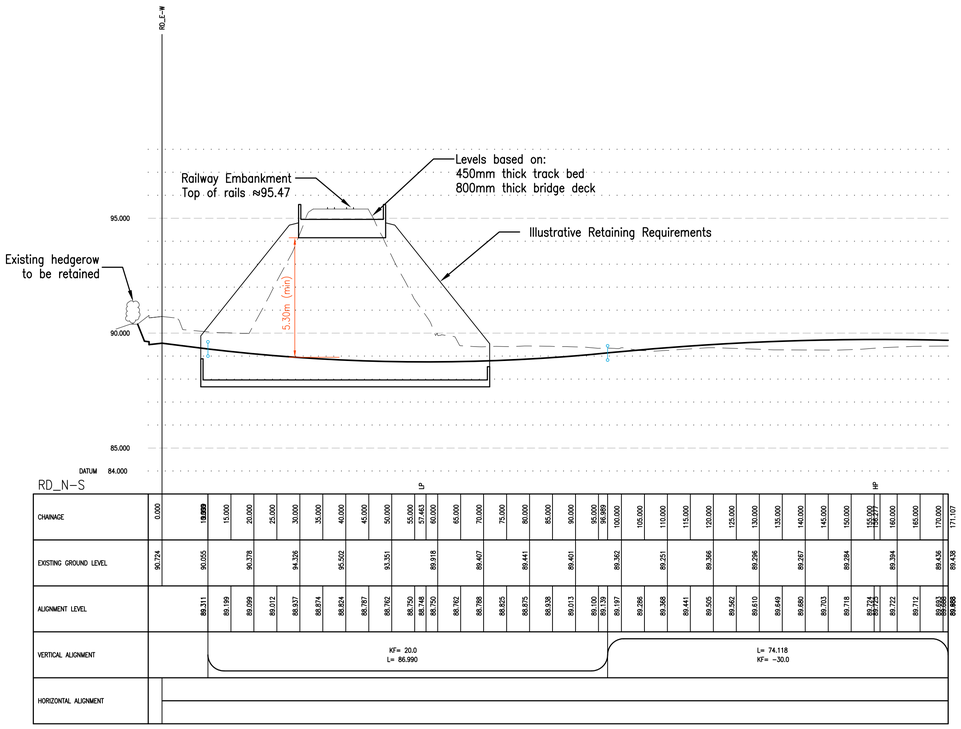

NORTH TO SOUTH LINK – SECTION
(nts)

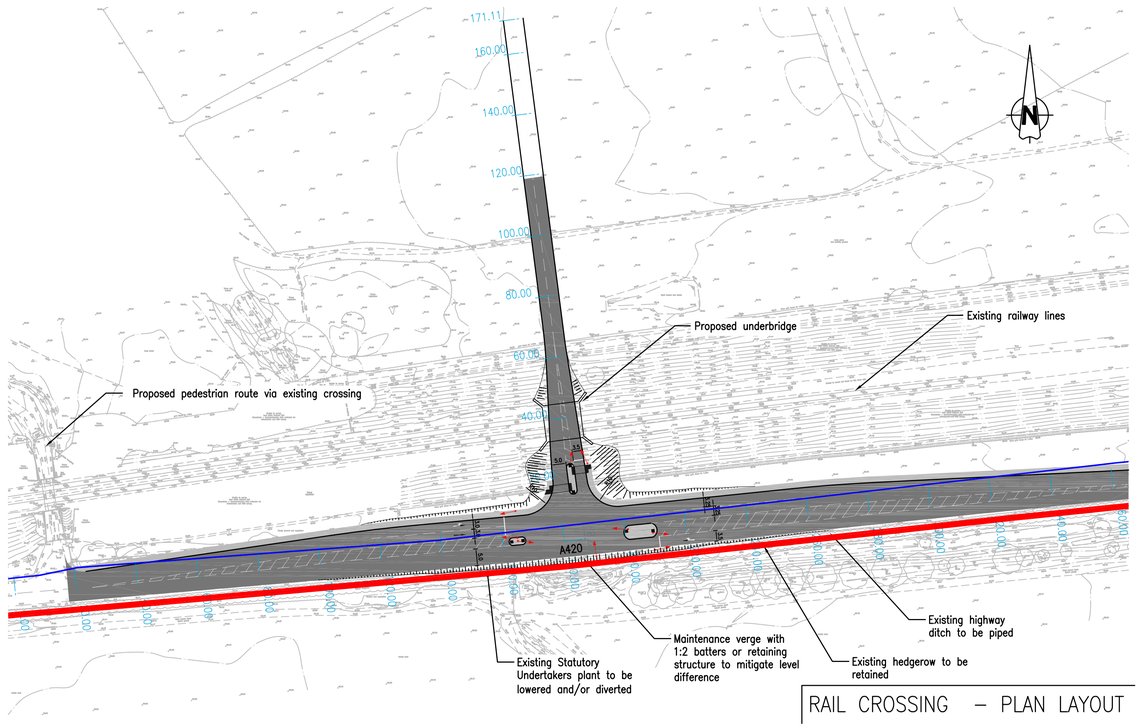

RAIL CROSSING – PLAN LAYOUT

Notes:

1) Do not scale from this drawing.
2) The topographical survey data contained within this survey has been collected by a third party. Brookbanks Consulting Ltd accept no responsibility for the accuracy of this data.

KEY:
Land Ownership Boundary

Rev.	Revision Details	Drawn	Checked	Approved	Date
B	Vertical profile of A420 amended following comments. Further annotation and constraints added.	RM	PAB	PAB	14.11.12
A	Latest survey details added. Crossing revised. Highway layout updated to accord with Phase 1 proposals.	RM	PAB	PAB	17.9.12

Issue Status		Approved	Date
		PAB	18.06.12
Drawn PAB	Checked RD	Date	JUN 12

Brookbanks Consulting
6150 Knights Court Solihull Parkway Birmingham B37 7WY
Tel (0121) 329 4330 Fax (0121) 329 4331
www.brookbanks.com

Swindon EDAG

Swindon EDA

Proposed Highway Layout
Railway Crossing

Scale at A1	Drawing No.	Rev.
1:1000	1335/HL/10	C

0 20 40 60 80 100
METRES

© Brookbanks Consulting Limited 2012

Original Drawing Size A1