1335/HL/10

Notes:

1) Do not scale from this drawing.
2) The topographical survey data contained within this survey has been collected by a third party. Brookbanks Consulting Ltd accept no responsibility for the accuracy of this data.

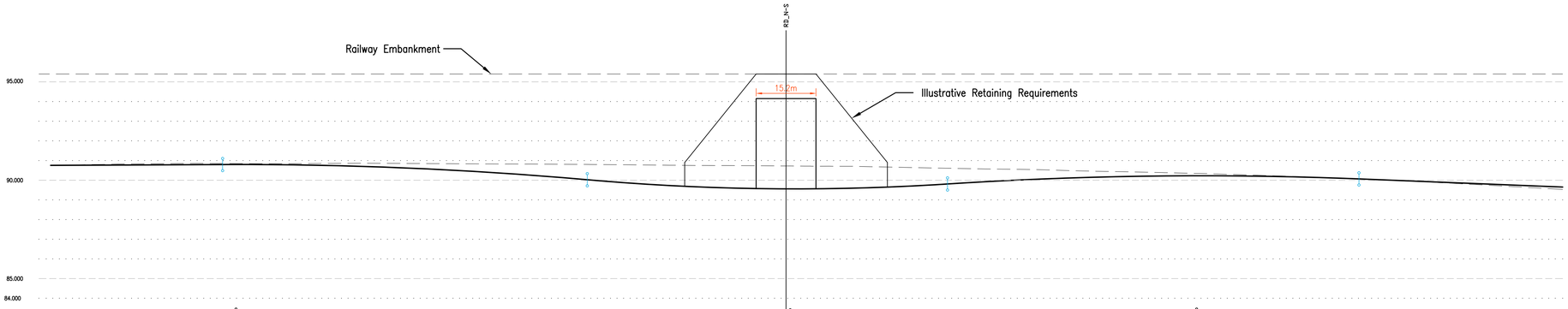

RD_E-W

CHAINAGE	EXISTING GROUND LEVEL	ALIGNMENT LEVEL
0.000	90.756	90.756
10.000	90.794	90.766
20.000	90.826	90.775
30.000	90.846	90.784
40.000	90.856	90.794
43.675		90.797
45.000		90.798
48.322		90.799
50.000	90.847	90.799
55.000		90.795
60.000	90.844	90.786
65.000		90.771
70.000	90.851	90.752
75.000		90.728
80.000	90.865	90.699
85.000		90.665
90.000	90.854	90.625
95.000		90.581
100.000	90.843	90.532
105.000		90.478
110.000	90.829	90.419
115.000		90.355
120.000	90.820	90.285
125.000		90.211
130.000	90.810	90.132
135.000		90.048
136.336		90.005
140.000	90.798	89.862
145.000		89.885
150.000	90.777	89.815
155.000		89.754
160.000	90.759	89.702
165.000		89.657
170.000	90.747	89.621
175.000		89.594
180.000	90.736	89.574
185.000		89.563
186.551		89.561
189.099		89.561
190.000	90.720	89.561
195.000		89.566
200.000	90.708	89.580
205.000		89.603
210.000	90.682	89.633
215.000		89.672
220.000	90.639	89.720
225.000		89.775
227.812		89.810
230.000	90.601	89.838
235.000		89.898
240.000	90.567	89.953
245.000		90.003
250.000	90.543	90.047
255.000		90.087
260.000	90.482	90.122
265.000		90.152
270.000	90.441	90.177
275.000		90.197
280.000	90.400	90.211
285.000		90.221
290.000	90.352	90.226
292.334		90.227
295.000		90.226
300.000	90.286	90.221
305.000		90.211
310.000	90.230	90.195
315.000		90.175
320.000	90.168	90.150
325.000		90.120
330.000	90.090	90.085
332.334		90.067
340.000	90.005	90.035
350.000	89.907	89.925
360.000	89.801	89.845
370.000	89.691	89.765
380.000	89.578	89.685
384.062	89.533	89.653

VERTICAL ALIGNMENT: G= 0.093% 1: 1076.0 | L= 92.633 KF= -50.0 | KF= 30.0 L= 91.505 | L= 104.522 KF= -50.0 | G= -0.800% 1: -125.0

HORIZONTAL ALIGNMENT

EAST TO WEST LINK – SECTION
(nts)

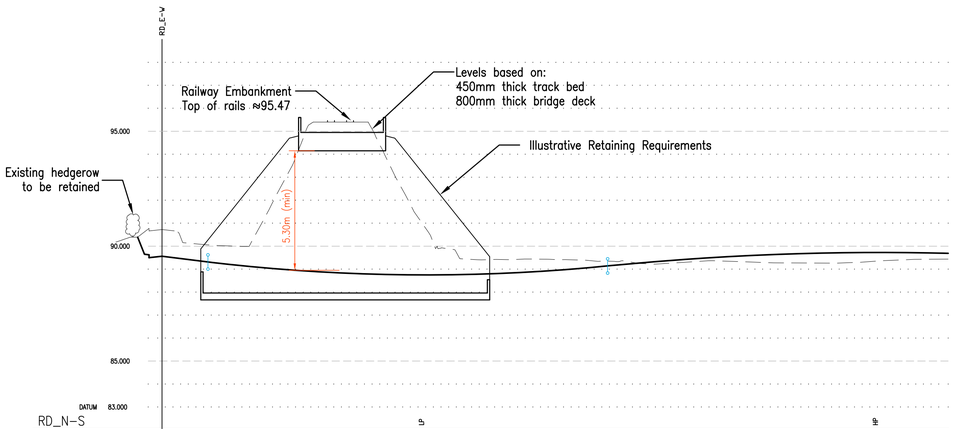

RD_N-S

CHAINAGE	ALIGNMENT LEVEL
0.000	89.312
10.000	89.199
15.000	89.199
20.000	89.099
25.000	89.012
30.000	88.937
35.000	88.875
40.000	88.825
45.000	88.787
50.000	88.762
55.000	88.750
57.477	88.749
60.000	88.750
65.000	88.763
70.000	88.788
75.000	88.825
80.000	88.875
85.000	88.938
90.000	89.013
95.000	89.100
96.364	89.139
100.000	89.197
105.000	89.286
110.000	89.388
115.000	89.441
120.000	89.505
125.000	89.582
130.000	89.610
135.000	89.649
140.000	89.690
145.000	89.733
150.000	89.718
155.000	89.724
157.177	89.725
160.000	89.722
165.000	89.712
170.000	89.693
171.107	89.688

VERTICAL ALIGNMENT: KF= 20.0 L= 86.995 | L= 74.113 KF= -30.0

HORIZONTAL ALIGNMENT

NORTH TO SOUTH LINK – SECTION
(nts)

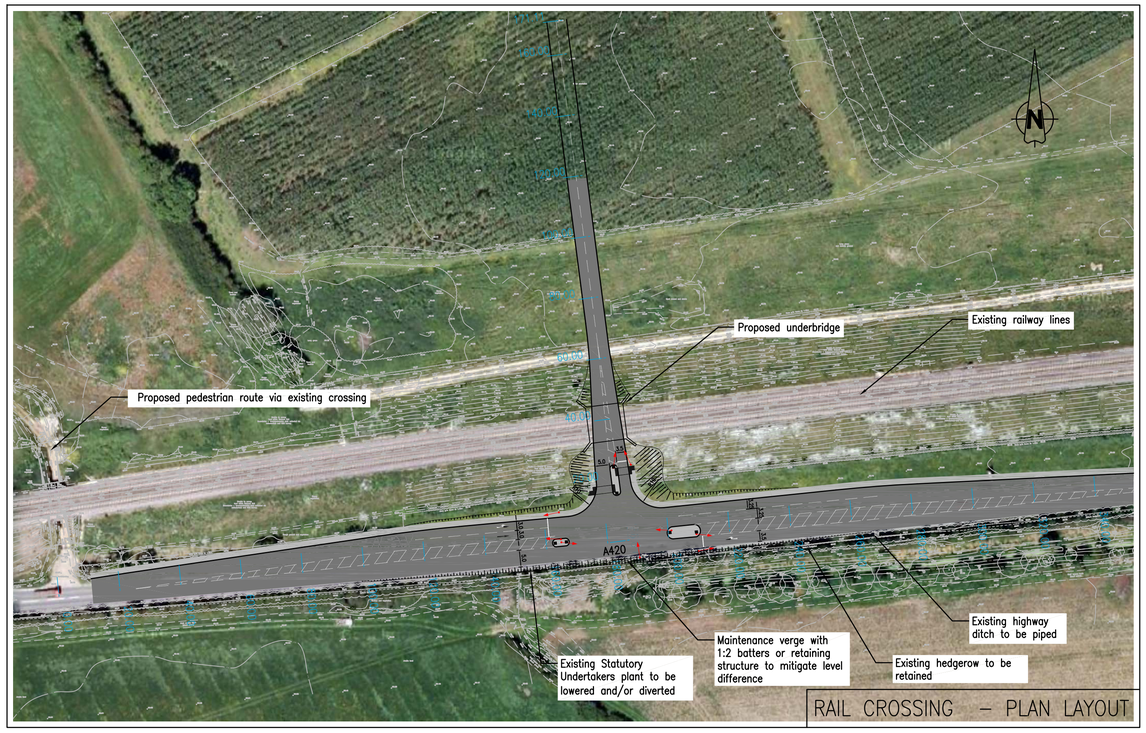

RAIL CROSSING – PLAN LAYOUT

Rev.	Revision Details	Drawn	Checked	Approved	Date
D	Amended position for Network Rail	MM	DS	PAB	04.11.16
C	Vertical profiles amended following SBC comments.	SD	RH	PAB	09.04.15
B	Vertical profile of A420 amended following comments. Further annotation and constraints added.	RM	PAB	PAB	14.11.12
A	Latest survey details added. Crossing revised. Highway layout updated to accord with Phase 1 proposals.	RM	PAB	PAB	17.9.12

Issue Status	Approved	Date
PRELIMINARY	PAB	18.06.12

Drawn PAB Checked RD Date JUN 12

Brookbanks Consulting
6150 Knights Court Solihull Parkway Birmingham B37 7WY
Tel (0121) 329 4330 Fax (0121) 329 4331
www.brookbanks.com

Swindon EDAG

Swindon EDA

Proposed Highway Layout
Railway Crossing

Scale at A1	Drawing No.	Rev.
1:1000	1335/HL/10	D

0 20 40 60 80 100
METRES

© Brookbanks Consulting Limited 2012

Original Drawing Size A1