Original Drawing Size A1

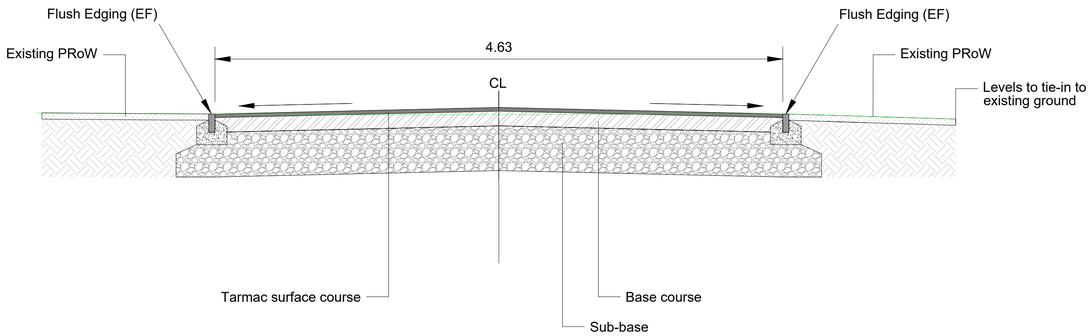

A-A TYPICAL SECTION
FWPS ACCESS - 4.63m CARRIAGEWAY

Section View
Scale 1:25

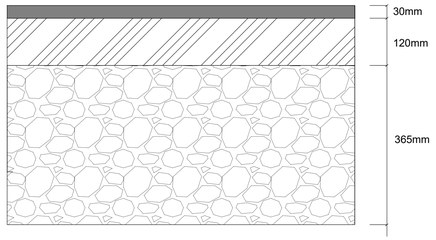

Construction Type	Thickness	Specification
Vehicle Crossover Construction	30mm	30mm dense tarmacadam (close graded) surf 100/150 PSV 55 AAV 16 machine rolled
	120mm	120mm AC20 dense bin 100/150 SHW Cl. 906 & BS EN 13108-1:2006
	365mm	Sub-base: Type 1 Unbound Mixtures to S.H.W. Clause 803, Type 2 Unbound Mixtures (if they contain at least 80% bitominous plannings) to S.H.W. Clause 804 or Type 3 (open graded) Unbound Mixtures to S.H.W. Clause 805

VEHICLE CROSSOVER CONSTRUCTION DETAIL

Section View
NTS

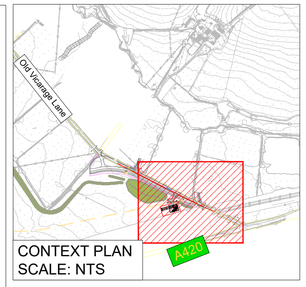

CONTEXT PLAN
SCALE: NTS

Construction Design and Management (CDM)
Key Residual Risks

Contractors entering the site should gain permission from the relevant land owners and/or principle contractor working on site at the time of entry. Contractors shall be responsible for carrying out their own risk assessments and for liaising with the relevant services companies and authorities. Listed below are Site Specific key risks associated with the project.

1) Overhead and underground services
2) Street Lighting Cables
3) Working adjacent to water courses and flood plain
4) Soft ground conditions
5) Working adjacent to live highways
6) Unchartered services

NOTES:

1. Only scale for planning purposes.
2. All dimensions are in metres unless otherwise stated.
3. Brookbanks consulting ltd has prepared this drawing for the sole use of the client. the drawing may not be relied upon by any other party without the express agreement of the client and Brookbanks consulting ltd. where any data supplied by the client or from other sources has been used, it has been assumed that the information is correct. no responsibility can be accepted by Brookbanks consulting ltd for inaccuracies in the data supplied by any other party. the drawing has been produced based on the assumption that all relevant information has been supplied by those bodies from whom it was requested.
4. No part of this drawing may be copied or duplicated without the express permission of Brookbanks consulting ltd.
5. All dimensions and all levels in metres unless noted otherwise.
6. Any discrepancies noted on site are to be reported to the engineer immediately.

KEY:

- Areas of Existing Highway
- Proposed Main Access Boundary
- Proposed Old Vicarage Lane S278 Boundary
- Public Right of Way
- 2m Wide Tarmac Strip

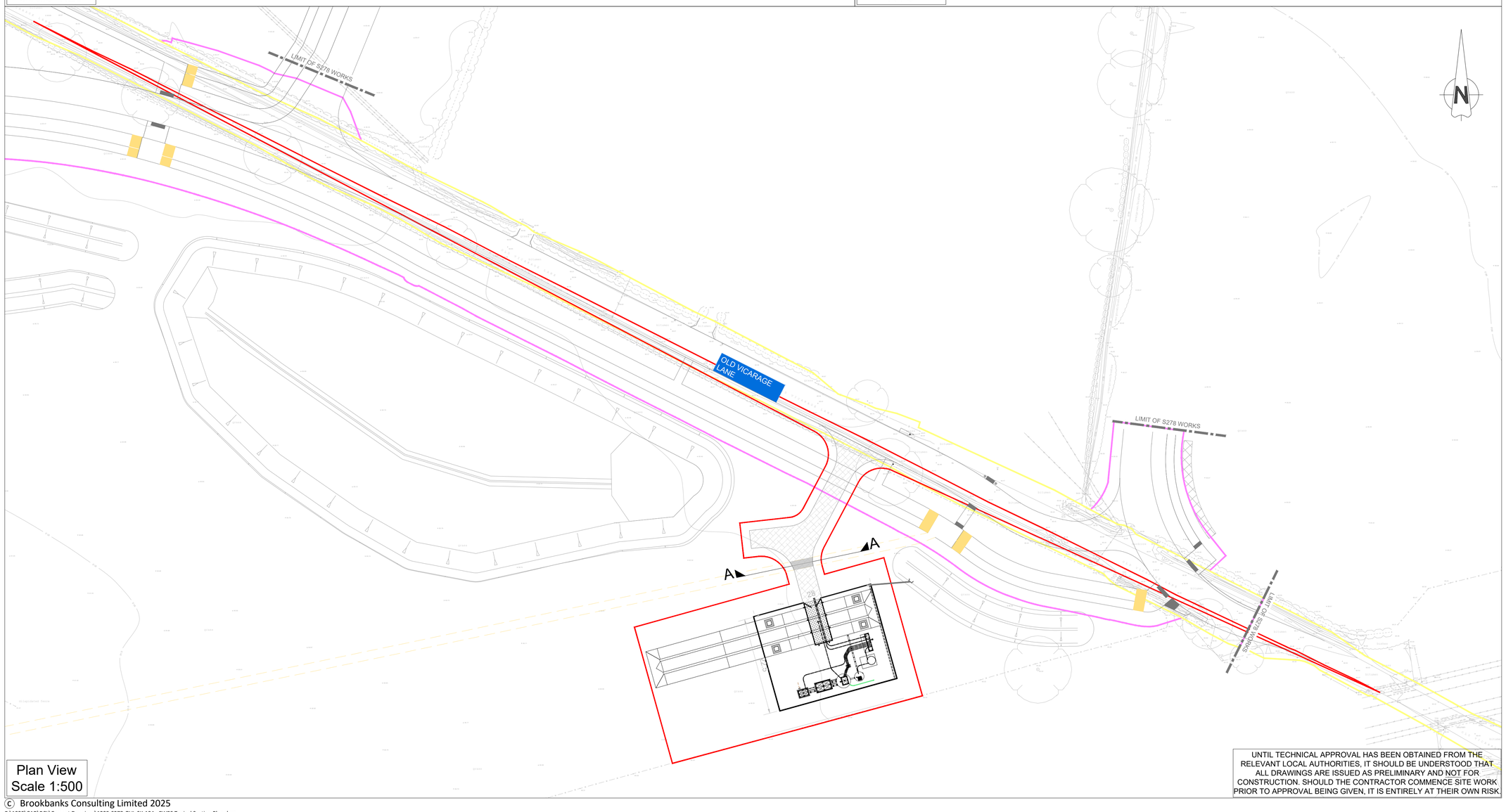

Plan View
Scale 1:500

UNTIL TECHNICAL APPROVAL HAS BEEN OBTAINED FROM THE RELEVANT LOCAL AUTHORITIES, IT SHOULD BE UNDERSTOOD THAT ALL DRAWINGS ARE ISSUED AS PRELIMINARY AND NOT FOR CONSTRUCTION. SHOULD THE CONTRACTOR COMMENCE SITE WORK PRIOR TO APPROVAL BEING GIVEN, IT IS ENTIRELY AT THEIR OWN RISK.

- First Issue — JHI CM SM 07.01.25

BROOKBANKS
6150 Knights Court, Solihull Parkway, Birmingham, B37 7WY
T +44 (0)121 329 4330 E mail@brookbanks.com
W brookbanks.com

Swindon EDA Consortium

Proposed Development
Swindon EV Phase 1

S.278 Works
Spine Road - Old Vicarage Lane
PRoW Typical Section Plan

Status		Status Date
Approval		Jan 2025
Drawn	**Checked**	**Date**
JHI	CM	07.01.025
Scale	**Number**	**Rev**
1:500	1335-S278-OVL-SK-134	-

0 10 20 30 40 50
METRES

© Brookbanks Consulting Limited 2025

P:\1335\CAD\BCL\Current Drawings\1335-S278-OVL-SK-134 - FWPS Typical Section Plan.dwg