Original Drawing Size A1

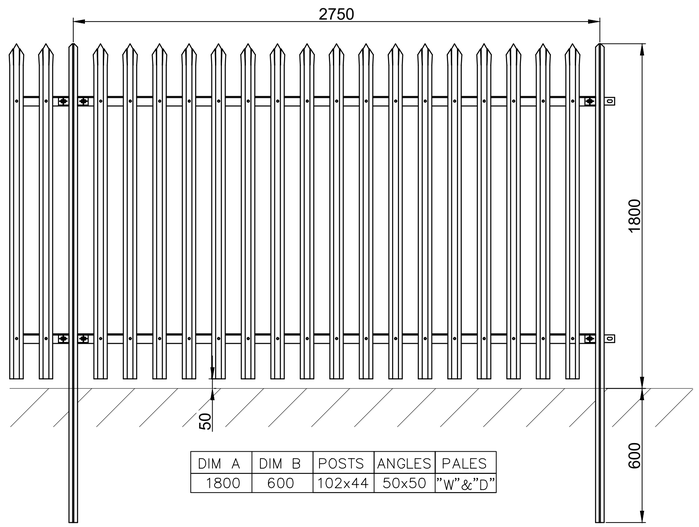

DIM A	DIM B	POSTS	ANGLES	PALES
1800	600	102x44	50x50	"W"&"D"

PROCTER FENCING SYSTEMS PALISADE PANEL

Note:

Grasscrete formers type GC1 - 100mm deep laid on compacted sub-base with a 20mm blinding layer of sand. Steel mesh reinforcement to BS 4483 Ref A193 or A252
C30 concrete with 10mm maximum aggregate size placed around formers and mesh and levelled to tops of formers. After 48-hours melt expose formers and fill with topsoil. Approved grass mix to be added at season appropriate stage.

Expansion joints to be incorporated at 10m spacings and consist of 25mm pre-soaked soft wood filler.

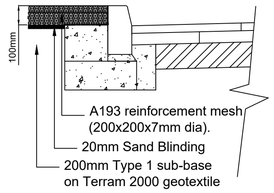

GRASSCRETE GC1 600x600x100mm DETAIL
NTS

TYPICAL KIOSK

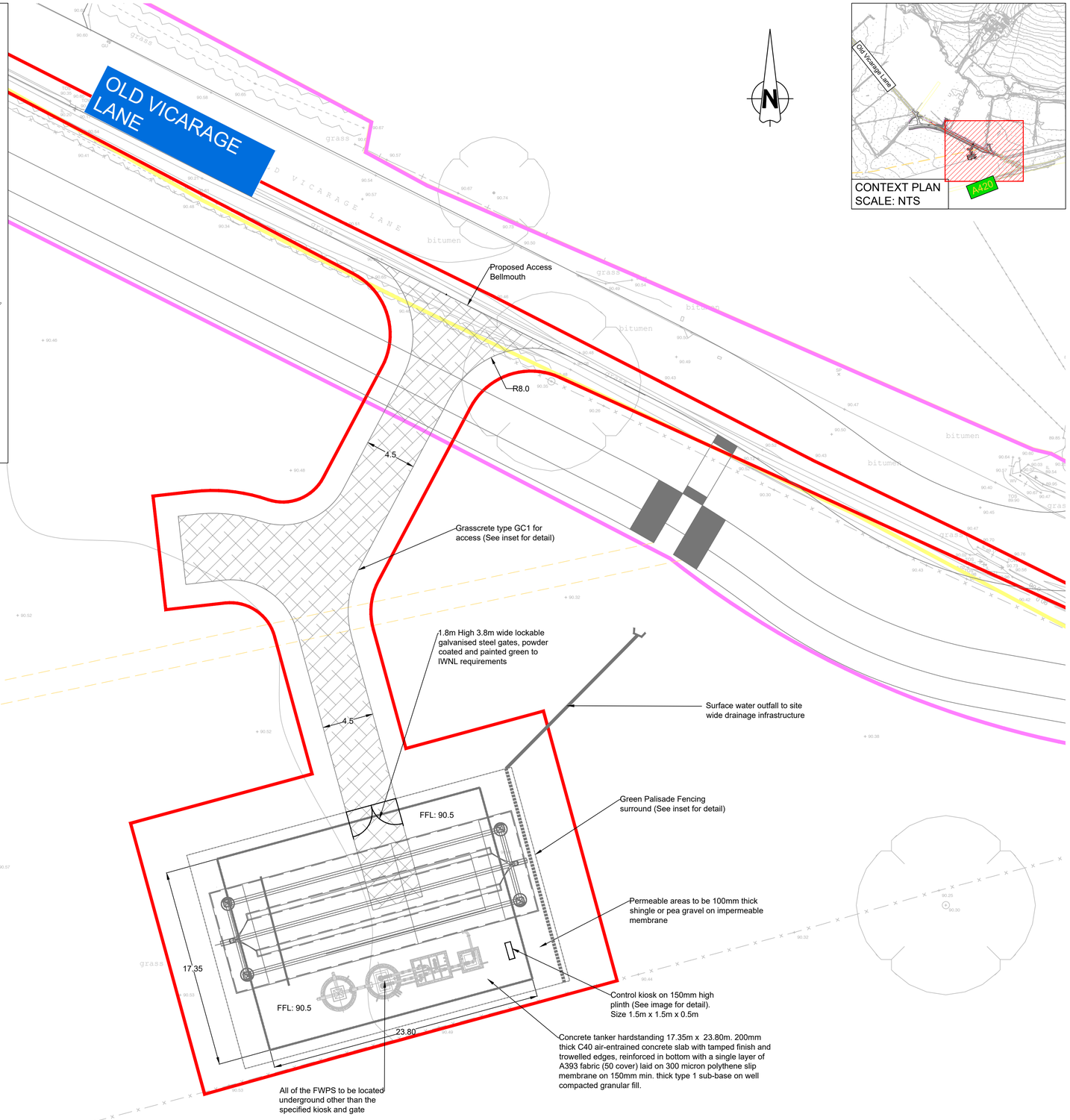

CONTEXT PLAN
SCALE: NTS

Construction Design and Management (CDM)
Key Residual Risks

Contractors entering the site should gain permission from the relevant land owners and/or principle contractor working on site at the time of entry. Contractors shall be responsible for carrying out their own risk assessments and for liaising with the relevant services companies and authorities. Listed below are Site Specific key risks associated with the project.

1) Overhead and underground services
2) Street Lighting Cables
3) Working adjacent to water courses and flood plain
4) Soft ground conditions
5) Working adjacent to live highways
6) Unchartered services

NOTES:

1. Do not scale from this drawing.
2. All dimensions are in metres unless otherwise stated.
3. Brookbanks consulting ltd has prepared this drawing for the sole use of the client. the drawing may not be relied upon by any other party without the express agreement of the client and Brookbanks consulting ltd. where any data supplied by the client or from other sources has been used, it has been assumed that the information is correct. no responsibility can be accepted by Brookbanks consulting ltd for inaccuracies in the data supplied by any other party. the drawing has been produced based on the assumption that all relevant information has been supplied by those bodies from whom it was requested.
4. No part of this drawing may be copied or duplicated without the express permission of Brookbanks consulting ltd.
5. All dimensions and all levels in metres unless noted otherwise.
6. Any discrepancies noted on site are to be reported to the engineer immediately.

KEY:

- Areas of Existing Highway
- Proposed Main Access Boundary
- Proposed Old Vicarage Lane S278 Boundary
- Proposed Fencing
- Public Right of Way

- First Issue	CDW CM	SM 02.05.24

BROOKBANKS
6150 Knights Court, Solihull Parkway, Birmingham, B37 7WY
T +44 (0)121 329 4330 E mail@brookbanks.com
W brookbanks.com

Swindon EDA Consortium

Proposed Development
Swindon EV Phase 1

S.278 Works
Spine Road - Old Vicarage Lane
Pumping Station Detail

Status		Status Date
Approval		May' 2024
Drawn	**Checked**	**Date**
CDW	SM	02.05.24
Scale	**Number**	**Rev**
1:200	1335-S278-OVL-SK-133	-

0 4 8 12 16 20
METRES

UNTIL TECHNICAL APPROVAL HAS BEEN OBTAINED FROM THE RELEVANT LOCAL AUTHORITIES, IT SHOULD BE UNDERSTOOD THAT ALL DRAWINGS ARE ISSUED AS PRELIMINARY AND NOT FOR CONSTRUCTION. SHOULD THE CONTRACTOR COMMENCE SITE WORK PRIOR TO APPROVAL BEING GIVEN, IT IS ENTIRELY AT THEIR OWN RISK.

© Brookbanks Consulting Limited 2024

P:\1335\CAD\BCL\Current Drawings\1335-OVL-SK-133 - FWPS Detail.dwg