NEXUS PLANNING

South Marston, Swindon (Parcels R6 & R7)

Planning Compliance Statement

ON BEHALF OF VISTRY HOMES LIMITED

August 2024

Contents

Contents 2

1. Introduction 4

2. The New Eastern Villages – Rowborough and South Marston Village Expansion 5

Allocation 5

Outline Planning Permission S/OUT/13/1555ED SN 6

Planning Obligations 9

3. The Site 11

4. Planning Policy 15

Development Plan 15

The Swindon Borough Local Plan 2026 15

Other Relevant Planning Documents 15

Swindon – Supplementary Planning Documents 15

Scope of the Determination Process 16

5. Pre-Application Engagement 17

6. The Regulating Plans 18

7. The Proposals 23

Proposed Quantum and Mix 23

Parcel R6 23

Plots (No.) 23

Market 23

Affordable Rent 23

Shared Ownership 23

Parcel R7 23

Plots (No.) 23

Market 23

Affordable Rent 23

Shared Ownership 23

Reserved Matters Site Area 26

Regulating Plans and Conditions Compliance 26

8. Marston Gate and Nightingale Corner Character Area Design Code 32

Key Frontages – Access and Movement 32

Vehicle Parking 33

Built Form and Identity 39

Landscape Design 39

Built Form Framework 39

Recycling and Waste Management 43

Inclusive Design 43

9. Conclusion 44

1. Introduction

1.1 Outline planning permission for the development of Land North of A420 was granted by Swindon Borough Council ('SBC') on 11 August 2021 (Reference: S/OUT/13/1555/EDSN). The approved development comprises:

> *"Outline Planning Permission, for a sustainable urban extension to the east of Swindon and north of the A420 of up to 2,380 dwellings together with a mixed use local centres/areas (including A1 retail up to 1,500 sq metres, services (A2), restaurants, pubs and takeaways (A3, A4, A5), business uses (B1) up to 1,000 sq metres, residential); community uses (D1); sheltered and/or care accommodation (C2/C3); two primary schools; green infrastructure including formal (including playing fields) and informal open space, landscape, biodiversity and amenity space; play space (including NEAPS/LEAPS/MUGAS); changing and sports facilities (including D2) and ancillary retail uses; sustainable drainage systems; highway, cycle and pedestrian routes; car parking; infrastructure (including utilities); engineering works including ground remodelling; demolition, site reclamation and removal of structures; the formation of new accesses from the A420, Old Vicarage Lane and Thornhill Road."*

1.2 Planning permission was granted in outline with detailed matters relating to layout, scale, appearance, and landscaping reserved for future determination. The planning permission is subject to 63 conditions and the provisions of a Section 106 agreement (also dated 11 August 2021).

1.3 This reserved matters submission relates to Parcels R6 and R7 located within the South Marston Village expansion area.

1.4 This statement is provided to explain the composition of the reserved matters application and the planning context applying to it. It forms part of a suite of documents that accompany the further details provided to discharge the reserved matters, which taken together provide a thorough explanation of the design process that has informed the submission. A submission schedule is provided separately.

1.5 The submission comprises the following documents that address compliance requirements for the reserved matters:

- Planning Compliance Statement (Nexus Planning)
- Affordable Housing Statement (Nexus Planning)
- Design Compliance Statement (Stantec)
- Landscape, Ecology, Arboricultural Management Plan (IDP)
- Noise Assessment (RSK)

2. The New Eastern Villages – Rowborough and South Marston Village Expansion

Allocation

2.1 Policy NC3 of the Swindon Borough Local Plan 2026 allocates land to the east of the A419, north and south of the A420, as a major mixed use urban extension comprising a series of inter-connected villages. South Marston is extended as part of the allocation. The policy makes provision for around 2,000 dwellings to the north of the A420 (at South Marston and Rowborough) and around 6,000 dwellings south of the A420 within the new eastern Villages.

2.2 The New Eastern Villages Inset Diagram, which provides the framework for future masterplanning is reproduced below:

Figure 1: Extract from Local Plan Policy NC3

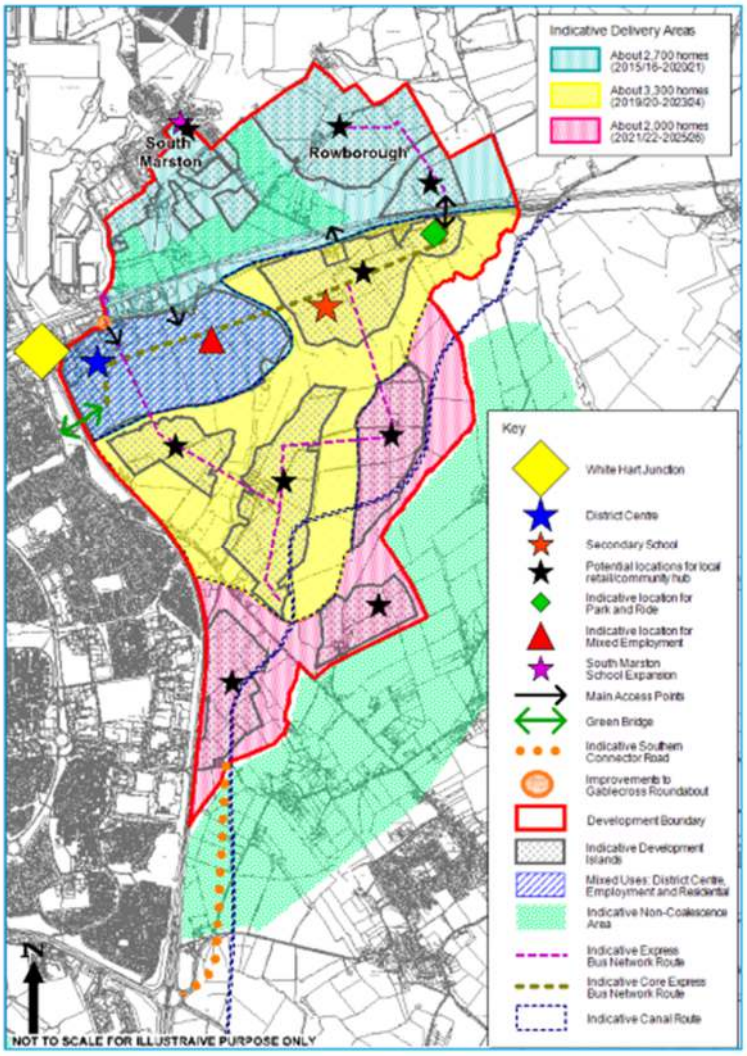

© Crown Copyright. All rights reserved. Swindon Borough Council 100024296 2016

Outline Planning Permission S/OUT/13/1555ED SN

2.3 Outline planning permission for the land to the north of the A420 (Rowbrough and South Marston) was granted on 11 August 2021 under the reference S/OUT/13/1555ED SN. The description of development is as follows

> *" Outline Planning Permission, for a sustainable urban extension to the east of Swindon and north of the A420 of up to 2,380 dwellings together with a mixed use local centres/areas (including A1 retail up to 1,500 sq metres, services (A2), restaurants, pubs and takeaways (A3, A4, A5), business uses (B1) up to 1,000 sq metres, residential); community uses (D1); sheltered and/or care accommodation (C2/C3); two primary schools; green infrastructure including formal (including playing fields) and informal open space, landscape, biodiversity and amenity space; play space (including NEAPS/LEAPS/MUGAS); changing and sports facilities (including D2) and ancillary retail uses; sustainable drainage systems; highway, cycle and pedestrian routes; car parking; infrastructure (including utilities); engineering works including ground remodelling; demolition, site reclamation and removal of structures; the formation of new accesses from the A420, Old Vicarage Lane and Thornhill Road."*

2.4 The outline permission is subject to 63 conditions and the provisions of a Section 106 Agreement.

2.5 The permission relates only to the land to the north of the A420 and comprises two distinct villages, South Marston to the west and Rowborough to the east.

2.6 The permission includes a number of conditions that require site-wide plans and strategies to be prepared and approved prior to the submission of reserved matters, conditions that require compliance to be achieved by the reserved matters submission(s), conditions prescribing material to be included within the reserved matters, and conditions that must be discharged prior to the commencement of development the provisions of which will have a bearing on the content of the reserved matters submissions.

2.7 The relevant conditions are summarised in Table 1 below:

Table 1: Pre-Reserved Matters, Reserved Matters, and Pre-Commencement Conditions

Conditions to be Discharged Prior to Reserved Matters		
No.	**Summary of Condition**	**Commentary**
6.	**Phasing** This condition requires a phasing plan to be submitted and approved by SBC prior to the first reserved matters application.	The condition was discharged on 02 August 2022 **(S/COND/21/1998)** through the submission of a Phases of Development drawing (Drawing **LHL006-009 Rev D**) and a **Phasing Details Report (July 2022).** The report makes clear that the details establish the broad sequence for development and that there may be overlap and/or the need for the Phasing Strategy to be amended.
8.	**Strategic Design Code (SDC)** This condition requires a Strategic Design Code to be submitted and approved prior to the submission of the first reserved matters. Reserved matters submissions for each phase are required to demonstrate how the development shall accord with the approved Strategic Design Code.	The Strategic Design Code **(S/COND/22/0315)** was approved on 01 May 2024.

9.	**Character Area Design Code (CADC)** The Strategic Design Code divides the site into the following character areas: • Fairthorne and Thornhill (South Marston) • Marston Gate and Nightingale Corner (South Marston) • Valley View and Neighbourhood Hub (Rowborough) • Nightingale Edge (Rowborough) • Rowborough Gate (Rowborough) The condition requires a Character Area Design Code for each area to be submitted and approved prior to the submission of reserved matters for the relevant area.	Parcels R6 & R7 to which this reserved matters submission relates lie within the Marston Gate and Nightingale Corner (South Marston) Character Area. The CADC **(S/COND/22/0315)** was approved on 12 July 2024**.** The reserved matters should include A checklist which demonstrates that the proposals accord with the Design Code for the Marston Gate and Nightingale Corner Character Area.
10.	**Framework, Landscape, Ecology and Arboricultural Management Plan (FLEAMP)** Prior to the submission of the first reserved matters for the South Marston and Rowborough villages a Framework, Landscape, Ecology and Arboricultural Management Plan (FLEAMP) shall be submitted and approved for that village.	A FLEAMP for the South Marston village area was submitted on 25 February 2022 **(S/COND/22/0316).** It was approved on 19 December 2023. The reserved matters should include a Landscape, Ecology and Arboricultural Management Plan ('LEAMP') which demonstrates that the proposals accord with the FLEAMP for South Marston Village.

Conditions to be Complied with by Reserved Matters		
No.	**Summary of Condition**	**Commentary**
2.	No development shall take place within each sub-phase, until such time as all the reserved matters for that sub-phase have first been submitted to and approved by the Local Planning Authority. The reserved matters are details of the layout, scale, appearance, and landscaping.	Nature of the reserved matters.
4.	Approved plans that must be complied with the reserved matters.	Location Plan - Drawing Number **DN LHL005-144 G** (submitted to LPA on 14th February 2017) Proposed Highway Layout - Railway Crossing **- DN 1335/HL/10 E** (submitted to LPA on 14th February 2017) Highway Access & Improvement Works Context Plan - **DN 1335-HL-23 G** (submitted to LPA on 14th February 2017)
6.	Proposals to comply with the Phasing Plan for the entire development.	Phasing Details Report (June 2023 Update) (04/07/23) **S/COND/23/0848 – Approved 01/09/23**

7.	Proposals to comply with Illustrative Masterplan (Drawing No. LHL005/177/F) and Development Framework Plan (Drawing No. LHL005-DFP-001 Rev A).	Provisions superseded by contents of Strategic Design Code and Character Area Design Codes.
8.	Proposals to comply with the Strategic Design Code for entire development.	Strategic Design Code – South Marston Expansion and Rowborough Village (May 2024) **S/COND/22/0031 – Approved 01/05/24.**
9.	Proposals to comply with the Design Code for the Marston Gate and Nightingale Corner Character Area.	Character Area Design Code Marston Gate and Nightingale Corner (May 2024) **S/COND/22/0315 – Approved 12/07/24**
11.	Proposals to comply with the Framework Landscape, Ecology and Arboricultural Management Plan ('FLEAMP') for the South Marston Village	FLEAMP - **S/COND/22/0316 – Approved 19/12/23**
12.	Proposals to accord with the details of trees and hedgerows contained within the approved Arboricultural Assessment (dated February 2017).	Approved as part of the outline permission.
41.	Development shall not commence until a detailed Surface Water Management Strategy for the site, has been submitted to, and approved in writing by the Local Planning Authority.	An application to discharge conditions 40 and 41 of the outline permission **(S/COND/22/0711)** was partially approved on 29 April 2024. References: **Location Plan LHL005_G 10 May 2022** **Surface Water Drainage Report – 1335/SWDR Rev3 6 February 2024** **Thornhill Road Rev6 Drainage Calculations 27 February 2024.**

Conditions Prescribing Material to be Provided by the Reserved Matters

No.	Summary of Condition	Commentary
8.	Strategic Design Code	Demonstrate compliance with Strategic Design Code
9.	Character Area Design Code	Provide a checklist to demonstrate compliance with the Character Area Design Code
11.	Landscape Ecology and Environmental Management Plan	Provide a LEAMP in accordance with the provisions of the FLEAMP
24.	Details of EV charging points	SBC Technical Guidance on Parking Standards (August 2021) (p.6)
25.	Sequencing details for delivery of relevant 'roads/routes' shown on the approved phasing plan	Compliance with approved phasing plan.
55.	Wheelchair accessible housing: Details confirming compliance with approved plan and schedule detailing provision of wheelchair accessible housing.	At least 2% of the development (2,380) shall be wheelchair accessible homes (48 dwellings). Details of provision to be made. Plan and schedule to be submitted alongside first RM.

		Each RM to demonstrate compliance with the approved plan and schedule. The condition applies to the whole scheme.
57.	A scheme and specification for the provision and location of fire hydrants (if required).	'To meet the firefighting needs of the development'
Pre-Commencement Conditions Affecting the Reserved Matters		
No.	**Summary of Condition**	**Commentary**
42.	No development shall take place within each sub-phase until a detailed surface water drainage scheme for that sub-phase has been submitted to and approved in writing by the Local Planning Authority. The scheme shall be in accordance with the surface water management strategy approved in compliance with Condition 41 and shall include a programme for implementation.	The detailed drainage strategy is not required as part of the RM package, although its design will have a bearing on the layout to be approved under the RM submission.
48.	Report to demonstrate compliance with the internal and external noise levels set by Condition 48.	Internal noise standards – BS 8233:2014 External noise levels <50dB LAeq, excepting identified areas on plan reference 16/0492/SK7-1 >55dB LAeq Plan 16/0492/SK7-1 shows that the southern tip of Parcel R6 falls within the red area where increased noise levels may be acceptable. The condition requires the residential units 'to be designed' to achieve prescribed noise levels. Adherence to the prescribed levels will be affected by matters relating to the layout of the scheme and therefore it is prudent to assess and seek discharge of the condition as a component part of the RM.

Planning Obligations

2.8 The permission is subject to the terms of a Section 106 Agreement, the provisions that are relevant to these reserved matters submission are summarised below.

Table 2: S106 Provisions

Affordable Housing – Schedule 3	Requirement
Quantum	All reserved matters submissions must provide between 20% and 25% of proposed dwellings as affordable housing, with the site delivering 23% affordable housing overall (548 dwellings).
Tenure	50% affordable rented, 50% intermediate (shared ownership).
Mix and Size	• 15% - 1-bed flats (2 person) • 53% - 2-bed flats and houses (majority houses) (4 person)

Affordable Housing – Schedule 3	Requirement
	• 30% - 3-bed houses, including some ground floor level access flats (3-bed) (5 person) • 2% - 4-Bed houses (7 person)
Distribution	Tenure blind and in clusters not exceeding 15 units, of which no more than 11 units for affordable rent.
Open Space – Schedule 1	**Requirement**
Compliance with open space strategy for Phase One	The Open Space strategy for Phase one has been submitted and is awaiting approval S/24/0577/MOD106.

3. The Site

Figure 2. Outline Planning Permission Location Plan – Approved (Condition 4)

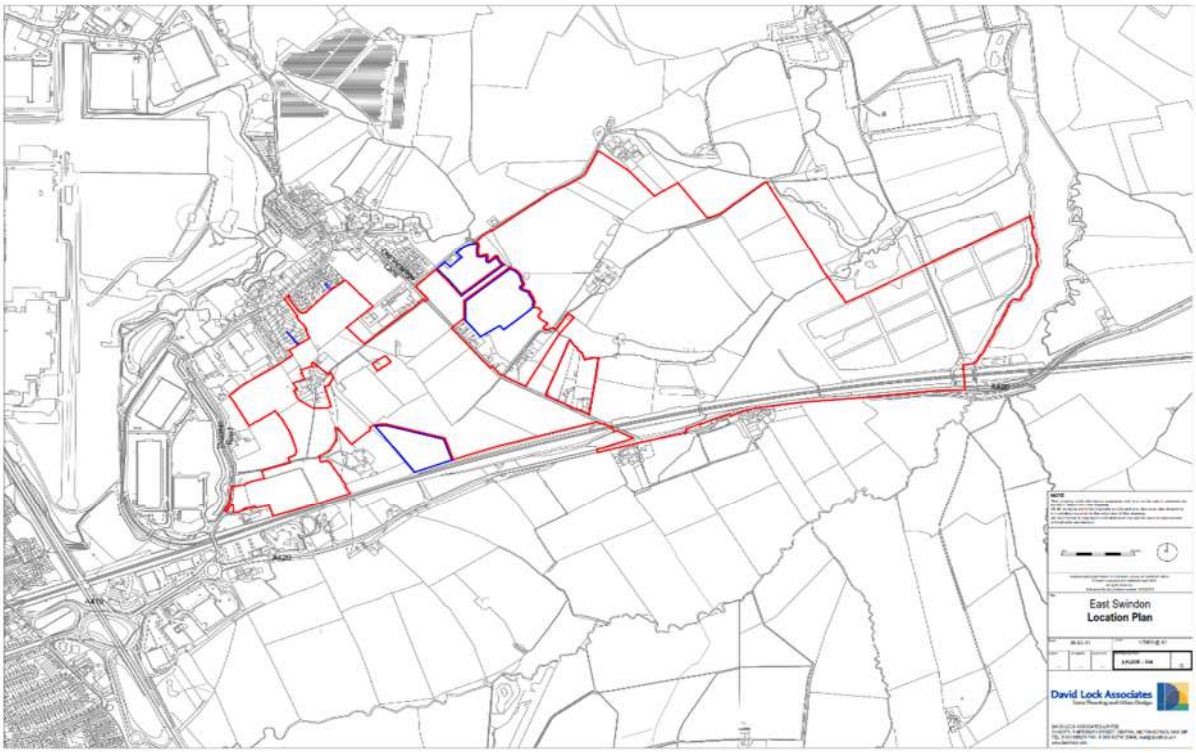

3.1 The approved location plan for the outline permission is reproduced at Figure 2 above. This shows the South Marston and Rowborough components of the NC3 allocation located to the north of the A420.

Figure 3. Highway Access Works Context Plan – Approved (Condition 4)

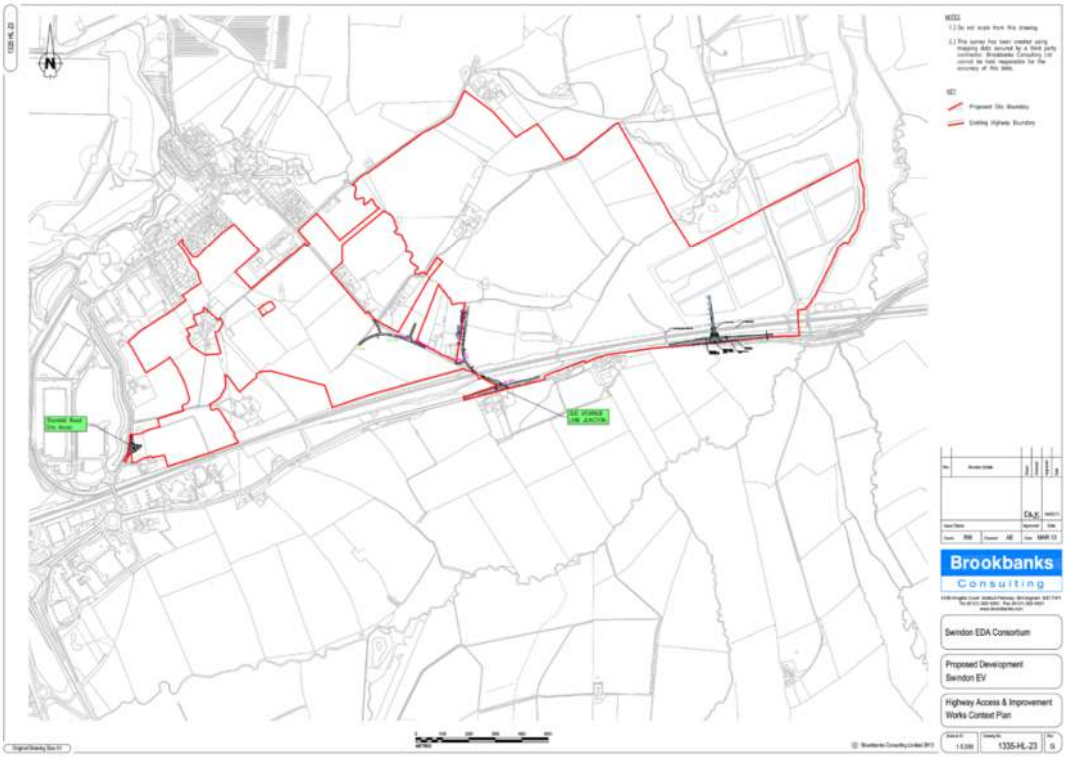

3.2 Figure 3 indicates the positions of the approved access points under the outline permission, including the Old Vicarage Lane junction improvements.

Figure 4. Development Framework Plan – Illustrative (Condition 7)

3.3 Figure 4 reproduces the Development Framework Plan referred to in condition 7 of the outline permission. The condition requires all reserved matters submissions and design code documents (approved pursuant to the provisions of conditions 8 and 9) to be in broad accordance with the development framework plan.

3.4 Figure 5 below reproduces the illustrative masterplan also referred to by condition 7, which also requires reserved matters to be in broad accordance with the plan.

Figure 5. Illustrative Masterplan – Illustrative (Condition 7)

Figure 6. Noise Plan (Condition 48)

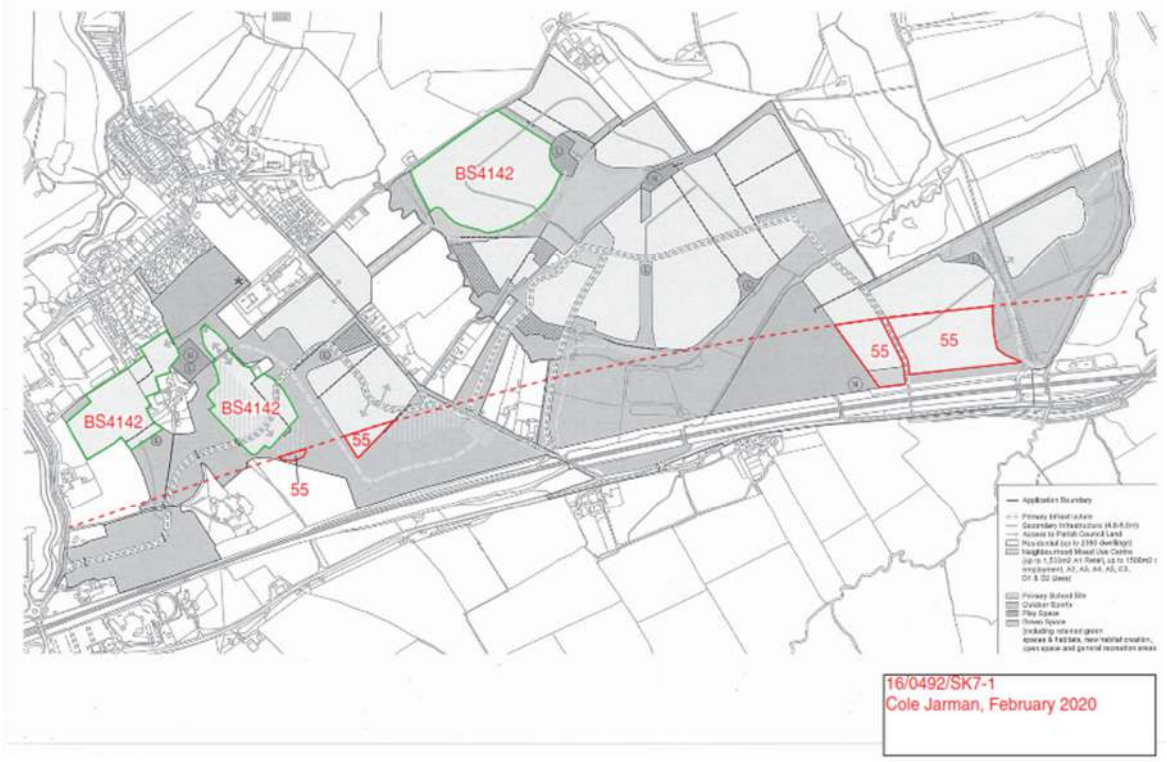

3.5 Figure 6 above identifies the areas of the site where it is acceptable for noise levels within external amenity areas to rise to a maximum level of 55dB LAeq (16 hour) as prescribed by the provisions of condition 48 of the outline permission.

3.6 The reserved matters submission for Parcels R6 & R7 includes an area identified on the plan above.

Figure 7. Parcel Areas Plan

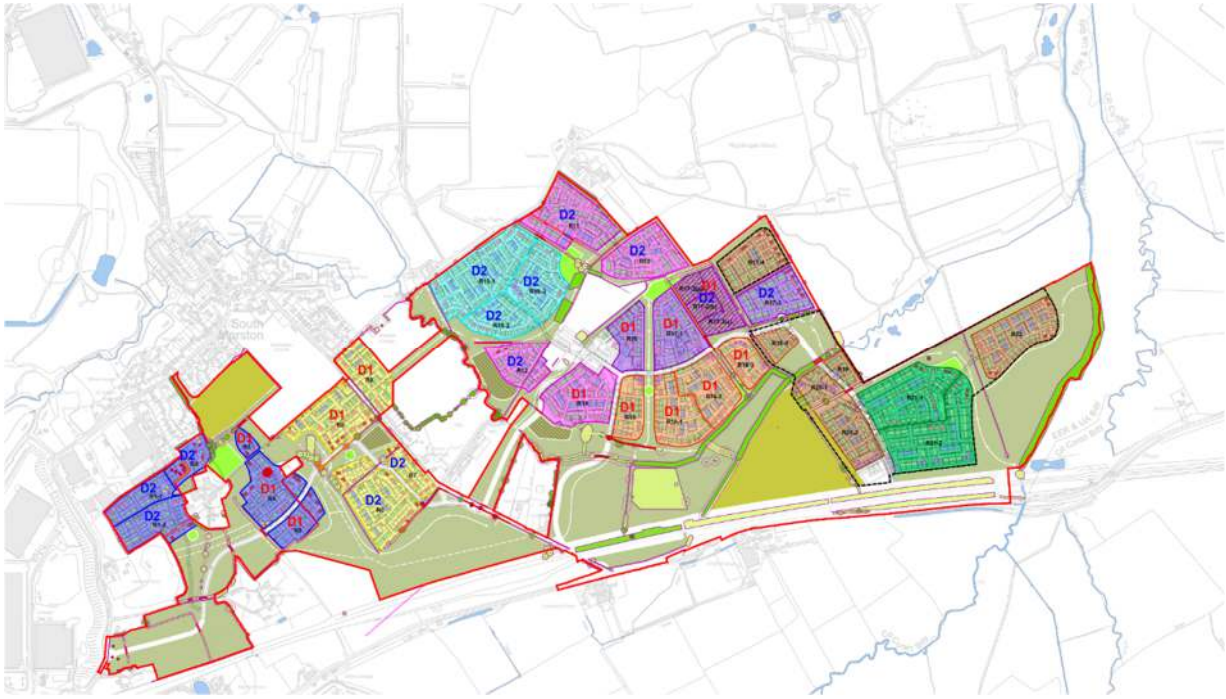

3.7 The parcel areas plan has been prepared by the developers of the land north of the A420 and identifies the two parcels subject to the reserved matters submission to the west of Old Vicarage Lane (D2) R6 and R7.

4. Planning Policy

Development Plan

The Swindon Borough Local Plan 2026

4.1 The adopted Development Plan comprises the Swindon Borough Local Plan 2026 (adopted on 26 March 2015).

4.2 Policy NC3: New Eastern Villages – including Rowborough and South Marston Village Expansion allocates the land for development as part of one of the new communities allocated within the Local Plan. The reserved matters submission lies within the South Marston component, which is identified for 500 dwellings (of the 2,000 dwellings located to the north of the A420).

4.3 In addition to the allocating policy the provisions of the following policies are relevant to the reserved matters submission:

- DE1 – High Quality Design
- DE2 – Sustainable Construction
- HA1 – Housing – Mix, Types, and Density
- HA2 – Affordable Housing
- HA3 – Wheelchair Accessible Housing
- TR2 – Transport and Development
- IN4 – Low Carbon and Renewable Energy
- EN1 – Green Infrastructure Network
- EN3 – Open Space
- EN4 – Biodiversity and Geodiversity
- EN6 – Flood Risk

Other Relevant Planning Documents

National Design Guide (2019)

4.4 In October 2019 the government published the 'National Design Guide'. The purpose of the document is to supplement paragraph 130 of the Framework which promotes good design, by identifying ten characteristics for well-designed places.

Swindon – Supplementary Planning Documents

4.5 There are several supplementary documents that are variously relevant to an assessment of the reserved matters submission, the provisions of which have been taken into consideration alongside the provisions of the design code documents that support the outline permission, which are listed below:

- Inclusive Design and Access for All SPD (Local Plan 2011)
- Swindon Residential Design Guide (June 2016)
- Affordable Housing Position Statement (November 2016)
- Noise and Residential Development (August 2004)
- Open Space and New Housing Development (August 2004)
- Technical Guidance on Parking Standards (August 2021)

- Cycle Parking Standards (2013)

Scope of the Determination Process

4.6 The reserved matters submission is made pursuant to the terms of the outline planning permission and the S106 agreement that supports it. It is also prepared in the context of the conditions of relevance that form part of the permission and the details that have been approved following the discharge of the requirements pertaining to those conditions. Most notable in this regard are the provisions of the Strategic Design Code and the Character Area Design Code, which prescribe closely the form of development that the local planning authority requires within this part of the allocation/outline planning permission. Where the provisions of the development plan and the supplementary guidance that accompanies it are relevant to an assessment of the submission these have been taken into account in preparing the reserved matters submission.

4.7 The consideration of the reserved matters application is, in accordance with Article 2 of the Town and Country Planning (Development Management Procedure) (England) Order 2015 ("DMPO"), limited to the following matters, which are reserved for approval at this stage:

- appearance;
- landscaping;
- layout; and
- scale

5. Pre-Application Engagement

5.1 The outline planning permission establishes clear requirements that govern subsequent reserved matter submissions via the following conditions:

(6) Phasing Details

(7) Broad Accordance with Development Framework Plan and Illustrative Masterplan

(8) Strategic Design Code (SDC) - reserve matters to demonstrate compliance with the provisions of the approved SDC

(9) Character Area Design Code (CADC) – reserve matters to include a checklist to demonstrate compliance with the approved CADC for the relevant area

(10) Framework Landscape Ecology and Arboricultural Management Plan (FLEAMP) – reserve matters to accord with the approved framework

5.2 The conditions referred to above have all been discharged and provide a series of regulating plans that closely define the form and content of the reserve matters for parcels R6 and R7. Close attention has been paid to the regulating plans, which have determined the approach to the reserve matters.

5.3 The extensive engagement that has taken place in agreeing the Character Area Design Code (CADC) for Marston Gate and Nightingale Corner, which was approved on 12 July 2024, has provided sufficient feedback to the applicant design team such that it has been decided to forego a formal pre-application stage. The decision has also been informed by a desire to achieve a reserve matters submission swiftly following approval of the CADC and on the basis that the applicants are committed to entering and funding a planning performance agreement with the local planning authority for the post-submission period. The agreement is being drafted and will cover the post-submission determination period, including all relevant meetings to ensure compliance with the regulating plans and terms of the outlie planning permission.

6. The Regulating Plans

6.1 As set out in section 5, above, the outline permission is subject to a series of regulating plans that establish a strong framework for the reserved matters.

6.2 Condition 6 of the outline permission requires a **Phasing Plan** to be agreed prior to the submission of the first reserved matters application. This was discharged on 06 December 2023. The reserved matters parcel(s) are situated within South Marston East and form a 'sub-phase' of Phase One of the South Marston extension. The Infrastructure Phasing Plan shows the South Marston Primary Street as the only component that is relevant to the current reserved matters submission. The agreed phasing arrangements include provision of the LEAP and allotments within the land to the north of the reserved matters site.

6.3 Figures 4 and 5, above reproduce the **Development Framework Plan (DFP)** and the **Illustrative Masterplan (IM)**, with which future reserve matters submissions must be in broad accordance (condition 7).

6.4 The area of the South Marston extension subject to this application, parcels R6 and R7 (Figure 7) is identified on the Development Framework Plan as a residential area/parcel, bisected by a primary infrastructure route connected to Old Vicarage Lane, entering in the south easterly quadrant of the parcel to exit at the mid-point of the northern boundary. Two secondary road infrastructure junctions are indicated to the east and west. A hedgerow running east to west across the northern area of the parcel is shown to be removed and a section of hedgerow defining the southern boundary of the parcel is also shown to be removed. There are no other notations shown within the parcel. To the north, within an area of greenspace, the Framework Plan identifies a LEAP and an area of allotments. The legend indicates that the maximum building height is 12.5m AOD (ground level to ridge).

6.5 The Illustrative Masterplan adds some further detail: The frontages to Old Vicarage Lane and the Primary Infrastructure Route (PIR) running through the parcel are defined as 'Primary Street Edge(s)' (6.4m carriageway); the northern, western, and southern edges (west of the PIR) are identified as 'Parkland Edge(s)', and the residential area is sub-divided into six residential perimeter blocks.

6.6 Condition 8 required the submission and approval of a **Strategic Design Code (SDC)** prior to the first reserved matters submission. The SDC was approved on 01 May 2024.

6.7 The SDC provides the Design Vision and a Strategic Coding Plan, identifies Character Areas, explains movement principles, and defines a GI framework for the site subject to the outline permission.

6.8 The Strategic Coding Plan contains several provisions of relevance to the parcel(s) subject to the reserved matters submission (which are reflected on the DFP and the IM):

- Primary Street – bisecting the parcel
- Key Space - (to the north outside the parcel) containing Play Space and Allotments
- All Modes Access – via the Primary Street and Old Vicarage Lane
- Secondary Footpath (2m) – to the south and west outside the parcel
- Proposed Swales – to the south and west outside the parcel

6.9 The Open Space Coding Plan and Open Space Referencing Plan note existing trees and hedgerows within the parcel and running along the southern and western boundary and indicate that the land surrounding the residential parcels to the north, west, and south will form part of the South Marston Country Park comprising a range of GI

typologies defined as informal open space/improved grasslands/new broad leaved woodland/strategic amphibian habitats (including new ponds).

6.10 The Landscape Concept Masterplan does not prescribe any detail to the reserved matters parcel. The Parkland Edges noted on the IM will face out onto the perimeter footpath and adjacent swale with new tree planting a feature of these edges.

6.11 The Street Tree Strategy includes a Primary Streets Key Plan, which classifies the route within the parcel as a 'Primary Street: Village'. The characteristics are prescribed at paragraph 5.51 of the SDC:

- Green setting and outlook to the built form
- Dual frontage street corridor (16.25m) incorporating footway, cycleway, verge for SuDS/swale, and tree planting verge of 2.5m with trees planted 'in sequence' on one side of the carriageway
- Formal
- Medium scale/mixed species trees
- Solar shading
- 7-10m spacing, exceptionally up to 15m

6.12 A cross-section of the Primary Village Street is provided indicating a single frontage example (where the overall width is 17.5m).

6.13 The SDC includes Parcel Design guidance for landscaping, which relates to tertiary streets (which provide the other routes through the parcel). These are described as low-speed routes, typically 9.0m wide where all forms of traffic can be accommodated within the same carriageway, with a separate footway. Landscaping is sought within parcels and incidental areas of open space. Key design characteristics comprise:

- Compact/upright tree species
- Visually interesting species
- Greening of the streetscene
- A mix of avenue planting, groupings (where space permits), and individual specimen trees

6.14 Condition 9 required the submission and approval of a **Character Area Design Code (CADC)** prior to the first reserved matters being submitted. The Marston Gate and Nightingale Corner CADC was approved on 12 July 2024.

6.15 The CADC includes a series of plans and regulatory provisions to guide the reserved matters. The Character Area Vision notes that the character area will be the gateway to the development and should reflect the existing character of South Marston village. Characteristics to be developed include landscape-led entrance gateways with enhanced landscaping/public art and a consistent and uniform frontage along the primary street to reflect the character of the existing High Street.

6.16 The Regulating Plan provides further definition to the structure of development within and adjoining the parcel(s) subject to this reserved matters submission, specifying key characteristics:

- Frontage: Primary Street, Old Vicarage Lane, Park Edge
- Landscape-led Gateway: Southern entrance junction
- LTN120 Foot/Cycleway: Via primary street and segregated footway on opposite side
- Incidental open space: Green area adjacent to key space to the north
- Pedestrian/Cycle connections: Links via the southern and western boundaries to the perimeter paths

6.17 The Access and Movement Strategy provides a finer grain of detail to that contained in the SDC and indicates a series of plot access locations from the Primary Street and onto Old Vicarage Lane. There are no Secondary Streets within the parcel(s); instead, a series of tertiary streets lead into the residential area to the west of the Primary Street, there is no delineation of routes indicated for the parcel adjacent to Old Vicarage Lane.

6.18 The Primary Street has development on both sides and is therefore subject to Section A-A (p.31 of the CADC).

6.19 The location of the Tertiary Streets is not prescribed by the CADC, but design principles are provided to guide the reserved matters. Tertiary Streets will comprise segregated carriageway/footway routes (9.0m wide), shared-surface streets (7.8m), and private drive (shared surface 4.8m wide).

6.20 Vehicle parking is to be provided in the character area in accordance with the SBC Technical Guidance on Parking Standards (August 2021). The following requirements are established:

On Street Parking

- On street parking to be designed into the street with space for trees, planting, and street furniture to balance visual impacts
- On street parking to be limited to groups of up to five spaces, occasionally six, broken up with the use of planting (trees/shrubs)
- Designed in accordance with MfS/MfS2
- Visitor parking @ 1 space per 4 dwellings
- Parallel parking bays to be 6.0m x 2.5m and located to avoid important connectivity links
- Echelon bays to be 5.0m x 2.5m

Garages/Car Ports

- On plot provision
- Internal dimensions of 6.0m x 3.0m

Shared parking

- Assigned parking
- Proximate to dwellings
- Secure access
- Surveilled
- Courtyard parking areas to include landscaping and permeable surfaces and bollard/bulkhead illumination
- 4.8m minimum access width
- Maximum of five space groupings (intervening landscaping)

On-Plot Parking

- Driveway parking
- Minimum 5.0m depth, 5.5m in front of a garage
- Tandem parking limited to two perpendicular spaces
- Inter-property bays to be located to the rear of the building line

6.21 Walking and cycling is to be achieved via the provisions of the SDC, which the CADC acknowledges.

6.22 Cycle parking is to be achieved in accordance with SBC cycle parking standards, notably:

- Cycle parking within garages/secure shed/secure facility
- Shared flats – individual lockers/enclosed stands
- Indoor cycle-parking to be accessible via a single door between outside space and storage area
- Short-term cycle parking in prominent and convenient locations within the public realm (adjacent to destination facilities) designed not to obstruct pedestrians/other users of the public highway

6.23 The CADC also contains guidance on local character and built form and landscaping. Landscaping provisions are described in the SDC and expanded upon in the CADC.

6.24 Regarding built form and character key provisions include:

Primary Street Frontage

- Formal, regular building line parallel to the street
- Consistent setbacks and minimum garden depth of 0.5m
- Dwellings to front onto Primary Street, corner dwellings to be dual aspect
- Mixed typologies – consistency of building line and continuity of frontage
- Predominantly 2 storey, 2.5/3 storey in prominent locations to accentuate/punctuate in accordance with wider rationale
- Pitched, gabled roofscape, consistent lines and vertical emphasis
- Red/multi-red/buff brick facing
- Vertical emphasis of architectural features (gables/dormers/porches)
- Estate railing boundary treatments up to 1.0m high with soft planting

Old Vicarage Lane Frontage

6.25 The eastern boundary of the parcel fronts onto Old Vicarage Lane (OVL). Dwellings should reflect the prevailing character adopting an informal arrangement behind a landscaped margin to the street with retention of landscape features and supplementary planting to create a rural character. Vehicular accesses onto the Lane are limited in number.

- Informal and landscaped
- Variation in building line and setbacks
- Active frontage addressing the public realm, dual aspect at corner locations
- Access predominantly via private drives from Tertiary Streets, limited vehicular crossovers from OVL
- Parking predominantly on-plot, private driveways
- Detached and semi-detached dwellings
- Varied roof forms to create informal interest
- Mixed materials palette: multi-red brick, buff reconstituted stone, off-white render
- Character to reflect existing dwellings on OVL
- Low level planting to define boundaries with minimal rail features

Parkland Edge

6.26 The Parkland Edge frontage for the reserved matters parcels comprises the western boundary and the southern boundary to the west of the Primary Street. Variety in form and materials is the predominant objective to create a more informal response to the open space onto which the development areas face. Key features include:

- Informal, verdant edge
- Variation in building line and setbacks
- Looser grain and informal building lines punctuated by incidental planting
- Frontages to address open space positively with dual aspects at corner locations
- Visually permeable
- Private driveways via Tertiary Streets with shared surfaces predominating
- Variety of parking solutions incorporated
- Mainly detached and semi-detached dwellings, with short terraces
- Variations in roof profiles to create informality
- Rural materials palette to include use of weatherboarding to accentuate where appropriate
- Low level boundary treatments (1.0m maximum) with soft planting encouraged to aid transition between built and open spaces

6.27 Condition 10 required the submission and approval of a **Framework Landscape Ecology, and Arboricultural Management Plan (FLEAMP)** prior to the submission of the first reserved matters application. The FLEAMP was approved on 19 December 2023.

6.28 The FLEAMP includes a series of figures denoting relevant site characteristics to be managed via the FLEAMP and associated LEAMP, which is prepared in accordance with it (condition 11). Figures 6a and 6b provide graphic representation of the FLEAMP provisions that relate to the reserved matters parcels. Native hedgerow h2NE8 (with trees and ditch) running along the Parkland Edge boundaries to the west and south (west of the Primary Street) are retained. All other habitat within the reserved matters parcel(s) (Figure 5a) is lost and becomes residential or sealed surface primary infrastructure.

7. The Proposals

7.1 This reserved matters submission comprises the parcels identified as R6 and R7 located within the South Marston East phase of the outline permission. The proposals relate to two separate parcels that are subject to the application located on either side of the Primary Street (Village), which is subject to a separate reserved matters submission for the whole of the highways/access details between Old Vicarage Lane in the east and Thornhill Road, to the west.

7.2 Parcel R6 lies to the west of the Primary Street, with R7 to the east running up to Old Vicarage Lane. Parcel R6 contains 106 dwellings, R7 31 dwellings.

Proposed Quantum and Mix

7.3 The mix of dwellings in each parcel is set out in Table 3, below:

Table 3: Proposed Quantum and Mix

Parcel R6	Plots (No.)	Market	Affordable Rent	Shared Ownership
Block 1	1-13 (13)	2 x 3-bed	4 x 2-bed	NA
		7 x 4-bed		
Block 2	14-20 (7)	2 x 3-bed	NA	NA
		5 x 4-bed		
Block 3	21-61 (41)	2 x 2-bed	6 x 1-bed	NA
		18 x 3-bed		
		6 x 4-bed	4 x 2-bed	5 x 2-bed
Block 4	62-78 (17)	2 x 2-bed	NA	NA
		7 x 3-bed		
		8 x 4-bed		
Block 5	79-91 (13)	2 x 3-bed	NA	6 x 2-bed
		5 x 4-bed		
Block 6	92-106 (15)	9 x 3-bed	NA	NA
		6 x 4-bed		
Totals	**106**	**81**	**14**	**11**
Parcel R7	**Plots (No.)**	**Market**	**Affordable Rent**	**Shared Ownership**
Block 7		2 x 2-bed	NA	4 x 3-bed

	107-137 (31)	13 x 3-bed		
		12 x 4-bed		
Totals	**31**	**27**	**0**	**4**

7.4 As set out in the Table above, the proposals comprise 108 market dwellings (78.8%) and 29 affordable dwellings (21.2%) across parcels R6 and R7, which is in accordance with the requirement set out in Schedule 3, para. 1.1 of the S106 agreement to provide between 20% and 26% affordable housing within any sub-phase of development (sub-phase being defined in the S106 agreement as a single residential reserved matters submission).

7.5 The affordable housing units are designed and arranged in clusters that meet the requirements of the S106 agreement, which stipulates that affordable housing units should be tenure blind and in clusters not exceeding 15 units, of which no more than 11 units should be for affordable rent. Table 4 details the distribution and type of housing proposed:

Table 4: Affordable Dwelling Distribution

Parcel	Block	Plots	Cluster size	Affordable Rent	Shared Ownership
R6	1	5-8	4	4	0
	3	29-36, 41-47	15	10	5
	5	79-84	6	0	6
R7	7	113-116	4	0	4

7.6 The affordable units are designed to be indistinguishable from the market dwellings; the 2 and 3-bedroom affordable houses being the Cooper and Asher house types, which are utilised within the market mix of dwellings. The 1-bedroom affordable maisonettes are designed to be indistinguishable from the market dwellings adjacent to and opposite within Parcel R6. The dwellings have levels of external amenity space, privacy, and car parking that are commensurate with the equivalent market dwellings (by size and type) and are constructed form a palette of materials that is consistent with the type and quality used for the market dwellings.

7.7 The S106 agreement prescribes a tenure mix of affordable dwellings that is to apply to the affordable component of the whole development subject to the outline permission of 2,380 dwellings (548 dwellings). The apportionment as set out below:

Table 5: Affordable Dwelling Mix (S106)

Type	Persons	OPP number (%)	R6/R7 number (%)
1-bed flats	2	82 (15)	6 (21)

2-bed flats/houses	4	290 (53)	19 (65)
3-bed houses (including some level access 3-bed flats)	5	165 (30)	4 (14)
4-bed houses	7	11 (2)	0 (0)

7.8 The provisions of the S106 agreement are not prescriptive for individual reserve matters submissions and therefore a compliance requirement does not exist for specific parcels. Vistry will meet the overall affordable housing mix and distribution requirements set out in the S106 agreement for the reserve matter submissions that will relate to their land interests within the outline permission and will deliver a S106 compliant type/tenure/distribution/quantum to achieve 23% affordable housing delivery.

Figure 8: Parcel Plan (with Affordable Housing Distribution)

7.9 Figure 8, above, reproduces the parcel plan denoting the proposed block structure and showing the proposed distribution of affordable housing units. The delimitation identifies the proposed dwellings and curtilages and encompasses private drives. The shading excludes the tertiary streets that provide access to the dwellings and the visitor parking spaces serving the development.

Reserved Matters Site Area

7.10 As highlighted by Figure 8 the reserved matters submission is delimited by two parcels of land (edged red) and identified as R6 and R7; R6 comprising six residential blocks and R7 a single back-to-back block to the west of Old Vicarage Lane. The Primary Street that bisects the proposed residential development is subject to a separate reserved matters submission relating to the running carriageway for vehicular traffic, which determines the alignment of the infrastructure route and dictates the aspect of dwellings fronting onto the Street. The footway, visitor parking spaces, and verge on the eastern side of the Street and the visitor spaces, combined footway/cycleway, and verge on the western side are subject to this reserved matters submission. Access points onto the Primary Street should be determined with reference to this submission, which provides the necessary detail to determine the relationship between the proposed dwellings and the primary infrastructure regarding the positions of vehicular and pedestrian access points on the Primary Street. Any perceived inconsistencies between the reserved matters submissions relating to such matters should be resolved in favour of this submission.

Regulating Plans and Conditions Compliance

7.11 As set out above the outline planning permission establishes a series of requirements that future reserve matters submissions must meet to accord with the terms of the outline planning permission. Table 6, below, identifies the various requirements and describes (provides x-references to associated documents) how the submitted proposals satisfy the terms of the planning permission.

7.12 The following section of this statement addresses in detail the requirements of the approved Character Area Design Code (CADC) for Marston Gate and Nightingale Corner.

Table 6: Reserved Matters Compliance

Condition	Regulating Document	Provisions	Scheme Compliance
6.	**Phasing:** S/COND/21/1998 – 02/08/22: Phases of Development (LHL006-009 Rev D) and a Phasing Details Report (July 2022).	The report makes clear that the details establish the broad sequence for development and that there may be overlap and/or the need for the Phasing Strategy to be amended	The reserved matters parcels are within South Marston East – Phase 1 with access taken from the South Marston Primary Street that connects Thornhill Road to Old Vicarage Lane and which is subject to a single reserved matters application. It will provide construction access to mobilise the site and the first phase of development. The Primary Street shall be finished to adoptable standards prior to occupation of more than 50% of dwellings in any sub-phase served by the Primary Street. Residential development is to commence in the east in the location of parcels R6 and R7. The approved A420 junction and signal works are

Condition	Regulating Document	Provisions	Scheme Compliance
			to be in place prior to the occupation of any dwellings within the sub-phase. The design of the Primary Street shall be agreed as part of the Strategic Design Code (SDC) process (condition 8). See below. The phasing provisions relating to the wider area of South Marston East will be subject to separate reserve matter applications. The reserve matters submission is in accordance with the relevant phasing provisions approved pursuant to condition 6.
7.	**Development Framework/Illustrative Masterplan:** Development Framework Plan (DFP) LHL005-DFP-001 Rev A, Illustrative Masterplan (IM) LHL005/177F	All reserved matters shall be in broad accordance with these plans	The DFP and IM each show the reserve matters application area as a residential parcel bisected by the Primary Street running between Thornhill Road and Old Vicarage Lane with tertiary route connections to the east and west within the parcel. Open space adjoins to the north, south, and west with sections of hedgerow retained. The submitted plans accord with these provisions and meet the requirements of condition 7.
8.	**Strategic Design Code:** The Strategic Design Code (SDC) to be submitted and approved prior to the submission of the first reserved matters. SDC to identify individual character areas for which specific design codes will be prepared. Reserved matters submissions for each phase are required to demonstrate how the development shall accord with the approved Strategic Design Code.	The SDC contains a series of provisions that are to be followed across the outline permission. A number of these are commuted into the supplementary Character Area Design Code (CADC) documents to be approved under condition 9 (see below). Where provisions within the SDC are expanded upon by the relevant CADC these are addressed in the context of the more detailed document.	**Primary Street**: The parcels, R6 and R7 are bisected by the Primary Street that runs in accordance with the delineation shown by the SDC, north to south through the sub-phase. The Primary Street is subject to a separate RM submission. **Key Space**: The key space lies to the north of the parcels outside of the scope of this RM application. An area of incidental, planted open

Condition	Regulating Document	Provisions	Scheme Compliance
	S/COND/22/0315 Approved on 01/05/24.	• **Primary Street** – bisecting the parcel • **Key Space** - (to the north outside the parcel) containing Play Space and Allotments • **All Modes Access** – via the Primary Street and Old Vicarage Lane • **Secondary Footpath** (2m) – to the south and west outside the parcel • **Proposed Swales** – to the south and west outside the parcel	space links into the key space to the north supplementing it and extending the area of GI beyond the area provided for by the SDC. Within blocks 1, 2 and 7 dwellings are oriented to address the key space. **All Modes Access:** Provision is made for vehicles, pedestrians, and cyclists via both routes. The Primary Street is flanked by a LTN120 compliant combined cycle/pedestrian route along the western edge, with a segregated 2.0m pedestrian path adjoining the eastern edge of the Primary Street. **Secondary Footpath:** Lies outside of the RM area to the south and west. Dwellings are oriented to address the footway and associated open space creating an active frontage and providing surveillance. **Proposed Swales:** The swale network also lies within the open space beyond the boundary of the RM application.
9.	**Character Area Design Code:** Character Area Design codes (CADC) are to be prepared for each character area prescribed by the SDC. Parcels R6 & R7 to which this reserved matters submission relates lie within the Marston Gate and Nightingale Corner (MGNC) (South Marston) Character Area. The MGNC CADC: S/COND/22/0315 was approved on 12 July 2024**.** Reserved matters should include a checklist which demonstrates how the	**Key Provisions with which to accord:** • **Key frontages** • **Landscape led gateways** • **Pedestrian/cycle provision/connections** • **Incidental open space** • **Parking strategy** ○ **On street**	See following section for comprehensive explanation of design compliance.

Condition	Regulating Document	Provisions	Scheme Compliance
	proposals accord with the approved CADC.	○ **Garages/car ports** ○ **Shared areas** ○ **On-plot** ○ **Cycles** • **Primary Street frontage** • **Old Vicarage Lane frontage** • **Parkland Edge** • **Local Character and built form** • **Landscaping**	
10.	**Framework Landscape Ecology, and Arboricultural Management Plan (FLEAMP):** To be submitted and approved prior to the submission of the first reserved matters application. The FLEAMP S/COND/22/0316 was approved on 19 December 2023. Each RM submission to include a Landscape Ecology, and Arboricultural Management Plan (LEAMP) that demonstrates compliance with the FLEAMP.	**Figure 5a – Area Habitat Retention** **Figure 5b – Hedgerow Retention** **Figure 6a – Proposed Habitats** **Figure 6b – Proposed Habitats Ph 1-2**	**5a:** All habitat within the RM area shown as lost. An area of incidental GI adjacent and linked to the Key Space to the north is provided exceeding the provision identified in the FLEAMP. **5b:** The retained hedgerows lie outside of the RM application area and are subject to separate planning submissions. **6a/6b:** The RM proposals accord with the habitat descriptions contained within the FLEAMP – residential/sealed surface infrastructure.
11.	**Landscape, Ecology, and Arboricultural Management Plan (LEAMP)** To accord with the FLEAMP and include updated Phase 2 surveys (where existing surveys are more than two-years old).	LEAMP to accompany each reserve matters submission.	See LEAMP submitted as part of the RM application.

Condition	Regulating Document	Provisions	Scheme Compliance
12.	**Arboricultural Assessment (February 2017)**	Reserve matters submissions to accord with the approved arboricultural assessment. FLEAMP denotes approach to be taken (condition 10, above).	See condition 10 above.
24.	**Electric Vehicle Charging Points**	To accord with SBC Technical Guidance on Parking Standards (August 2021)	All dwellings are provided with an EV charging point on accordance with SBC standards. Three forms of provision are proposed (Plan PL-07): 1. Charging points attached/within garages 2. Charging points on plot – driveways 3. Charging points 'remote' -0 assigned to parking spaces.
25.	**Turning Facilities**	Each reserved matters application shall include sequencing details for the delivery of 'roads/routes' as approved under Condition 6 (Phasing), together with the provision of vehicular turning facilities. The works shall be implemented in accordance with the approved details.	Turning heads are shown on the submitted Planning Layout. The turning heads will be provided prior to the occupation of the dwellings to which they serve. A detailed sequencing plan will be included in the Construction Method Statement that will be submitted in due course to discharge Condition 36.
48.	**Noise 2 – Internal Noise Levels**	The proposed residential units shall be designed to meet the indoor ambient noise levels contained in British Standard 8233:2014. The condition also requires that noise levels shall not exceed 50dB LAeq, (16hour) in private external amenity spaces, with the exception of the areas illustrated in red on plan 16/0492/SK7-1 (plots 70-78, 90-91), where the development will be designed to control noise levels in	The RSK Noise Assessment forming part of the RM submission demonstrates that the internal noise levels stipulated by condition 48 can be met for dwellings within parcels R6 and R7 using standard thermal double glazing (windows closed). External noise levels in private amenity areas can be achieved kin accordance

Condition	Regulating Document	Provisions	Scheme Compliance
		private external amenity spaces to 50dB LAeq,16hour wherever practicable, and shall not exceed 55dB LAeq,16hour.	with the requirements of the condition through a combination of proposed building orientation (for the affected plots) and the introduction of close-boarded noise barriers (fencing) for the most acutely affected plot (75). The requirements of the condition are met.
49.	**Noise 3 - Mechanical Ventilation**	Where prescribed acceptable noise levels (condition 48) are exceeded with windows partially open suitable mechanical ventilation systems shall be specified.	Plots 70-78 and 90-91 will be required to incorporate System 3/System 4 design strategies under Building Regulations Part F to meet the requirements of conditions 48/49. A suitably worded condition may be imposed on the RM decision notice to require scheme approval for the affected plots. A condition should also be imposed to require approval of the detailed ventilation strategy to ensure compliance with Building Regulations Approved Document O (overheating), as a consequence of the acoustic strategy.
55.	**Wheelchair Accessible Housing**	At least 2% of the development (2,380) shall be wheelchair accessible homes (48 dwellings). • Details of provision to be made. • Plan and schedule to be submitted alongside first RM. • Each RM to demonstrate compliance with the approved plan and schedule. • The condition applies to the whole scheme.	The RM submission proposes three M4(3) dwellings – plots 29, 32 and 46, which satisfy the wheelchair accessibility criteria imposed by condition 55. The level of provision for the sub-phase (parcels R6/R7 – 137 dwellings) exceeds the 2% requirement (2.2%), meeting the obligation for this sub-phase.

8. Marston Gate and Nightingale Corner Character Area Design Code

8.1 There are a series of key provisions set out within the approved Character Area Design Code (CADC) that should be met by the reserved matters.

Key Frontages – Access and Movement

8.2 The **Primary Street** coding instructions require the route to be safe, clear, direct, and attractive and to accommodate all modes of travel. Bus routes and stops shall be accommodated. Either side of the carriageway a 2.0m wide footway will be provided, with a 3.0m wide cycle path on the southern side. Where development is proposed on both sides of the primary street the main running carriageway will be 6.75m wide with a 2.5m verge to contain tree planting that alternates in sequence along the route. Parking may be accommodated within the verge parallel with the running carriageway. Direct access to dwellings may be taken from the Primary Street with vehicle crossovers limited in number where the cycle route is provided. Grouped access to dwellings and parking areas is encouraged subject to adequate lighting and surveillance. Front gardens are delineated by estate railings and hedge planting.

8.3 The running carriageway of the Primary Street is subject to a separate reserve matters application. This submission includes the margins either side of the carriageway and access points and vehicle crossovers.

8.4 The western (southern) side of the Primary Street proposes front gardens delineated by estate railings and hedge planting. A 2.0m wide footway/3.0m wide cycleway is proposed with a 2.5m wide verge/tree planting /parallel parking (six bays) zone running between the entrance to parcel R6 (adjacent to plot 88) and plot 103. From this point the verge and parallel parking zone (five bays) is provided on the eastern (northern) side of the Street. A 2.0m wide footway is provided along the eastern (northern) side of the carriageway.

8.5 Street tree planting is proposed on either side of the Primary Street within the verges. Ten trees are proposed.

8.6 Two Tertiary Street junctions are proposed (to parcel R6) on the western side of the Street, together with four rear parking/garage area accesses. From south to north these serve plots 86 and 87 (1), 100-103 (2), 104 (3), and 15-17 (4).

8.7 The Street accommodates a bus route.

8.8 The reserved matters accord with the provisions of the coding instructions.

8.9 The **Tertiary Streets** comprise the remainder of the access routes within the reserved matters area, the typical profiles are described within the CADC. Within the residential parcels streets will be 5.0m wide, with 2.0m footways on either side of the carriageway (9.0m). Front gardens are typically 0.5-3.0m deep. Frontage parking is permitted.

8.10 Along the edges of parcels adjoining open space the extent of the highway may reduce to 7.8m (4.8m shared surface, 2.0m access strip, 1.0m verge).

8.11 Private drives will comprise a 4.8m wide shared surface with a 1.0m privacy strip adjacent to dwellings and their front gardens.

8.12 The 9.0m wide streets proposed throughout Parcel R6 adhere to the coding instructions. Parcel R7 does not include any Streets of this type. Parcel R7 includes access arrangements that follow the coding requirements applying to 7.8m

wide carriageways (plots 123 – 133). The private drives are designed to accord with the provisions of the coding instructions and are limited to five no. dwellings.

Vehicle Parking

8.13 Parking is provided at an average of 2.5 spaces per dwelling (343 spaces) with 34 visitor spaces (25%). The Parking Plan (PL-08) identifies the distribution of spaces by type (Garage space, parking space – driveway/assigned, visitor space). Parking is provided in accordance with the SBC Technical Standards (minimum levels of provision) (Sector 3):

- 1-bed 1 space
- 2/3-bed 2 spaces
- 4-bed 3 spaces

8.14 The schedule of parking provision is set out in Table 7 below:

Table 7: Parking Schedule

Block	Plot	Beds	Spaces	Garages
1	1	4	2	1
	2	4	2	1
	3	4	2	1
	4	4	4	2
	5	2	2	0
	6	2	2	0
	7	2	2	0
	8	2	2	0
	9	3	2	0
	10	3	2	0
	11	4	2	1
	12	4	2	1
	13	4	2	1
2	14	4	2	2
	15	4	2	1

Block	Plot	Beds	Spaces	Garages
	16	4	2	1
	17	4	2	1
	18	4	2	2
	19	3	2	0
	20	3	2	0
3	21	3	2	0
	22	3	2	0
	23	2	2	0
	24	2	2	0
	25	3	2	0
	26	3	2	0
	27	3	2	0
	28	3	2	0
	29	1	1	0
	30	1	1	0
	31	2	2	0
	32	1	1	0
	33	1	1	0
	34	2	2	0
	35	2	2	0
	36	2	2	0
	37	3	2	0
	38	3	2	0
	39	3	2	0

Block	Plot	Beds	Spaces	Garages
	40	3	2	0
	41	2	2	0
	42	2	2	0
	43	2	2	0
	44	2	2	0
	45	2	2	0
	46	1	1	0
	47	1	1	0
	48	3	2	1
	49	3	2	1
	50	3	2	1
	51	3	2	1
	52	4	2	1
	53	4	2	1
	54	4	2	1
	55	3	2	1
	56	3	2	1
	57	4	2	1
	58	4	2	1
	59	3	2	1
	60	3	2	1
	61	4	4	2
4	62	3	2	0
	63	3	2	0

Block	Plot	Beds	Spaces	Garages
	64	3	2	0
	65	3	2	0
	66	3	2	0
	67	3	2	0
	68	2	2	0
	69	2	2	0
	70	3	2	1
	71	4	2	1
	72	4	2	1
	73	4	2	1
	74	4	2	1
	75	4	4	2
	76	4	4	2
	77	4	4	1
	78	4	4	1
5	79	2	2	0
	80	2	2	0
	81	2	2	0
	82	2	2	0
	83	2	2	0
	84	2	2	0
	85	4	2	1
	86	4	2	2
	87	4	2	2

Block	Plot	Beds	Spaces	Garages
	88	4	2	1
	89	3	2	1
	90	4	2	1
	91	3	2	1
6	92	3	0	0
	93	3	0	0
	94	3	0	0
	95	3	0	0
	96	3	0	0
	97	3	0	0
	98	3	1	1
	99	4	1	1
	100	4	1	1
	101	4	1	1
	102	4	1	1
	103	4	1	1
	104	4	1	1
	105	3	0	0
	106	3	0	0
7	107	3	2	0
	108	3	2	0
	109	3	2	0
	110	3	2	0
	111	2	2	0

Block	Plot	Beds	Spaces	Garages
	112	2	2	0
	113	3	2	0
	114	3	2	0
	115	3	2	0
	116	3	2	0
	117	4	2	1
	118	4	2	1
	119	4	2	1
	120	4	2	1
	121	4	2	1
	122	4	2	1
	123	3	2	0
	124	3	2	0
	125	3	2	0
	126	3	2	0
	127	3	2	0
	128	3	2	0
	129	3	2	0
	130	4	2	0
	131	3	2	0
	132	3	2	0
	133	4	2	0
	134	4	2	1
	135	4	2	1

Block	Plot	Beds	Spaces	Garages
	136	4	2	1
	137	4	2	1

8.15 All dwellings are provided with an electric vehicle (EV) charging point.

8.16 The design of parking provision is in accordance with the requirements of the CADC by type and distribution. Where frontage parking is provided to serve dwellings continuous provision of bays is limited to six no. with provision broken up by planted margins, with trees provided where practicable in accordance with the requirements of the layout.

8.17 Cycle parking will be provided in accordance with SBC standards: 1 secure space for 1-2-bed dwellings (excluding M4(3) dwellings) and 2-spaces for 3+-bed dwellings. Dwellings provided with garages will incorporate cycle parking provision within the garages (which will satisfy minimum dimensions – 6.0m x 3.0m), where no garage space is provided secure lockable sheds will be provided within rear gardens.

Built Form and Identity

Landscape Design

8.18 **Tree Strategy:** Space should be provided within the residential layout to accommodate tree planting; to terminate views, to act as gateway features, and to 'soften'/frame buildings, parking bays, and side boundaries. Trees are used throughout the residential parcels to achieve these objectives. Trees are placed within verges alongside boundary features throughout (eg. Parcel 1 - plots 4, 7, 11); to break up parking areas (frontage and rear parking) (eg. Parcel 3 – parking areas serving plots 29-43); to act as gateway markers (eg. Parcels 4/5 plots 69 and 79, plots 117,118 and 88).

8.19 **Landscape led Gateways and Key Community Green Space:** Gateways exist within the RM application site (Primary Street – Village interface with Rural/Parkland (adjacent plots 88-117) and the Key Space is located to the north. Street trees are also to be used to create character. The southern entrance to the Village section of the Primary Street is flanked by large trees with verge and extended margin planting combined to create a stronger gateway impression; thereafter the Primary Street incorporates street trees (5 no. on the western/southern edge and 4 no. on the eastern/northern edge) for the full length of the Street within Parcels R6/R7. The northern street trees are adjacent to the incidental area of public open space that adjoins and complements the Key GI Space immediately to the north of the application site. This area is planted with grouped specimen trees to extend and integrate the Key Space into the residential parcels. Dwellings front onto this area creating an active frontage.

8.20 **In Parcel Landscape Design:** Extra heavy standard (EHS) trees (14-16cm girth) are used throughout the proposed development in accordance with the provisions of the CADC. Refer to Plan BP-400-A for type and distribution details. 113 no. EHS trees are specified. Soft landscaping proposals are in accordance with terms of the CADC and are described on plans BP-401-A, 402-A, and 403-A.

Built Form Framework

8.21 Primary Street Frontage:

1.	**Overall Character**	**Formal, regular building line parallel to Primary Street.**

2.	**Set Back**	**Consistent building setbacks and uniform front garden size of minimum 0.5m.**
3.	**Frontage and Corners**	**Dwellings to front onto the Primary Street overlooking the public realm.** **Dwellings at corner locations must be dual aspect.**
4.	**Building Types**	**Terraces, semi-detached, detached, apartments, symmetrical, continuous frontage**
5.	**Building Height**	**Predominantly 2 storeys, 2.5/3 storeys in carefully considered locations.**
6.	**Roofscape**	**Consistent, pitched and gabled roofs, vertical emphasis.**
7.	**Building Material**	**Primarily red/multi red and buff brick colour to create uniformity - accents of light colour render and variety in roof colours.**
8.	**Architectural Features**	**Vertical emphasis encouraged: front porches, stone gable vents, dormers.**
9.	**Boundary Treatment**	**Estate railings (1.0m) with soft planting.**

8.22 **1**. Dwellings are aligned parallel to the Primary Street and adopt regular and consistent spacing arrangements, broken to facilitate parking requirements

8.23 **2**. Front gardens achieve the minimum prescribed depth of 0.5m and are arranged consistently and formally with minimal variation to produce the desired regularity of frontage. Setbacks are consistent and formal.

8.24 **3.** Front elevations all address the Primary Street. Plots 16, 18, 104, 99, 85, and 88 are located on the southern/western side of the Primary Street in dual aspect locations on the corners of Tertiary Street junctions and facing onto the northern Key Space (Parkland) Edge. Plots 1, 4, and 14 also adopt dual aspect positions; plot 1 has a dual aspect onto the Key Space and adjoining parkland, while plots 4 and 14 face the Key Space and also adjoin the Tertiary Street between Parcels 1 and 2. All these plots are 4-bed dwellings, with all, apart from plots 4, 14, and 18, having side facing (dual aspect) elevations containing a ground floor projecting 5-light bay window and 4 no. 2-light casement windows at ground and first floor levels, achieving the dual aspect objective. Plots 4, 14, and 18 have side elevations facing onto Tertiary Streets that all contain 5 no. 2-light casement windows at ground and first floor levels that achieve the dual aspect requirement.

8.25 **4.** Dwellings are a mix of detached and semi-detached house types.

8.26 **5.** All dwellings are two-storeys.

8.27 **6.** The roofscape comprises pitched roofs with forward projecting gables and gablet punctuation at eaves height to provide interest and vertical emphasis.

8.28 **7.** Facing materials for elevations comprise weathered buff and red bricks (Ibstock Aston) and slate grey and terracotta roof materials (Russell Galloway).

8.29 **8.** The house types fronting onto the Primary Street all incorporate elements of the architectural features identified within the coding requirements; all include pitched roofed entrance porches, and there are a series of projecting, pitched gables repeated within the frontage. As noted above, projecting bay windows are a feature of corner locations and eaves line gablet features also appear to provide interest and variety.

8.30 **9.** Metal estate railings with supplementary hedgerow plating defines the front gardens in accordance with the coding requirements.

8.31 Old Vicarage Lane Frontage:

1.	**Overall Character**	**Informal, verdant character.**
2.	**Set Back**	**Variation in building line and setbacks.**
3.	**Frontage and Corners**	**Active frontages to address public realm. Dual aspect at corner locations**
4.	**Access**	**Private drive access from tertiary streets (max. 5 no. dwellings). Some direct access from OVL subject to minimum disruption of existing planting.**
5.	**Parking**	**On plot and garages, occasional on-street, well-screened.**
6.	**Building Types**	**Detached and semi-detached, some terracing away from OVL frontage. No apartments.**
7.	**Building Height**	**Predominantly 2 storeys, 2.5/3 storeys in carefully considered locations.**
8.	**Roofscape**	**Variation in roofscape to create interest.**
9.	**Building Material**	**A palette of material consisting of primarily multi-red, buff reconstituted stone and occasional off-white render to be used, conforming with the existing development along OVL**
10.	**Architectural Features**	**Traditional to reflect OVL character.**
11.	**Boundary Treatment**	**Low level planting and railings**

8.32 **1.** The frontage to Old Vicarage Lane (OVL) retains existing landscaping and introduces further tree planting into front gardens and incidental areas of open space. A mix of dwelling types and looser spacing creates a less formal frontage, compared to the Primary Street.

8.33 **2.** Front gardens all achieve the minimum specified depth of 2.0m and incorporate larger and deeper front gardens to create more variety (plots 121, 122, 126, 127, 129, 133). Some variation in alignment and orientation is proposed (120, 133) to contribute to the more irregular arrangement. Deeper setbacks with more space for planting/retained landscaping support the informal feel.

8.34 **3.** The plots at either end of this section of frontage (133 and 120) adopt dual aspect positions, each have side elevations containing windows to habitable rooms at ground and first floor levels to provide surveillance and articulation.

8.35 **4.** Three vehicle crossovers are created onto OVL, serving plots 121 and 122 (2 no.), 122-126 (5 no.), and 128-133 (6 no.). All take the form of private driveways, albeit that the northern most crossover serves six plots, the exception made to avoid the need to add a separate dedicated direct access, the provision of which would require the removal of mature trees within the boundary landscaping. The access proposals are consistent with the coding instructions in all other respects.

8.36 **5.** Parking is provided on plot and within garages, there is no on-street provision.

8.37 **6.** Dwellings are all detached and semi-detached.

8.38 **7.** Buildings are all two-storeys.

8.39 **8.** The roofscape comprises pitched roofs with parallel ridge lines, pitched roofs with front-facing gables, and hipped pitched roofs.

8.40 **9.** Facing materials comprise predominant use of buff coloured reconstituted stone (Bekstone), with chalk render (Weberpral) at either end of the frontage (120, 133). Roofing materials are consistently terracotta (Russell Galloway).

8.41 **10.** Architectural detailing is traditional domestic with use of pitched front porches to reflect the prevailing **11.** character.

8.42 **11.** Boundary demarcation is provided by hedge planting and rails.

8.43 Parkland Edge:

1.	**Overall Character**	**Informal, verdant character, soft edges.**
2.	**Set Back**	**Variation in building line and setbacks.**
3.	**Frontage and Corners**	**Active frontages to address public open space. Dual aspect at corner locations to aid surveillance of parkland and routes. Permeable frontage.**
4.	**Access**	**Private drive access from tertiary streets (max. 5 no. dwellings). Shared surfaces.**
5.	**Parking**	**All typologies subject to on-street parking limited to 2 no. spaces in array. Filtered views of parking to be achieved through planting.**
6.	**Building Types**	**Predominantly detached and semi-detached, short rows of terraces with filtering provided by landscaping.**
7.	**Building Height**	**Predominantly 2 storeys, 2.5/3 storeys in carefully considered locations.**
8.	**Roofscape**	**Variation in roofscape to create interest and informality.**

9.	**Building Material**	**Variety of material and rural typology. Accenting – eg weatherboarding.**
10.	**Architectural Features**	**Variety and use of large openings.**
11.	**Boundary Treatment**	**Low level planting and railings boundary walling to reflect dwellings.**

8.44 **1.** The retained landscaping and supplementary planting create a soft, transitional edge to the constituent parcels within R6.

8.45 **2.** Alignment is set back to create wider margins for planting and incidental spaces, front gardens and intermediate areas of open space (at the adjoining ends of private driveways – plots 57-58) with supplementary tree-planting contribute to the loosening of the urban grain. Offset alignments (plots 1 and 75) interrupt the continuity of building line. Irregular spacing, different driveway widths, and occasional offsetting create variation and interest.

8.46 **3.** All frontages to open space are principal/active and positive. Permeability exists via pedestrian connections to the perimeter footway and tertiary street/private driveway connections. Dual aspects exist at corner locations and dwellings address the perimeter open spaces.

8.47 **4.** Access to dwellings is via private drives with shared surfaces. Maximum of five dwellings.

8.48 **5.** Parking is achieved via private driveways and garages, with parallel visitor parking bays designed into the streetscene (private drives).

8.49 **6.** Dwellings are all detached.

8.50 **7.** Two storeys throughout.

8.51 **8.** Pitched roofs with forward projecting gables.

8.52 **9.** Facing materials are a combination of weathered red and buff bricks (Ibstock Aston) with accent black weatherboarding (plots 78, 53, 11). Roof materials slate grey (Russell Galloway).

8.53 **10.** Larger aspect fenestration (4-light casements and 5-light bay windows) used to exploit views over adjoining open space.

8.54 **11.** Hedge planting with screen walls to private amenity areas to match dwelling.

Recycling and Waste Management

8.55 The layout and dwelling types proposed facilitate external access to rear/side private amenity space in all cases. Consequently, refuse storage can be achieved within private spaces out of public view. All plots have individual external access to driveways/the street. Bin stores within front gardens/designed into dwellings are therefore not required.

Inclusive Design

8.56 The coding requirements relating to inclusive design at paragraphs 5.39-44 of the CADC are met by the proposals.

9. Conclusion

9.1 The proposals are in accordance with the relevant provisions of the outline planning permission and meet the requirements of the Strategic Design Code and Character Area Design Code and all regulatory plans and supporting documentation relating to the reserved matters.

NEXUS
PLANNING