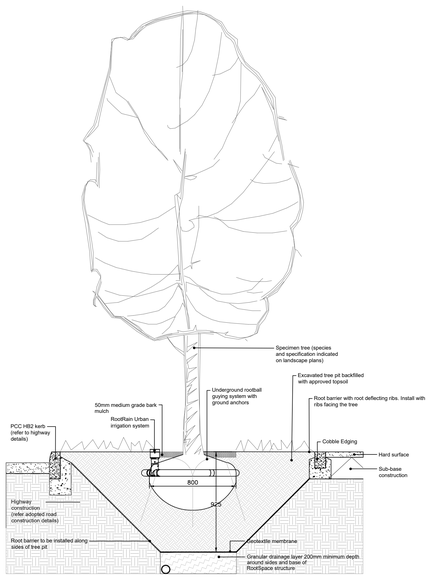

Section 1:20
Tree Pit Detail - Roadside Verge

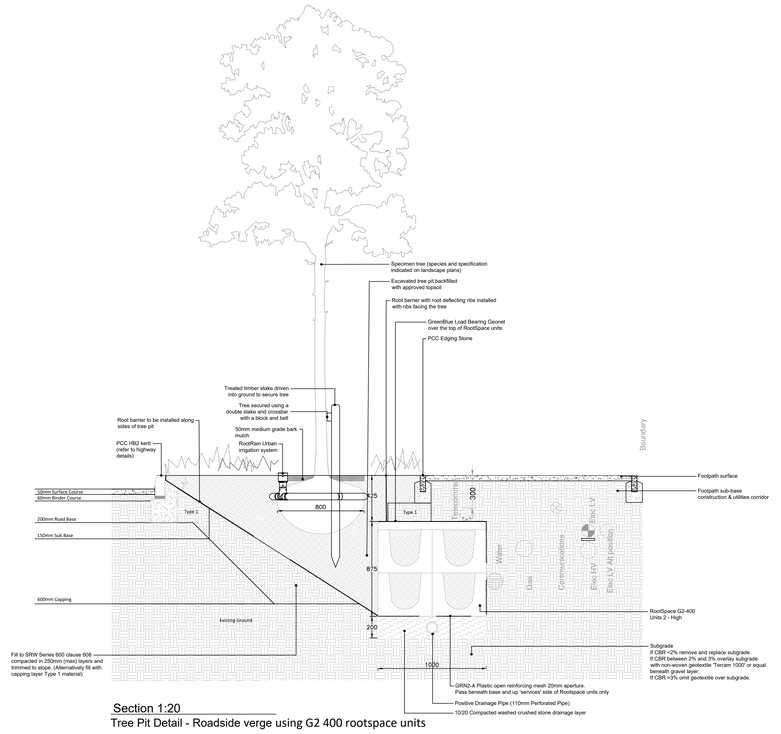

Section 1:20
Tree Pit Detail - Roadside verge using G2 400 rootspace units

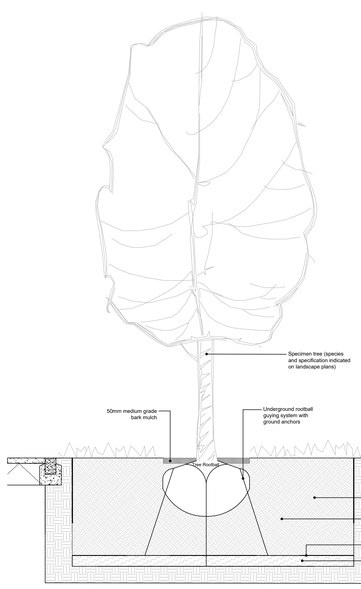

Section 1:20
Tree Pit Detail - Planting Beds

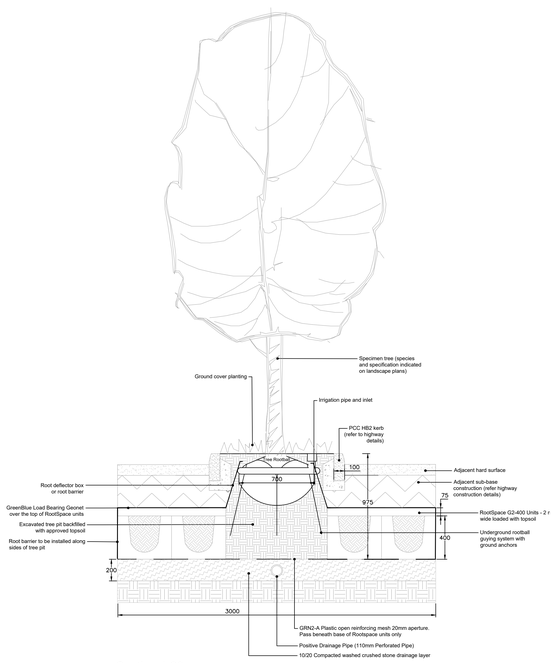

Section 1:20
Tree Pit Detail - Narrow tree pit with G2 400 rootspace units

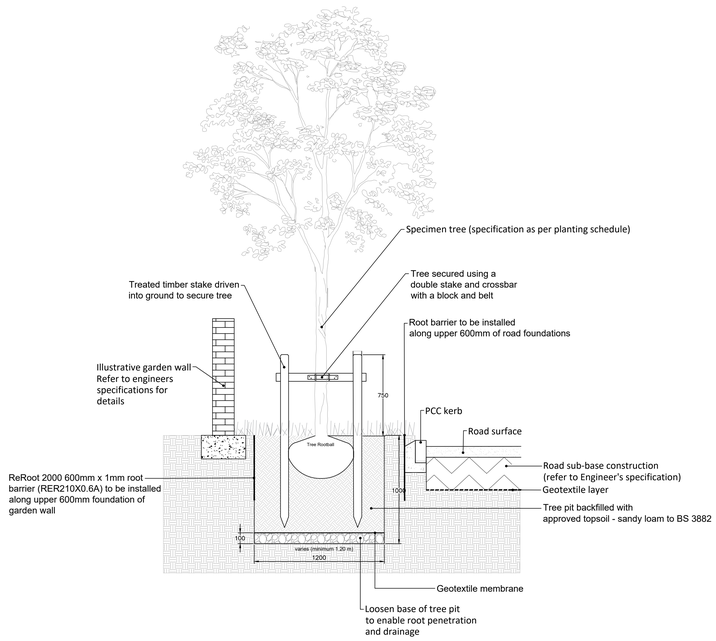

Section 1:20
Tree Pit Detail - Narrow tree pit next to walls, paths, drives

© this drawing and the building works depicted are the copyright of **idp** and may not be reproduced or amended except by written permission, no liability will be accepted for amendments made by other persons.

all dimensions to be checked on site and landscape architect notified of any discrepancies prior to commencement.
do not scale.

NOTES:

1.0 Do not scale from drawing, use figured dimensions only
1.1 This drawing to be read in conjunction with all other IDPL drawings and specifications
1.2 Information shown on these drawings is not valid for Construction. Please refer to the status of the drawing in the Title and Issue box
1.3 Do not procure or manufacture materials, or undertake construction site works from this drawing unless the issue status is noted as 'for construction'.
1.4 Any contractor that chooses to take forward this information for construction without full review process and sign-off does so at their own risk.
1.5 All measurements are to be checked on site prior to construction.
1.6 Where any conflict or inconsistency occurs between drawing and specification information the Contractor is to immediately notify IDPL prior to continuing working.
1.7 Information to be read in coordination with Structural Engineer & M&E Engineer drawings & spec; Where any conflict or inconsistency occurs between IDPL and Engineers drawing and specification information the Contractor is to immediately notify IDPL prior to continuing working.
1.8 Proposed drainage runs to be located within adoptable road carriageway and/or hardstanding where possible, please refer to separate drainage design.

PLANTING NOTES
General

1. All planting and operations should comply with the latest version of BS 4428 'General Landscape Operations' and BS 3936 'Nursery Stock - Specification for Trees & Shrubs'.

2. All plants shall be supplied in accordance with the HTA National Plant Specification and from a HTA certified nursery, and in accordance with CPSE Code of Practice for 'Handling and Establishing Landscape Plants, Parts I, II and III.

3. All existing trees and hedges shall be surveyed and protected in accordance with BS 5837:2012, and temporary protection fencing erected for the duration of the construction period. Refer to arboricultural consultants drawings for location and details.

4. Specification of species, position and density shall be in accordance with drawing and planting schedule provided, and should not be amended without prior approval of the Landscape Architect. For detailed landscape specification information, please refer to the relevant documentation accompanying this drawing.

Ground conditions/ Topsoil

5. All topsoil areas should be clear of rocks and rubble larger than 50mm diameter and any other debris that may interfere with the establishment of plants.

6. Imported topsoil to be multi-purpose grade and free of all contaminants, in accordance with the latest version of BS 3882:2015 Specification for Topsoil. Topsoil analysis should be undertaken and reported, with recommendations for improvements if below the standard for general landscape purposes.

7. Minimum topsoil depths should be as follows unless specified otherwise. Suitable (loosened) subsoil should provide the remainder of this rooting depths as required, and mixed with peat-free compost. Subsoil preparation shall be in accordance with BS 8601 and BS 4428 and scarified /tipped to a suitable depth prior to spreading of topsoil. Any weed/grass growth to be sprayed with appropriate herbicide at least 10 days prior to cultivation:
   - Ornamental shrubs 450mm;
   - native shrubs 300mm;
   - seeded grass 150mm;
   - wildflower grass 50mm, or directly into existing ground;
   - tree pits to be excavated as per details.

Cultivation

8. Planting outside the usual October-March dormant season shall be pursued by approval only. If agreed all bare root plants shall be substituted with container grown stock, with additional establishment watering.

9. Plants shall be bedded in a staggered fashion to avoid formal regimented lines at densities indicated in the schedule, except for specimens, which are to planted in locations shown on the drawing. For mixes: shrubs should be planted in groups of 3, 5 or 7 of the same specimen, perennials & grasses should be planted in groups of 3 to 6. Please note: taller plant species to be planted to the rear with lower species to the front.

10. All planting areas and specimens should be watered in to field capacity immediately after planting and mulched with minimum of 50mm depth of medium grade crushed mulch. Where necessary, plants to be protected with rabbit fence and/or individual rabbit guard securely fixed to timber stakes.

Trees & Foundations

11. All trees to be supplied, planted and established in accordance with BS 8545. Trees adjacent to buildings and services shall include root barriers where necessary and should be planted in positions as indicated on the drawings.

12. All foundation designs provided by the architect/engineer must consider the effect of existing trees, and the proposed landscape scheme in accordance with the NHBC Standards. Every effort has been made within the design to follow advice in Chapter 4.2 of the Standards, however landscape proposals should be referred to a structural engineer for checks and any conflicts made known to the Landscape Architect for necessary changes.

13. The contractor is responsible for checking locations of all existing and proposed services, and shall advise the Landscape Architect if there are any conflicts.

14. Trees within hardstanding or highways visibility splays shall be clear stem to 2m high unless specified otherwise.

Maintenance

15. Management operations for the site shall be carried out as detailed in the agreed maintenance schedules at regular intervals, in accordance with any agreed Landscape Management Plan.

16. Any tree or plant which, within a period of 5 years from the implementation, dies, is removed or becomes seriously damaged or diseased, shall be replaced in the next planting season with another of a similar size and species unless otherwise agreed with the Local Planning Authority.

Tree Pits

17. Tree pits in soft areas only are estimated based on areas shown on plan multiplied by tree pit depth (0.9m) with allowances for wall foundations and kerb build ups as appropriate. Tree pits with supplementary root space soil cells are estimated based on areas shown on plan in soft areas multiplied by tree pit depth (0.9m) and areas under hard surfaces multiplied by soil cell depth (0.4m).

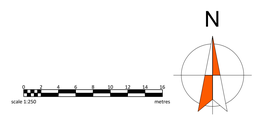

rev.	date:	comment(s):	drawn:	check:
-	mi.mi.mi	-	--	--

IDP
ARCHITECTURE
URBAN DESIGN & MASTERPLANNING
LANDSCAPE & ENVIRONMENT

status: Planning RIBA Stage: 4
client: Vistry Group
job: R6 R7 Woodlands, South Marston
title: Tree Pit Details
drawn: DM / EC date: 10.10.24
checked: EC scale @ a1: 1:20
drwg no: IDPL LA5979-BP-404 rev: --

IDP GROUP 27 SPON STREET COVENTRY CV1 3BA
T: **+44 (0)24 7652 7600** E:info@idpgroup.com
www.weareidp.com