Original Drawing Size A1



Overland Flow Section (OF1)

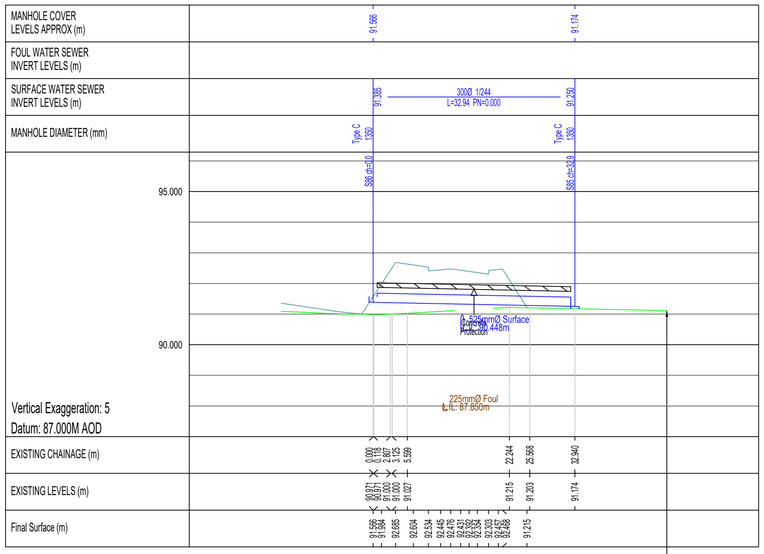

Overland Flow Section (OF2)

Earthworks to be re-profiled both sides for continuation of overland flow

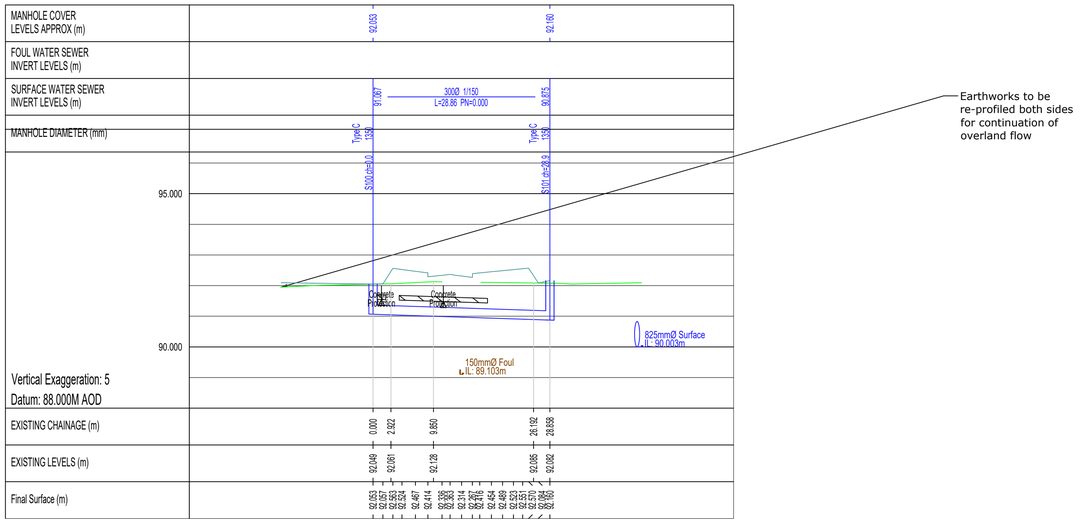

Overland Flow Section (OF3)

Earthworks to be re-profiled both sides for continuation of overland flow

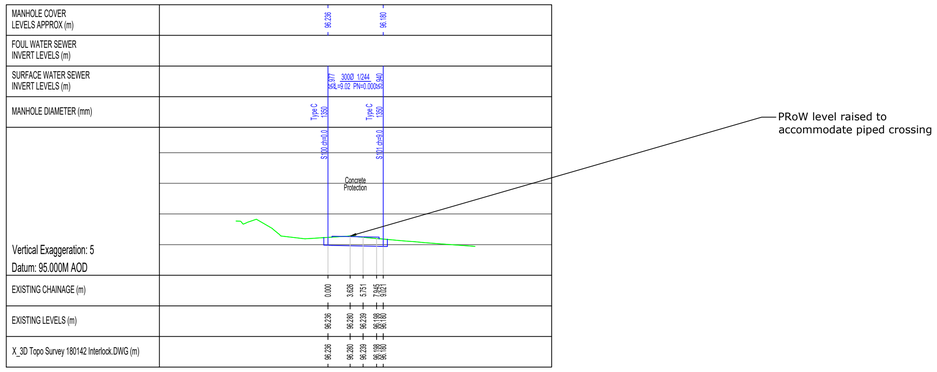

PRoW level raised to accommodate piped crossing

Overland Flow Section (OF4)

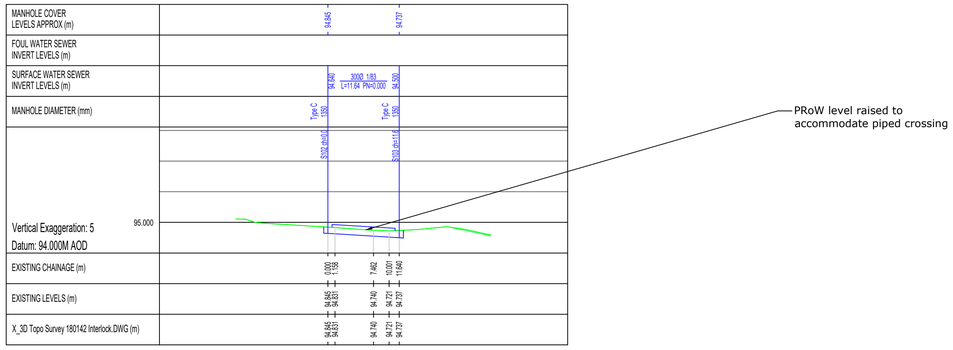

PRoW level raised to accommodate piped crossing

Overland Flow Section (OF5)

Construction Design and Management (CDM)

Key Residual Risks

Contractors entering the site should gain permission from the relevant land owners and/or principle contractor working on site at the time of entry. Contractors shall be responsible for carrying out their own risk assessments and for liaising with the relevant services companies and authorities. Listed below are Site Specific key risks associated with the project.

1) Overhead and underground services
2) Street Lighting Cables
3) Working adjacent to water courses and flood plain
4) Soft ground conditions
5) Working adjacent to live highways and railway line
6) Unchartered services

NOTES:

1. Scale only for Planning purposes.
2. All dimensions are in metres unless otherwise stated.
3. Brookbanks consulting ltd has prepared this drawing for the sole use of the client. the drawing may not be relied upon by any other party without the express agreement of the client and Brookbanks consulting ltd. where any data supplied by the client or from other sources has been used, it has been assumed that the information is correct. no responsibility can be accepted by Brookbanks consulting ltd for inaccuracies in the data supplied by any other party. the drawing has been produced based on the assumption that all relevant information has been supplied by those bodies from whom it was requested.
4. No part of this drawing may be copied or duplicated without the express permission of Brookbanks consulting ltd.
5. All dimensions and all levels in metres unless noted otherwise.
6. Any discrepancies noted on site are to be reported to the engineer immediately.
7. All works within existing public highway, including any temporary works or traffic management measures, are subject to the approval of Swindon Borough Council. when works are required on the public highway, the contractor shall liaise with and obtain all statutory approvals from Swindon Borough Council, before commencing these works. these approvals include, but are not limited to, approval of traffic management measures, issue of works commencement notices, road opening notices, temporary traffic regulation orders etc.
8. All traffic management shall comply with the requirements as set out in chapter 8 of the traffic signs manual. warning signs may be erected outside the indicated boundaries. any obstructions to traffic or pedestrians shall be properly signed and protected with barriers, cones, signs, and lamps.
9. All planting in visibility splays to be agreed and approved by Swindon Borough Council and in all cases no planting to be above 600mm in height above the carriageway. also no obstructions of any kind within the visibility splay areas.
10. All tactile areas to be laid in accordance with detr "guidance on the use of tactile paving surfaces".
11. All traffic signs and road markings are to be in accordance with the 'Traffic Signs Regulations and General Directions 2016'.
12. Any damage caused to existing footways, roads or other third party property to be made good to the county engineers requirements.
13. Temporary works associated with the construction of the works shall be the responsibility of the contractor.
14. For landscaping details, refer to FPCR landscape plan reference '1796-L-101'.
15. Where spine road crosses existing ditch courses that will become redundant with parcel development, shallow drainage channels shall be provided to outfall to proposed SuDS features.

B	Updated following SBC comment tracker 03/04	CDW	CM	SM	02.05.25
A	Updated following SBC highways comments	CDW	CM	SM	13.02.25
-	First Issue	CM	CM	SM	07.08.24

BROOKBANKS

6150 Knights Court, Solihull Parkway, Birmingham, B37 7WY
T +44 (0)203 958 5400 E mail@brookbanks.com
W brookbanks.com

Swindon EDA Consortium

Proposed Development
Swindon EV

Reserved Matters Application
Surface Water Drainage
Overland Flow Sections

Status		Status Date
Information		JULY 2024
Drawn	**Checked**	**Date**
CM	SM	26.07.24
Scale	**Number**	**Rev**
1:500	1335-RMA-500-026	B

0 10 20 30 40 50
METRES

UNTIL TECHNICAL APPROVAL HAS BEEN OBTAINED FROM THE RELEVANT LOCAL AUTHORITIES, IT SHOULD BE UNDERSTOOD THAT ALL DRAWINGS ARE ISSUED AS PRELIMINARY AND NOT FOR CONSTRUCTION. SHOULD THE CONTRACTOR COMMENCE SITE WORK PRIOR TO APPROVAL BEING GIVEN, IT IS ENTIRELY AT THEIR OWN RISK.

© Brookbanks Consulting Limited 2025

P:\1335\CAD\BCL\Current Drawings\RMA\1335-RMA-500-021B, 022B, 023B, 024B, 025B, 026B, 027B_RMA SW Drainage Layout.dwg