Original Drawing Size A1

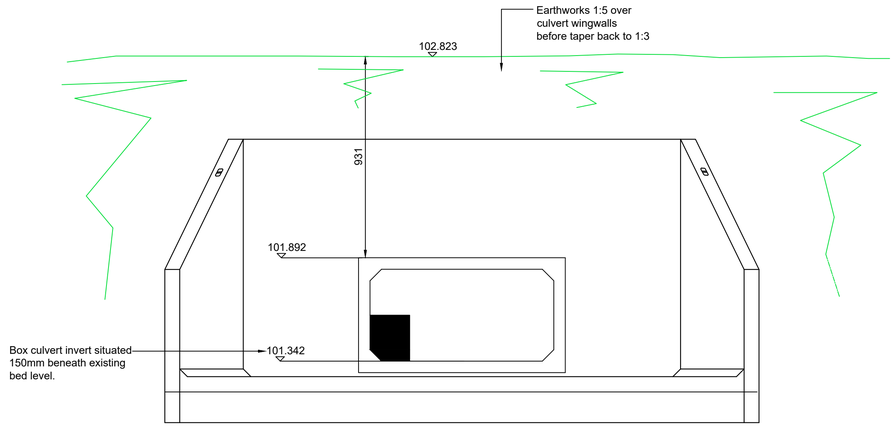

ELEVATION A - A
ON CULVERT CROSSING HEADWALL
(1:20)

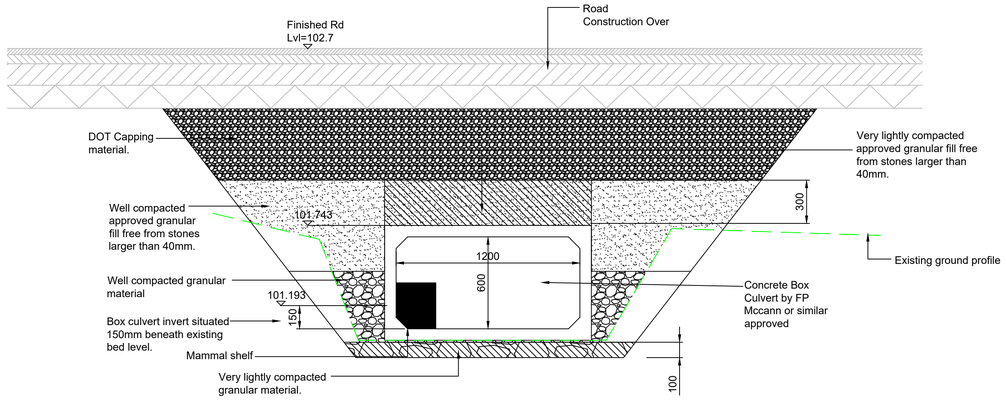

SECTION B - B
THROUGH CULVERT CROSSING
(1:20)

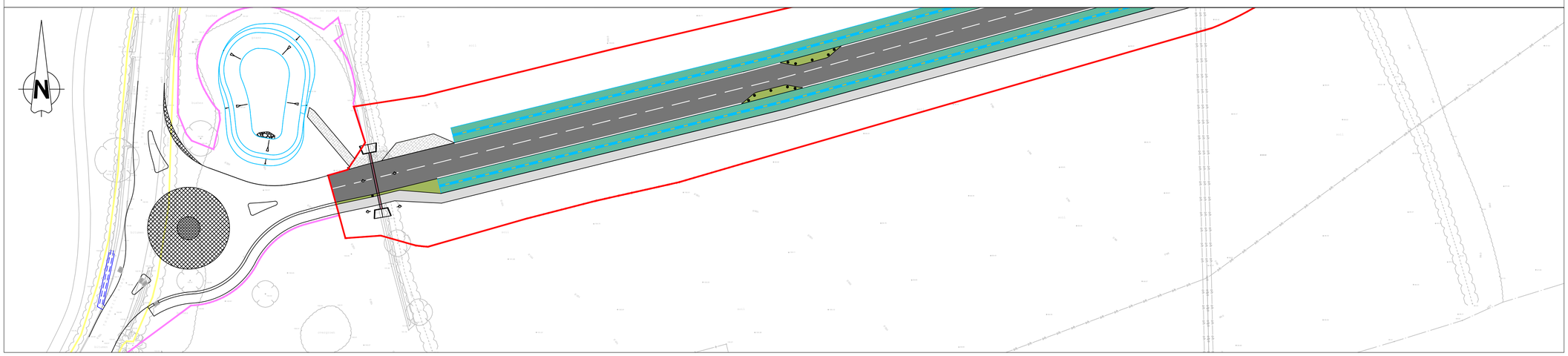

Construction Design and Management (CDM)

Key Residual Risks

Contractors entering the site should gain permission from the relevant land owners and/or principle contractor working on site at the time of entry. Contractors shall be responsible for carrying out their own risk assessments and for liaising with the relevant services companies and authorities. Listed below are Site Specific key risks associated with the project.

1) Overhead and underground services
2) Street Lighting Cables
3) Working adjacent to water courses and flood plain
4) Soft ground conditions
5) Working adjacent to live highways and railway line
6) Unchartered services
7) Existing buildings with potential asbestos hazards

NOTES:

1. Do not scale from this drawing.
2. All dimensions are in metres unless otherwise stated.
3. Brookbanks consulting ltd has prepared this drawing for the sole use of the client. the drawing may not be relied upon by any other party without the express agreement of the client and Brookbanks consulting ltd. where any data supplied by the client or from other sources has been used, it has been assumed that the information is correct. no responsibility can be accepted by Brookbanks consulting ltd for inaccuracies in the data supplied by any other party. the drawing has been produced based on the assumption that all relevant information has been supplied by those bodies from whom it was requested.
4. No part of this drawing may be copied or duplicated without the express permission of Brookbanks consulting ltd.
5. All dimensions and all levels in metres unless noted otherwise.
6. Any discrepancies noted on site are to be reported to the engineer immediately.
7. Section 38 agreement highway works to carried out in strict accordance with Swindon Borough council's requirements.
8. All works within existing public highway, including any temporary works or traffic management measures, are subject to the approval of Swindon Borough Council. when works are required on the public highway, the contractor shall liaise with and obtain all statutory approvals from Swindon Borough Council, before commencing these works. these approvals include, but are not limited to, approval of traffic management measures, issue of works commencement notices, road opening notices, temporary traffic regulation orders etc.
9. All traffic management shall comply with the requirements as set out in chapter 8 of the traffic signs manual. warning signs may be erected outside the indicated boundaries. any obstructions to traffic or pedestrians shall be properly signed and protected with barriers, cones, signs, and lamps.
10. All planting in visibility splays to be agreed and approved by Swindon Borough Council and in all cases no planting to be above 600mm in height above the carriageway. also no obstructions of any kind within the visibility splay areas.
11. All tactile areas to be laid in accordance with detr "guidance on the use of tactile paving surfaces".
12. All traffic signs and road markings are to be in accordance with the 'Traffic Signs Regulations and General Directions 2016'.
13. Any damage caused to existing footways, roads or other third party property to be made good to the county engineers requirements.
14. Temporary works associated with the construction of the works shall be the responsibility of the contractor.
15. Culverts designs to progress with the RMA once further information becomes available.

D	Revised with latest layout for tender	CDW	CM	SM	11.02.25
C	Updated for RMA submission with one culvert removed	CM	CM	SM	30.01.25
B	Revised with latest layouts for tender	JHI	CM	SM	14.01.25
A	Updated following discussion with WWA 20/06	CM	CM	SM	21.06.24
-	First Issue	CM	CM	SM	24.04.24

BROOKBANKS

6150 Knights Court, Solihull Parkway, Birmingham, B37 7WY
T +44 (0)203 958 5400 E mail@brookbanks.com
W brookbanks.com

Swindon EDA Consortium

Proposed Development
Swindon EV

South Marston Primary Street
Proposed Culverts

Status		Status Date
Approval		APR' 2024
Drawn	**Checked**	**Date**
CM	SM	24.04.24
Scale	**Number**	**Rev**
1:500	1335-SMPS-500-007	D

0 10 20 30 40 50
METRES

© Brookbanks Consulting Limited 2025

P:\1335\CAD\BCL\Current Drawings\S38- South Marston Primary Street\1335-SMPS-500-007D South Marston Primary Street SW Drainage Culverts.dwg